Republic of the Philippines
DEPARTMENT OF SCIENCE AND TECHNOLOGY
Philippine Atmospheric, Geophysical and Astronomical Services Administration (PAGASA)

BAGONG PILIPINAS

FARM WEATHER FORECAST AND ADVISORIES
FWFA: NO. 26 – 051

Issued: 7:00 AM, Wednesday, 04 March 2026 **Valid until: 7:00 AM, Thursday, 05 March 2026**

SYNOPSIS: Northeast Monsoon affecting Extreme Northern Luzon. Easterlies affecting the rest of the country.

FORECAST AREA	AGRI-WEATHER	WINDS	TEMPERATURE (0C)		RH%	LEAF WETNESS (HRS)
			LOWLAND	UPLAND		
Surigao del Norte, Surigao del Sur, and Dinagat Islands	Cloudy skies with scattered rains and thunderstorms	Light to moderate from northeast to north	24 – 30	22 – 27	65 – 98	4 – 6
Batanes and Babuyan Islands	Partly cloudy to cloudy skies with isolated light rains	Moderate to strong from northeast	21 – 24	20 – 23	60 – 98	0 – 6
Metro Manila and the rest of the country	Partly cloudy to cloudy skies with isolated rainshowers or thunderstorms	**Rest of Luzon** – Light to moderate from northeast; **Visayas and the rest of Mindanao** – Light to moderate from northeast to north	21 – 35	15 – 32	50 – 96	0 – 4

AREAS AFFECTED BY THE WEATHER SYSTEMS	HEAT INDEX MONITORING AND FORECASTING (OBSERVED AND 2-DAY FORECAST)
NORTHEAST MONSOON, EASTERLIES, THUNDERSTORMS AND MODERATE TO HEAVY RAINS • Monitor daily weather forecasts and advisories from DOST-PAGASA. • Adjust planting, spraying, and harvesting schedules based on expected rainfall. • Ensure proper field drainage to prevent waterlogging and root rot. • Store harvested crops and farm inputs in elevated, dry, and covered areas. • Apply mulch to reduce soil erosion and maintain soil moisture balance. • Conduct regular field inspections for lodging, stem rot, and nutrient deficiencies. • Remove and destroy infected plant parts to limit disease spread. • Apply pest and disease control measures during dry windows.	The Heat Index is a human discomfort index that gives the apparent temperature on what humans perceive or feel as the temperature (from the surroundings) affecting the body. High air temperature and high relative humidity results to high apparent temperature *https://www.pagasa.dost.gov.ph/climate/climate-heat-index*

Republic of the Philippines
DEPARTMENT OF SCIENCE AND TECHNOLOGY
Philippine Atmospheric, Geophysical and Astronomical Services Administration (PAGASA)

BAGONG PILIPINAS

FARM ADVISORY

SOIL MOISTURE CONDITION *(February 21-28, 2026)*	ENSO ALERT SYSTEM STATUS *(Updated as of 25 February 2026)*
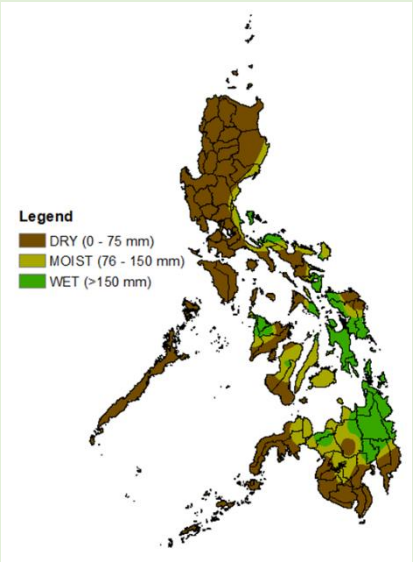 **Wet** – Eastern part of Quezon, Sorsogon, Eastern Visayas, Caraga, and Lanao del Sur **Moist** – Aurora, Albay, Catanduanes, Camarines Norte, Bohol, Cebu, Negros Occidental, Zamboanga del Norte, Bukidnon, North Cotabato, and Davao Region **Dry** – The rest of the country	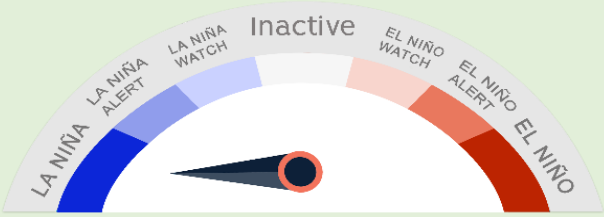 **LA NIÑA** https://pagasa.dost.gov.ph/climate/elnino-la-nina/monitoring Farmers should strengthen farm structures, maintain efficient drainage systems, and harvest mature or near-mature crops early when prolonged rainfall is expected. Proper drying and storage of produce in covered, elevated, and well-ventilated areas are essential to prevent spoilage, while close monitoring for pests and diseases—especially fungal infections under wet conditions—should be practiced. Continuous coordination with local agriculture offices and regular monitoring of advisories from DOST-PAGASA will support timely decision-making and improve farm resilience

FISHING ADVISORY

GALE WARNING AND SEA CONDITION

No Gale Warning was raised.

Moderate to rough seas will prevail over the **seaboards of Extreme Northern Luzon** while slight to moderate seas are expected over **the rest of the archipelago**. Still be reminded to be very careful in fishing, especially those using small seacraft. Always bring an emergency kit. Be updated for the latest weather updates and farm advisories from DOST- PAGASA.

ADDITIONAL INFORMATION

DAILY EXTREMES		MONTHLY EXTREMES	
Maximum Temperature	39.0 ºC (Iloilo City, 1973)	Maximum Temperature	40.0 ºC (Tuguegarao, 1978)
Minimum Temperature	9.2 ºC (Baguio City, 1986)	Minimum Temperature	7.4 ºC (Baguio City, 1963)
Rainfall	286.3 mm (Hinatuan City, 1952)	Rainfall	401.0 mm (Casiguran, 1971)

PREPARED/UPLOADED BY: **MGA / HGDE** | VERIFIED BY: **MEVT**

Republic of the Philippines
DEPARTMENT OF SCIENCE AND TECHNOLOGY
Philippine Atmospheric, Geophysical and Astronomical Services Administration (PAGASA)

BAGONG PILIPINAS

TAYA NG PANAHON AT MGA PAYONG PANSAKAHAN
FWFA: NO. 26 – 051

Inilabas ng: 7:00 AM, Miyerkules, 04, 2026 **May bisa hanggang: 7:00 AM, Huwebes, 05 Marso 2026**

SYNOPSIS: Amihan ang nakakaapekto sa dulong Hilagang Luzon. Easterlies ang nakakaapekto sa natitirang bahagi ng bansa.

LUGAR NG PAGTAYA	LAGAY NG PANAHON PANG-AGRIKULTURA	HANGIN	TEMPERATURA (^{0}C)		RH%	PAGKABASA NG DAHON (ORAS)
			Mababang Bukirin	Mataas na Bukirin		
Surigao del Norte, Surigao del Sur, at Dinagat Islands	Maulap na kalangitan na may kalat-kalat na pag-ulan at pagkidlat-pagkulog	Mahina hanggang sa katamtaman mula hilagang silangan hanggang hilaga	24 – 30	22 – 27	65 – 98	4 – 6
Batanes at mga Isla ng Babuyan	Bahagyang maulap hanggang sa maulap na kalangitan na may pulu-pulong mahinang pag-ulan	Katamtaman hanggang sa malakas mula hilagang silangan	21 – 24	20 – 23	60 – 98	0 – 6
Metro Manila at natitirang bahagi ng bansa	Bahagyang maulap hanggang sa maulap na kalangitan na may pulu-pulong pag-ulan o pagkidlat-pagkulog	**Natitirang bahagi ng Luzon** – Mahina hanggang sa katamtaman mula hilagang silangan; **Kabisayaan at natitirang bahagi ng Mindanao** – Mahina hanggang sa katamtaman mula hilagang silangan hanggang hilaga	21 – 35	15 – 32	50 – 96	0 – 4

SA MGA LUGAR NA APEKTADO NG WEATHER SYSTEMS	PAGSUBAYBAY AT PAGTATAYA NG HEAT INDEX (NAOBSERBAHAN AT 2-ARAW NA PAGTATAYA)
AMIHAN, EASTERLIES, PAGKIDLAT-PAGKULOG, AT KATAMTAMAN HANGGANG MALAKAS NA PAG-ULAN • Subaybayan araw-araw ang mga ulat at babala sa panahon mula sa PAGASA. • Iayon ang iskedyul ng pagtatanim, pag-iispra, at pag-aani batay sa inaasahang dami ng ulan. • Siguraduhing maayos ang daluyan ng tubig sa bukid upang maiwasan ang pagbabara ng tubig at pagkabulok ng ugat. • Itago ang mga naaning pananim at farm inputs sa mataas, tuyo, at may bubong na lugar. • Maglagay ng mulch upang mabawasan ang pagguho ng lupa at mapanatili ang tamang halumigmig ng lupa. • Magsagawa ng regular na pag-iinspeksyon sa bukid para sa pagkadapa ng pananim, pagkabulok ng tangkay, at kakulangan sa sustansya. • Tanggalin at sirain ang mga apektadong bahagi ng halaman upang maiwasan ang pagkalat ng sakit. • Isagawa ang pest at disease control sa mga panahong tuyo o walang ulan.	Ang init na nararamdaman ng katawan ng tao (apparent temperature) ay hindi akmang nasusukat gamit lamang ang temperature ng hangin (air temperature). Ito ay mas tamang naitataya kung isasama ang datos ng alinsangan o halumigmig (relative humidity). Ang impormasyon na ito ay tinatawag na Heat Index at ito ay matutukoy gamit ang Heat Index Chart. ***https://www.pagasa.dost.gov.ph/climate/climate-heat-index***

Republic of the Philippines
DEPARTMENT OF SCIENCE AND TECHNOLOGY
Philippine Atmospheric, Geophysical and Astronomical Services Administration (PAGASA)

BAGONG PILIPINAS

PAYONG PANGSAKAHAN

KALAGAYAN NG LUPANG SAKAHAN
(Pebrero 21-28, 2026)

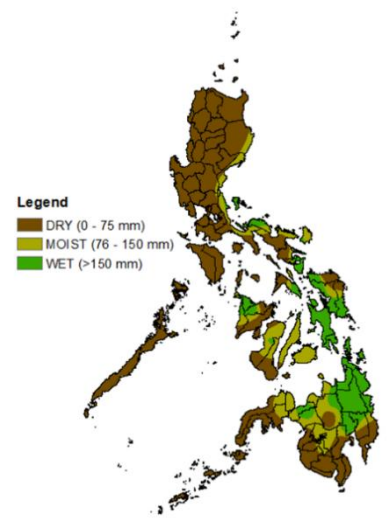

Basa – Silangang bahagi ng Quezon, Sorsogon, Silangang Kabisayaan, Caraga, at Lanao del Sur

Katamtaman – Aurora, Albay, Catanduanes, Camarines Norte, Bohol, Cebu, Negros Occidental, Zamboanga del Norte, Bukidnon, North Cotabato, at Rehiyon ng Davao

Tuyo – Natitirang bahagi ng bansa

ENSO ALERT SYSTEM STATUS
(mula noong 25 Pebrero 2026)

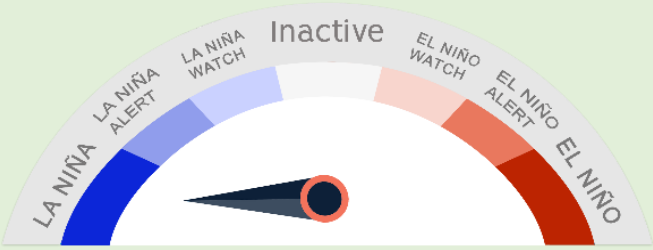

LA NIÑA

https://pagasa.dost.gov.ph/climate/elnino-la-nina/monitoring

Mahalagang maghanda ang mga magsasaka sa pamamagitan ng pagpapatibay ng mga estruktura sa sakahan, pagpapanatili ng maayos na daluyan ng tubig, at maagap na pag-aani ng mga pananim na malapit nang mahinog kapag may banta ng tuluy-tuloy na pag-ulan. Dapat ding tiyakin ang wastong pagpapatuyo at ligtas na pag-iimbak ng ani upang maiwasan ang pagkasira, habang masusing binabantayan ang paglitaw ng mga peste at sakit, lalo na ang mga dulot ng basang kondisyon. Ang patuloy na pakikipag-ugnayan sa mga lokal na tanggapan ng agrikultura at pagsubaybay sa mga abiso ng DOST-PAGASA ay makatutulong sa napapanahong pagpapasya at mas matibay na paghahanda laban sa mga epekto ng La Niña.

PAYO SA MGA MANGINGISDA

GALE WARNING AT KONDISYON NG KARAGATAN

Walang nakataas na Gale Warning.

Katamtaman hanggang sa maalon na karagatan ang iiral sa mga **baybayin ng dulong Hilaga Luzon** habang banayad hanggang sa katamtaman na pag-alon ang inaasahan sa **natitirang bahagi ng kapuluan**. Ang mga mangingisda ay pinapaalalahanan na palaging mag-ingat, ugaliing magdala ng mga gamit pangkagipitan, magbantay at makinig sa mga paalala at patalastas mula sa DOST-PAGASA.

DAGDAG KAALAMAN

DAILY EXTREMES		MONTHLY EXTREMES	
Pinakamataas na Temperatura	39.0 ºC (Iloilo City, 1973)	Pinakamataas na Temperatura	40.0 ºC (Tuguegarao, 1978)
Pinakamababang Temperatura	9.2 ºC (Baguio City, 1986)	Pinakamababang Temperatura	7.4 ºC (Baguio City, 1963)
Pinakamaraming Ulan	286.3 mm (Hinatuan City, 1952)	Pinakamaraming Ulan	401.0 mm (Casiguran, 1971)

INIHANDA HANDA/INI-UPLOAD NINA: **MGA / HGDE** | BINIGYANG PANSIN NI: **MEVT**