Republic of the Philippines
DEPARTMENT OF SCIENCE AND TECHNOLOGY
Philippine Atmospheric, Geophysical and Astronomical Services Administration (PAGASA)

BAGONG PILIPINAS

WEEKEND/SPECIAL FARM WEATHER OUTLOOK

WSFWO: NO. 26 – 054

Issued: 4:00 PM, Friday, 06 March 2026 | **Valid until: 7:00 AM, Monday, 09 March 2026**

Today (March 6): The *Northeast monsoon* will bring cloudy skies with light rains over **Batanes** and **Babuyan Islands** while partly cloudy to cloudy skies over **Ilocos Norte, Apayao,** and **Mainland Cagayan**. **Metro Manila** and **the rest of the country** will experience partly cloudy to cloudy skies with isolated rainshowers or thunderstorms due to *Easterlies*.

By Tomorrow to Sunday (March 7-8): Cagayan, Isabela, Aurora, and **Quezon** will be cloudy with scattered rains and isolated thunderstorms due to a *shear line*. **Cordillera Administrative Region (CAR), Central Luzon, the rest of Cagayan Valley**, and **Ilocos Norte** will have mostly cloudy skies with light rains while partly cloudy to cloudy skies with isolated light rains are expected over the **rest of Ilocos Region** due to the *Northeast monsoon*. **Metro Manila** and **the rest of the country** will be partly cloudy to cloudy with the possibility of localized rainshowers or thunderstorms.

By Monday (March 9): *The shear line* will move southward bringing cloudy skies with scattered rains and isolated thunderstorms over **Quezon, Oriental Mindoro, Marinduque, Bicol Region,** and **Visayas**. The same weather condition may be expected over **Northern Mindanao** and **Caraga** due to *the trough of a Low Pressure Area (LPA)* which is expected to form **east of Mindanao near the boundary of the Philippine Area of Responsibility (PAR)**. **Cagayan Valley, CAR,** and **Aurora** will have mostly cloudy skies with light rains due to the *Northeast monsoon* while **Metro Manila** and **the rest of Luzon** will experience partly cloudy to cloudy skies with isolated light rains. **The rest of Mindanao** will have partly cloudy to cloudy skies with chances of isolated rainshowers or thunderstorms.

FORECAST AREA	TEMPERATURE		RH (%)	LEAF WETNESS (HRS)
	LOWLAND	UPLAND		
LUZON	19 – 34	13 – 32	55 – 99	0 – 8
VISAYAS	22 – 32	20 – 30	50 – 99	0 – 8
MINDANAO	22 – 34	19 – 31	50 – 98	0 – 8

FARM ADVISORY

SOIL MOISTURE CONDITION
(February 21 – 28, 2026)

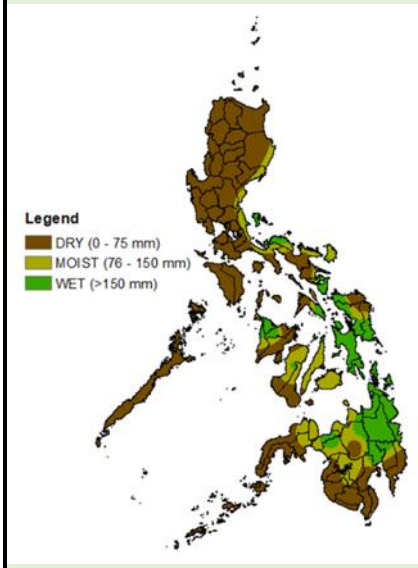

Wet – Eastern part of Quezon, Sorsogon, Eastern Visayas, Caraga, and Lanao del Sur;

Moist – Aurora, Albay, Catanduanes, Camarines Norte, Bohol, Cebu, Negros Occidental, Zamboanga del Norte, Bukidnon, North Cotabato, and Davao Region;

Dry – The rest of the country

ENSO ALERT SYSTEM STATUS
(Updated as of 25 February 2026)

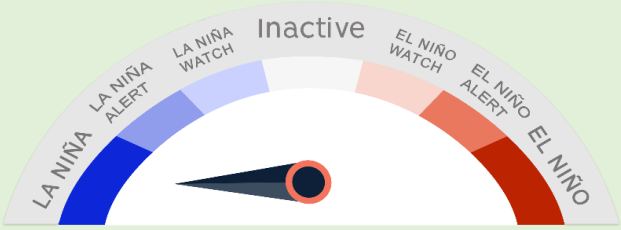

LA NIÑA

https://pagasa.dost.gov.ph/climate/elnino-la-nina/monitoring

Ensure good field drainage by using raised beds and properly leveled fields, and regularly inspect canals, bunds, and embankments to prevent flooding. Secure nurseries, trellises, and windbreaks to protect crops from strong winds and heavy rains. Harvest mature and near-mature crops early when prolonged rainfall is forecast. Dry and store harvested produce using covered, elevated, and well-ventilated facilities to avoid spoilage. Monitor crops closely for pest and disease outbreaks, particularly fungal infections during wet conditions, and apply control measures when weather permits. Coordinate with the Municipal/City Agriculture Office and regularly follow DOST-PAGASA advisories for timely updates and guidance.

AREAS AFFECTED BY THE WEATHER SYSTEMS
NORTHEAST MONSOON, SHEAR LINE, EASTERLIES, THUNDERSTORMS AND MODERATE TO HEAVY RAINS • Monitor daily weather forecasts and advisories from DOST-PAGASA. • Clear and maintain irrigation canals, drainage ditches, and waterways to prevent flooding. • Use temporary covers or secure nursery trays and newly transplanted crops to reduce damage from excessive moisture and wind. • Use organic compost to enrich the soil and improve plant health. • Keep farm tools clean to prevent disease transmission between plants. • Document weather impacts on crops to improve future planning and climate-resilient practices.

PREPARED/UPLOADED BY: **NRE / HGDE**	VERIFIED BY: **MEVT**

Republic of the Philippines
DEPARTMENT OF SCIENCE AND TECHNOLOGY
Philippine Atmospheric, Geophysical and Astronomical Services Administration (PAGASA)

TAYA NG PANAHON AT MGA PAYONG PANSAKAHAN

FWFA: NO. 26 – 054

Inilabas ng: 4:00 PM, Biyernes, 27 Pebrero 2026 **May bisa hanggang: 7:00 AM, Lunes, 02 Marso 2026**

Ngayong Araw (Marso 6): Ang *Amihan* ay magdadala ng maulap na kalangitan na may mahinang pag-ulan sa **Batanes** at **Babuyan Islands**, habang bahagyang maulap hanggang maulap na kalangitan naman ang mararanasan sa **Ilocos Norte, Apayao,** at **Mainland Cagayan**. Ang **Metro Manila** at ang **nalalabing bahagi ng bansa** ay makararanas ng bahagyang maulap hanggang sa maulap na kalangitan na may mga pulu-pulong pag-ulan o pagkulog at pagkidlat dulot ng *Easterlies*.

Bukas hanggang Linggo (Marso 7 – 8): Ang **Cagayan, Isabela, Aurora,** at **Quezon** ay magkakaroon ng maulap na kalangitan na may kalat-kalat na pag-ulan at mga pulu-pulong pagkulog at pagkidlat dahil sa *shear line*. Ang **Cordillera Administrative Region (CAR), Central Luzon,** ang **nalalabing bahagi ng Cagayan Valley**, at **Ilocos Norte** ay makararanas ng karamihang maulap na kalangitan na may mahinang pag-ulan, habang bahagyang maulap hanggang maulap na kalangitan na may pulu-pulong mahinang pag-ulan naman ang inaasahan sa **nalalabing bahagi ng Ilocos Region**, dulot ng *Amihan*. Ang **Metro Manila at ang nalalabing bahagi ng bansa** ay magkakaroon ng bahagyang maulap hanggang maulap na kalangitan na may posibilidad ng mga lokal na pag-ulan o pagkulog at pagkidlat.

Sa Lunes (Marso 9): Ang *shear line* ay inaasahang kikilos pa-timog, na magdadala ng maulap na kalangitan na may kalat-kalat na pag-ulan at mga pulu-pulong pagkulog at pagkidlat sa **Quezon, Oriental Mindoro, Marinduque, Bicol Region**, at **Visayas**. Ang kaparehong kondisyon ng panahon ay maaari ring maranasan sa **Northern Mindanao** at **Caraga** dahil sa *trough ng Low Pressure Area (LPA)* na inaasahang mabubuo sa **silangang bahagi ng Mindanao malapit sa hangganan ng Philippine Area of Responsibility (PAR)**. Samantala, ang **Cagayan Valley, CAR,** at **Aurora** ay magkakaroon ng karamihang maulap na kalangitan na may mahinang pag-ulan dulot ng *Amihan*, habang ang **Metro Manila** at **ang nalalabing bahagi ng Luzon** ay makararanas ng bahagyang maulap hanggang maulap na kalangitan na may pulu-pulong mahinang pag-ulan. Ang **nalalabing bahagi ng Mindanao** ay magkakaroon ng bahagyang maulap hanggang maulap na kalangitan na may posibilidad ng mga pulu-pulong pag-ulan o pagkulog at pagkidlat.

LUGAR NG PAGTAYA	TEMPERATURA (^{0}C)		RH (%)	PAGKABASA NG DAHON (ORAS)
	Mababang Bukirin	Mataas na Bukirin		
LUZON	19 – 34	13 – 32	55 – 99	0 – 8
VISAYAS	22 – 32	20 – 30	50 – 99	0 – 8
MINDANAO	22 – 34	19 – 31	50 – 98	0 – 8

PAYONG PANGSAKAHAN

KALAGAYAN NG LUPANG SAKAHAN *(Pebrero 11-20, 2026)*	ENSO ALERT SYSTEM STATUS *(mula noong 25 Pebrero 2026)*
	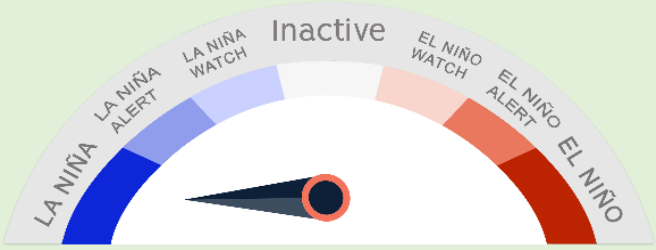 **LA NIÑA** https://pagasa.dost.gov.ph/climate/elnino-la-nina/monitoring Siguraduhin ang maayos na daloy ng tubig sa taniman sa pamamagitan ng raised beds at tamang pag-level ng lupa, at regular

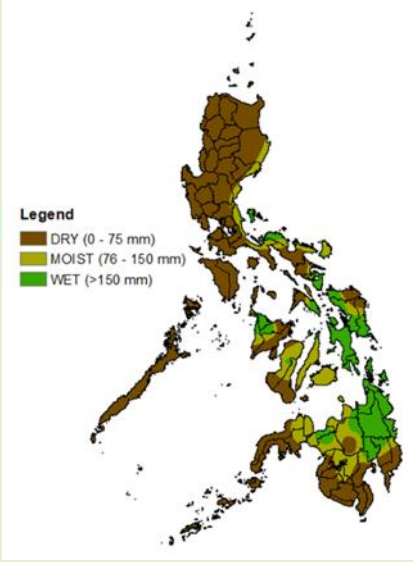

Basa – Silangang bahagi ng Quezon, Sorsogon, Silangang Kabisayaan, Caraga, at Lanao del Sur

Katamtaman – Aurora, Albay, Catanduanes, Camarines Norte, Bohol, Cebu, Negros Occidental, Zamboanga del Norte, Bukidnon, North Cotabato, at Rehiyon ng Davao

Tuyo – Natitirang bahagi ng bansa

na inspeksyunin ang mga kanal, pilapil, at embankment upang maiwasan ang pagbaha. I-secure ang mga nursery, trellis, at windbreaks para protektahan ang pananim mula sa malakas na hangin at matinding ulan. Aniin nang maaga ang mga hinog o malapit nang hinog na pananim kapag inaasahan ang matagal na pag-ulan. Patuyuin at itago ang ani sa mabubungad, mataas, at maayos na bentiladong lugar upang maiwasan ang pagkasira. Subaybayan ang pananim laban sa peste at sakit, lalo na ang fungal infections sa basa at mahalumigmig na panahon, at agad na gumawa ng angkop na kontrol kapag pinahihintulutan ng panahon. Makipag-ugnayan sa Municipal/City Agriculture Office at regular na sundan ang DOST-PAGASA advisories para sa pinakabagong impormasyon at gabay.

SA MGA LUGAR NA APEKTADO NG WEATHER SYSTEMS

AMIHAN, SHEAR LINE, EASTERLIES, PAGKIDLAT-PAGKULOG, AT KATAMTAMAN HANGGANG MALAKAS NA PAG-ULAN

- Subaybayan araw-araw ang mga ulat at babala sa panahon mula sa PAGASA.
- Linisin at panatilihin ang mga kanal ng irigasyon, daluyan ng tubig, at mga estero upang maiwasan ang pagbaha.hanggang malakas na ulan upang maiwasan ang pag-aaksaya, pagsisiksik ng lupa, at pag-agos ng pataba o kemikal.
- Gumamit ng pansamantalang panakip o siguraduhing maayos ang pagkakalagay ng mga punlaan at bagong tanim upang mabawasan ang pinsala dulot ng labis na kahalumigmigan at malakas na hangin.
- Gumamit ng organikong pataba o compost upang mapayaman ang lupa at mapabuti ang kalusugan ng mga halaman.
- Panatilihing malinis ang mga kagamitang pangsakahan upang maiwasan ang pagkalat ng sakit sa pagitan ng mga pananim.
- Idokumento ang epekto ng panahon sa mga pananim upang mapabuti ang pagpaplano at mga climate-resilient na gawain sa hinaharap.

PREPARED/UPLOADED BY: **NRE / HGDE** VERIFIED BY: **MEVT**