Republic of the Philippines
DEPARTMENT OF SCIENCE AND TECHNOLOGY
Philippine Atmospheric, Geophysical and Astronomical Services Administration (PAGASA)

BAGONG PILIPINAS

FARM WEATHER FORECAST AND ADVISORIES
FWFA: NO. 26 – 056

Issued: 7:00 AM, Tuesday, 10 March 2026 **Valid until: 7:00 AM, Wednesday, 11 March 2026**

SYNOPSIS: Northeast Monsoon affecting Luzon. Trough of a Low Pressure Area (LPA) affecting Visayas and Mindanao.

FORECAST AREA	AGRI-WEATHER	WINDS	TEMPERATURE (0C)		RH%	LEAF WETNESS (HRS)
			LOWLAND	UPLAND		
Visayas, Mindanao, and Masbate	Cloudy skies with scattered rains and thunderstorms	**Eastern Visayas and Masbate** – Moderate to strong from northeast; **Eastern section of Mindanao –** Moderate to strong from northeast to north; **The rest of Visayas and Mindanao** – Light to moderate from northeast to north	22 – 32	20 – 30	65 – 99	4 – 8
Cagayan Valley, Cordillera Administrative Region, Aurora, Quezon, and the rest of Bicol Region	Cloudy skies with light rains	Moderate to strong from northeast	19 – 31	12 – 27	55 – 98	2 – 6
Metro Manila and the rest of Luzon	Partly cloudy to cloudy skies with isolated light rains	**Rest of Northern Luzon** – Moderate to strong from northeast; **Metro Manila and the rest of Luzon** – Light to moderate from northeast to north	22 – 34	19 – 30	45 – 96	0 – 6

Republic of the Philippines
DEPARTMENT OF SCIENCE AND TECHNOLOGY
Philippine Atmospheric, Geophysical and Astronomical Services Administration (PAGASA)

BAGONG PILIPINAS

AREAS AFFECTED BY THE WEATHER SYSTEMS	HEAT INDEX MONITORING AND FORECASTING (OBSERVED AND 2-DAY FORECAST)
TROUGH OF LPA, NORTHEAST MONSOON, THUNDERSTORMS AND MODERATE TO HEAVY RAINS • Use soil moisture monitoring to avoid unnecessary irrigation. • Apply split fertilizer applications to maximize nutrient uptake during intermittent rains. • Take advantage of dry mornings for spraying and fertilizer application. • Maintain mulch cover to manage fluctuating moisture and suppress weeds. • Avoid fieldwork during thunderstorm warnings to ensure farmer safety. • Ensure emergency drainage pathways are clear to prevent flash flooding.	The Heat Index is a human discomfort index that gives the apparent temperature on what humans perceive or feel as the temperature (from the surroundings) affecting the body. High air temperature and high relative humidity results to high apparent temperature *https://www.pagasa.dost.gov.ph/climate/climate-heat-index*

FARM ADVISORY

SOIL MOISTURE CONDITION *(February 21-28, 2026)*	ENSO ALERT SYSTEM STATUS *(Updated as of 25 February 2026)*
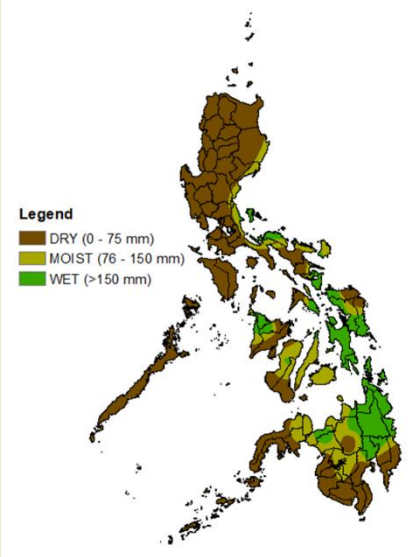 **Wet** – Eastern part of Quezon, Sorsogon, Eastern Visayas, Caraga, and Lanao del Sur **Moist** – Aurora, Albay, Catanduanes, Camarines Norte, Bohol, Cebu, Negros Occidental, Zamboanga del Norte, Bukidnon, North Cotabato, and Davao Region **Dry** – The rest of the country	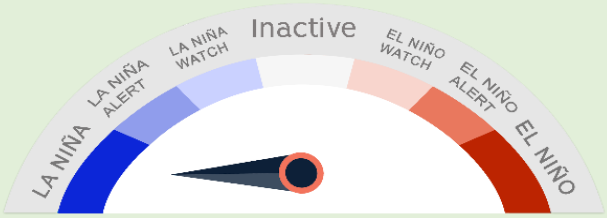 **LA NIÑA** *https://pagasa.dost.gov.ph/climate/elnino-la-nina/monitoring* Farmers should strengthen farm structures, maintain efficient drainage systems, and harvest mature or near-mature crops early when prolonged rainfall is expected. Proper drying and storage of produce in covered, elevated, and well-ventilated areas are essential to prevent spoilage, while close monitoring for pests and diseases—especially fungal infections under wet conditions—should be practiced. Continuous coordination with local agriculture offices and regular monitoring of advisories from DOST-PAGASA will support timely decision-making and improve farm resilience

FISHING ADVISORY

GALE WARNING AND SEA CONDITION

Moderate to rough seas will prevail over the **seaboards of Northern Luzon and the eastern sections of Central Luzon, Southern Luzon, Visayas, and Mindanao,** while slight to moderate seas are expected over **the rest of the archipelago**. Still be reminded to be very careful in fishing, especially those using small seacraft. Always bring an emergency kit. Be updated for the latest weather updates and farm advisories from DOST- PAGASA.

ADDITIONAL INFORMATION			
DAILY EXTREMES		**MONTHLY EXTREMES**	
Maximum Temperature	37.8 ºC (General Santos City, 2016)	Maximum Temperature	40.0 ºC (Tuguegarao, 1978)
Minimum Temperature	9.1 ºC (Baguio City, 1989)	Minimum Temperature	7.4 ºC (Baguio City, 1963)
Rainfall	265.2 mm (Catarman, 1971)	Rainfall	401.0 mm (Casiguran, 1971)

PREPARED/UPLOADED BY: **RAMF / JOT**	VERIFIED BY: **MEVT**

Republic of the Philippines
DEPARTMENT OF SCIENCE AND TECHNOLOGY
Philippine Atmospheric, Geophysical and Astronomical Services Administration (PAGASA)

BAGONG PILIPINAS

TAYA NG PANAHON AT MGA PAYONG PANSAKAHAN
FWFA: NO. 26 – 056

Inilabas ng: 7:00 AM, Martes, 10 Marso 2026 **May bisa hanggang: 7:00 AM, Miyerkules, 11 Marso 2026**

SYNOPSIS: Amihan ang nakakaapekto sa Luzon. Trough of Low Pressure Area and nakakaapekto sa Kabisayaan at Mindanao.

LUGAR NG PAGTAYA	LAGAY NG PANAHON PANG-AGRIKULTURA	HANGIN	TEMPERATURA (^{0}C)		RH%	PAGKABASA NG DAHON (ORAS)
			Mababang Bukirin	Mataas na Bukirin		
Kabisayaan, Mindanao, at Masbate	Maulap na kalangitan na may kalat-kalat na pag-ulan at pagkidlat-pagkulog	**Silangang Kabisayaan at Masbate** – Katamtaman hanggang sa malakas mula hilagang silangan; **Silangang bahagi ng Mindanao –** Katamtaman hanggang sa malakas mula hilagang silangan hanggang hilaga; **Natitirang bahagi ng Kabisayaan at Mindanao** – Mahina hanggang sa katamtaman mula hilagang silangan hanggang hilaga	22 – 32	20 – 30	65 – 99	4 – 8
Cagayan Valley, Cordillera Administrative Region, Aurora, Quezon, at natitirang bahagi ng Rehiyon ng Bicol	Maulap na kalangitan na may mahinang pag-ulan	Katamtaman hanggang sa malakas mula hilagang silangan	19 – 31	12 – 27	55 – 98	2 – 6
Metro Manila at natitirang bahagi ng Luzon	Bahagyang maulap hanggang sa maulap na kalangitan na may pulu-pulong mahinang pag-ulan	**Natitirang bahagi ng Hilagang Luzon** – Katamtaman hanggang sa malakas mula hilagang silangan; **Metro Manila at natitirang bahagi ng Luzon** – Mahina hanggang sa katamtaman mula hilagang silangan hanggang hilaga	22 – 34	19 – 30	45 – 96	0 – 6

SA MGA LUGAR NA APEKTADO NG WEATHER SYSTEMS	PAGSUBAYBAY AT PAGTATAYA NG HEAT INDEX (NAOBSERBAHAN AT 2-ARAW NA PAGTATAYA)
TROUGH OF LPA, AMIHAN, PAGKIDLAT-PAGKULOG, AT KATAMTAMAN HANGGANG MALAKAS NA PAG-ULAN • Gumamit ng soil moisture monitoring upang maiwasan ang hindi kailangang patubig. • Isagawa ang hati-hating paglalagay ng pataba (split application) upang mas mahusay na masipsip ng halaman ang sustansya lalo na kung may pasulpot-sulpot na ulan. • Samantalahin ang tuyong umaga para sa pag-iisprey at paglalagay ng pataba upang mas maging epektibo ang aplikasyon. • Panatilihin ang mulch o dayami sa lupa upang makontrol ang pabago-bagong halumigmig at mapigilan ang pagtubo ng damo. • Iwasan ang pagtatrabaho sa bukid kapag may babala ng thunderstorm upang matiyak ang kaligtasan ng mga magsasaka. • Tiyaking malinis at bukas ang mga daluyan ng tubig at kanal upang maiwasan ang biglaang pagbaha (flash flooding).	Ang init na nararamdaman ng katawan ng tao (apparent temperature) ay hindi akmang nasusukat gamit lamang ang temperature ng hangin (air temperature). Ito ay mas tamang naitataya kung isasama ang datos ng alinsangan o halumigmig (relative humidity). Ang impormasyon na ito ay tinatawag na Heat Index at ito ay matutukoy gamit ang Heat Index Chart. ***https://www.pagasa.dost.gov.ph/climate/climate-heat-index***

PAYONG PANGSAKAHAN

KALAGAYAN NG LUPANG SAKAHAN *(Pebrero 21 – 28, 2026)*	ENSO ALERT SYSTEM STATUS *(mula noong 25 Pebrero 2026)*
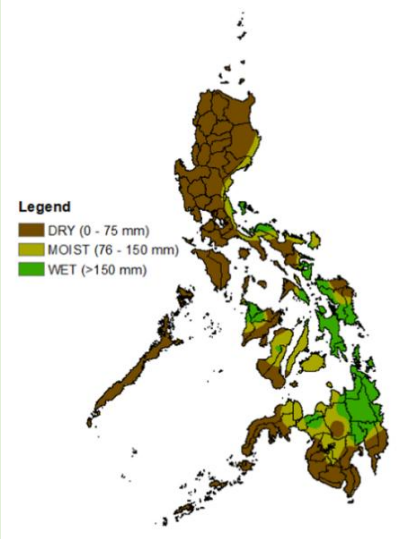 **Basa** – Silangang bahagi ng Quezon, Sorsogon, Silangang Kabisayaan, Caraga, at Lanao del Sur **Katamtaman** – Aurora, Albay, Catanduanes, Camarines Norte, Bohol, Cebu, Negros Occidental, Zamboanga del Norte, Bukidnon, North Cotabato, at Rehiyon ng Davao **Tuyo** – Natitirang bahagi ng bansa	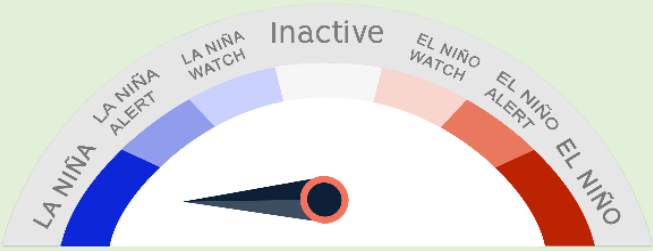 **LA NIÑA** *https://pagasa.dost.gov.ph/climate/elnino-la-nina/monitoring* Mahalagang maghanda ang mga magsasaka sa pamamagitan ng pagpapatibay ng mga estruktura sa sakahan, pagpapanatili ng maayos na daluyan ng tubig, at maagap na pag-aani ng mga pananim na malapit nang mahinog kapag may banta ng tuluy-tuloy na pag-ulan. Dapat ding tiyakin ang wastong pagpapatuyo at ligtas na pag-iimbak ng ani upang maiwasan ang pagkasira, habang masusing binabantayan ang paglitaw ng mga peste at sakit, lalo na ang mga dulot ng basang kondisyon. Ang patuloy na pakikipag-ugnayan sa mga lokal na tanggapan ng agrikultura at pagsubaybay sa mga abiso ng DOST-PAGASA ay makatutulong sa napapanahong pagpapasya at mas matibay na paghahanda laban sa mga epekto ng La Niña.

PAYO SA MGA MANGINGISDA

GALE WARNING AT KONDISYON NG KARAGATAN

Katamtaman hanggang sa maalon na karagatan ang iiral sa **mga baybayin ng Hilagang Luzon at silangang mga bahagi ng Gitnang Luzon, Katimugang Luzon, Kabisayaan, at Mindanao** habang banayad hanggang sa katamtaman na pag-alon ang inaasahan sa **natitirang bahagi ng kapuluan**. Ang mga mangingisda ay pinapaalalahanan na palaging mag-ingat, ugaliing magdala ng mga gamit pangkagipitan, magbantay at makinig sa mga paalala at patalastas mula sa DOST-PAGASA.

DAGDAG KAALAMAN			
DAILY EXTREMES		**MONTHLY EXTREMES**	
Pinakamataas na Temperatura	37.8 ºC (General Santos City, 2016)	Pinakamataas na Temperatura	40.0 ºC (Tuguegarao, 1978)
Pinakamababang Temperatura	9.1 ºC (Baguio City, 1989)	Pinakamababang Temperatura	7.4 ºC (Baguio City, 1963)
Pinakamaraming Ulan	265.2 mm (Catarman, 1971)	Pinakamaraming Ulan	401.0 mm (Casiguran, 1971)
INIHANDA HANDA/INI-UPLOAD NINA: **RAMF / JOT**		BINIGYANG PANSIN NI: **MEVT**	