Republic of the Philippines
DEPARTMENT OF SCIENCE AND TECHNOLOGY
Philippine Atmospheric, Geophysical and Astronomical Services Administration (PAGASA)

BAGONG PILIPINAS

FARM WEATHER FORECAST AND ADVISORIES
FWFA: NO. 26 – 057

Issued: 7:00 AM, Wednesday, 11 March 2026 **Valid until: 7:00 AM, Thursday, 12 March 2026**

SYNOPSIS: Northeast Monsoon affecting Luzon and Visayas. Trough of Tropical Storm affecting eastern section of Mindanao.

TROPICAL CYCLONE OUTSIDE PAR AS OF 3:00 AM TODAY
TROPICAL STORM "NURI" (2603)
LOCATION: 1,290 KM EAST OF EASTERN VISAYAS (12.0°N, 137.3°E)
MAXIMUM SUSTAINED WINDS: 65 KM/H
GUSTINESS: UP TO 80 KM/H
MOVEMENT: SOUTHWESTWARD SLOWLY

FORECAST AREA	AGRI-WEATHER	WINDS	TEMPERATURE (0C)		RH%	LEAF WETNESS (HRS)
			LOWLAND	UPLAND		
Dinagat Islands, Surigao del Norte, Surigao del Sur, and Davao Oriental	Cloudy skies with scattered rains and thunderstorms	Moderate to strong from northeast to north;	23 – 32	21 – 29	65 – 99	4 – 8
Batanes, Cagayan, Isabela, and Aurora	Cloudy skies with light rains	Moderate to strong from northeast	20 – 29	18 – 27	60 – 98	2 – 6
Metro Manila, the rest of Luzon, and Visayas	Partly cloudy to cloudy skies with isolated light rains	**Metro Manila, and the rest of Luzon** – Moderate to strong from northeast; **Eastern sections of Visayas** – Moderate to strong from northeast to north; **Rest of Visayas** – Light to moderate from northeast to north	23 – 34	21– 32	55 – 96	0 – 6
The rest of Mindanao	Partly cloudy to cloudy skies with isolated rainshowers or thunderstorms	**Rest of eastern sections of Mindanao** – Moderate to strong from northeast to north; **Rest of Mindanao** – Light to moderate from northeast to north	24 – 35	21– 33	50 – 96	0 – 4

AREAS AFFECTED BY THE WEATHER SYSTEMS	HEAT INDEX MONITORING AND FORECASTING (OBSERVED AND 2-DAY FORECAST)
TROUGH OF TS, NORTHEAST MONSOON, THUNDERSTORMS AND MODERATE TO HEAVY RAINS • Use soil moisture monitoring to avoid unnecessary irrigation. • Inspect irrigation systems regularly to ensure even water distribution and prevent waterlogging. • Prune fruit trees and vines to promote healthy growth and better yields. • Use organic compost to enrich the soil and improve plant health. • Keep farm tools clean to prevent disease transmission between plants. • Document weather impacts on crops to improve future planning and climate-resilient practices. • Keep updated with local advisories from LGUs and DOST-PAGASA for early warnings.	The Heat Index is a human discomfort index that gives the apparent temperature on what humans perceive or feel as the temperature (from the surroundings) affecting the body. High air temperature and high relative humidity results to high apparent temperature *https://www.pagasa.dost.gov.ph/climate/climate-heat-index*

FARM ADVISORY

SOIL MOISTURE CONDITION *(February 21-28, 2026)*	ENSO ALERT SYSTEM STATUS *(Updated as of 09 March 2026)*
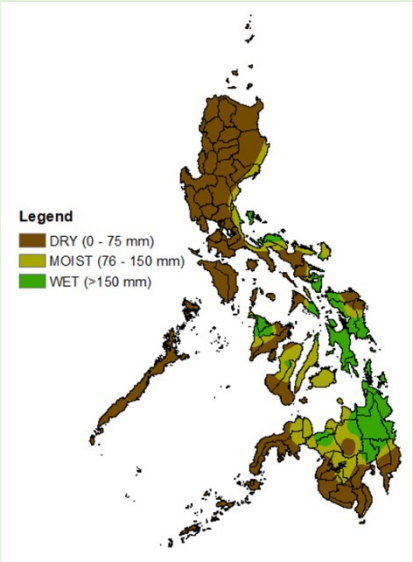 **Wet** – Eastern part of Quezon, Sorsogon, Eastern Visayas, Caraga, and Lanao del Sur **Moist** – Aurora, Albay, Catanduanes, Camarines Norte, Bohol, Cebu, Negros Occidental, Zamboanga del Norte, Bukidnon, North Cotabato, and Davao Region **Dry** – The rest of the country	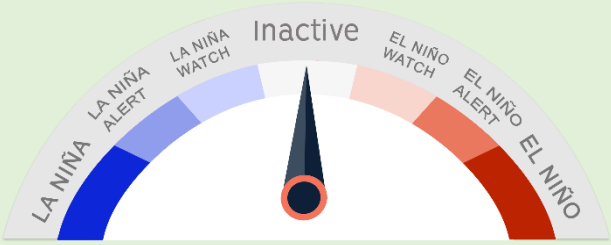 **INACTIVE** *https://pagasa.dost.gov.ph/climate/elnino-la-nina/monitoring* Farmers should strengthen farm structures, maintain efficient drainage systems, and harvest mature or near-mature crops early when prolonged rainfall is expected. Proper drying and storage of produce in covered, elevated, and well-ventilated areas are essential to prevent spoilage, while close monitoring for pests and diseases—especially fungal infections under wet conditions—should be practiced. Continuous coordination with local agriculture offices and regular monitoring of advisories from DOST-PAGASA will support timely decision-making and improve farm resilience

FISHING ADVISORY

GALE WARNING AND SEA CONDITION

No Gale Warning was raised.

Moderate to rough seas will prevail over the **seaboards of Luzon and the eastern sections of Visayas, and Mindanao,** while slight to moderate seas are expected over **the rest of the archipelago**. Still be reminded to be very careful in fishing, especially those using small seacraft. Always bring an emergency kit. Be updated for the latest weather updates and farm advisories from DOST- PAGASA.

ADDITIONAL INFORMATION			
DAILY EXTREMES		**MONTHLY EXTREMES**	
Maximum Temperature	37.0 ºC (Tuguegarao, 1982,1988)	Maximum Temperature	40.0 ºC (Tuguegarao, 1978)
Minimum Temperature	10.4 ºC (Baguio City, 2003)	Minimum Temperature	7.4 ºC (Baguio City, 1963)
Rainfall	209.2 mm (Legaspi City, 1971)	Rainfall	401.0 mm (Casiguran, 1971)

PREPARED/UPLOADED BY: **MGA / HGDE**	VERIFIED BY: **MEVT**

Republic of the Philippines
DEPARTMENT OF SCIENCE AND TECHNOLOGY
Philippine Atmospheric, Geophysical and Astronomical Services Administration (PAGASA)

BAGONG PILIPINAS

TAYA NG PANAHON AT MGA PAYONG PANSAKAHAN
FWFA: NO. 26 – 057

Inilabas ng: 7:00 AM, Miyerkules, 11 Marso 2026 **May bisa hanggang: 7:00 AM, Huwebes, 12 Marso 2026**

SYNOPSIS: Amihan ang nakakaapekto sa Luzon at Kabisayaan. Trough ng Tropical Storm ang nakakaapekto sa silangang bahagi ng Mindanao.

TROPICAL CYCLONE SA LABAS NG PAR KANINANG 3:00 AM
TROPICAL STORM {NURI} (2603)
LOKASYON: 1,290 SILANGAN NG SILANGANG KABISAYAAN (12.0°N, 137.3°E)
TAGLAY NA HANGIN: 65 KM/H
PAGBUGSO: HANGGANG SA 80 KM/H
PAGKILOS: KUMIKILOS NG MABAGAL PA-TIMOG-KANLURAN

LUGAR NG PAGTAYA	LAGAY NG PANAHON PANG-AGRIKULTURA	HANGIN	TEMPERATURA (^{0}C)		RH%	PAGKABASA NG DAHON (ORAS)
			Mababang Bukirin	Mataas na Bukirin		
Dinagat Islands, Surigao del Norte, Surigao del Sur, at Davao Oriental	Maulap na kalangitan na may kalat-kalat na pag-ulan at pagkidlat-pagkulog	Katamtaman hanggang sa malakas mula hilagang silangan hanggang hilaga;	23 – 32	21 – 29	65 – 99	4 – 8
Batanes, Cagayan, Isabela, at Aurora	Maulap na kalangitan na may mahinang pag-ulan	Katamtaman hanggang sa malakas mula hilagang silangan	20 – 29	18 – 27	60 – 98	2 – 6
Metro Manila, natitirang bahagi ng Luzon, at Kabisayaan	Bahagyang maulap hanggang sa maulap na kalangitan na may pulu-pulong mahinang pag-ulan	**Metro Manila at natitirang bahagi ng Luzon** – Katamtaman hanggang sa malakas mula hilagang silangan; **Silangang bahagi ng Kabisayaan** – Katamtaman hanggang sa malakas mula hilagang Silangan hanggang hilaga; **Natitirang bahagi ng Kabisayaaan** – Mahina hanggang sa katamtaman mula hilagang silangan hanggang hilaga	23 – 34	21– 32	55 – 96	0 – 6
Natitirang bahagi ng Mindanao	Bahagyang maulap hanggang sa maulap na kalangitan na may pulu-pulong pag-ulan o pagkidlat-pagkulog	**Natitirang silangang bahagi ng Mindanao** – Katamtaman hanggang sa malakas mula hilagang silangan hanggang hilaga; **Natitirang bahagi ng Mindanao** – Mahina hanggang sa katamtaman mula hilagang silangan hanggang hilaga	24 – 35	21– 33	50 – 96	0 – 4

SA MGA LUGAR NA APEKTADO NG WEATHER SYSTEMS	PAGSUBAYBAY AT PAGTATAYA NG HEAT INDEX (NAOBSERBAHAN AT 2-ARAW NA PAGTATAYA)
TROUGH NG TS, AMIHAN, PAGKIDLAT-PAGKULOG, AT KATAMTAMAN HANGGANG MALAKAS NA PAG-ULAN • Gumamit ng soil moisture monitoring upang maiwasan ang hindi kailangang patubig. • Regular na inspeksyunin ang sistema ng irigasyon upang matiyak ang pantay na distribusyon ng tubig at maiwasan ang sobrang pagbaha. • Putulan ang mga punong namumunga at baging upang mapanatili ang malusog na paglaki at magkaroon ng mas maraming ani. • Gumamit ng organikong pataba o compost upang mapayaman ang lupa at mapabuti ang kalusugan ng mga halaman. • Panatilihing malinis ang mga kagamitang pangsakahan upang maiwasan ang pagkalat ng sakit sa pagitan ng mga pananim. • Idokumento ang epekto ng panahon sa mga pananim upang mapabuti ang pagpaplano at mga climate-resilient na gawain sa hinaharap. • Makinig at sumunod sa mga lokal na abiso mula sa LGUs at DOST-PAGASA para sa maagang babala.	Ang init na nararamdaman ng katawan ng tao (apparent temperature) ay hindi akmang nasusukat gamit lamang ang temperature ng hangin (air temperature). Ito ay mas tamang naitataya kung isasama ang datos ng alinsangan o halumigmig (relative humidity). Ang impormasyon na ito ay tinatawag na Heat Index at ito ay matutukoy gamit ang Heat Index Chart. ***https://www.pagasa.dost.gov.ph/climate/climate-heat-index***

PAYONG PANGSAKAHAN	
KALAGAYAN NG LUPANG SAKAHAN *(Pebrero 21 – 28, 2026)*	**ENSO ALERT SYSTEM STATUS** *(mula noong 09 Marso 2026)*
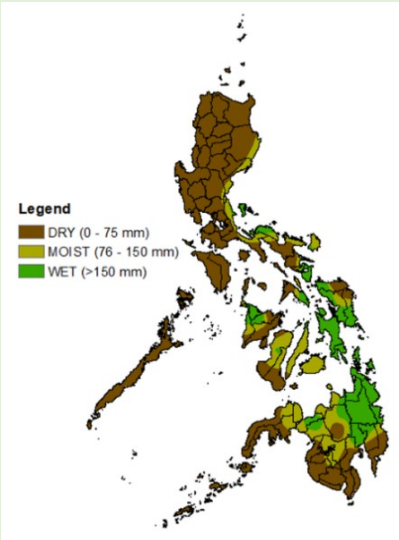 **Basa** – Silangang bahagi ng Quezon, Sorsogon, Silangang Kabisayaan, Caraga, at Lanao del Sur **Katamtaman** – Aurora, Albay, Catanduanes, Camarines Norte, Bohol, Cebu, Negros Occidental, Zamboanga del Norte, Bukidnon, North Cotabato, at Rehiyon ng Davao **Tuyo** – Natitirang bahagi ng bansa	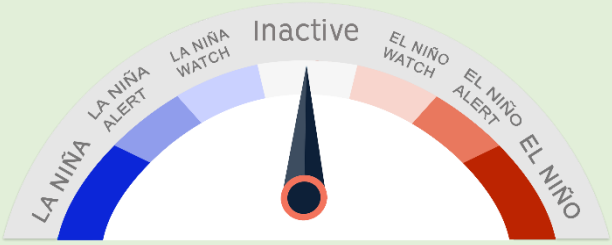 **INACTIVE** https://pagasa.dost.gov.ph/climate/elnino-la-nina/monitoring Mahalagang maghanda ang mga magsasaka sa pamamagitan ng pagpapatibay ng mga estruktura sa sakahan, pagpapanatili ng maayos na daluyan ng tubig, at maagap na pag-aani ng mga pananim na malapit nang mahinog kapag may banta ng tuluy-tuloy na pag-ulan. Dapat ding tiyakin ang wastong pagpapatuyo at ligtas na pag-iimbak ng ani upang maiwasan ang pagkasira, habang masusing binabantayan ang paglitaw ng mga peste at sakit, lalo na ang mga dulot ng basang kondisyon. Ang patuloy na pakikipag-ugnayan sa mga lokal na tanggapan ng agrikultura at pagsubaybay sa mga abiso ng DOST-PAGASA ay makatutulong sa napapanahong pagpapasya at mas matibay na paghahanda laban sa mga epekto ng La Niña.

Republic of the Philippines
DEPARTMENT OF SCIENCE AND TECHNOLOGY
Philippine Atmospheric, Geophysical and Astronomical Services Administration (PAGASA)

BAGONG PILIPINAS

PAYO SA MGA MANGINGISDA

GALE WARNING AT KONDISYON NG KARAGATAN

Walang nakataas na Gale Warning.

Katamtaman hanggang sa maalon na karagatan ang iiral sa **mga baybayin ng Luzon at silangang bahagi ng Kabisayaan, at Mindanao** habang banayad hanggang sa katamtaman na pag-alon ang inaasahan sa **natitirang bahagi ng kapuluan**. Ang mga mangingisda ay pinapaalalahanan na palaging mag-ingat, ugaliing magdala ng mga gamit pangkagipitan, magbantay at makinig sa mga paalala at patalastas mula sa DOST-PAGASA.

DAGDAG KAALAMAN

DAILY EXTREMES		MONTHLY EXTREMES	
Pinakamataas na Temperatura	37.0 ºC (Tuguegarao, 1982,1988)	Pinakamataas na Temperatura	40.0 ºC (Tuguegarao, 1978)
Pinakamababang Temperatura	10.4 ºC (Baguio City, 2003)	Pinakamababang Temperatura	7.4 ºC (Baguio City, 1963)
Pinakamaraming Ulan	209.2 mm (Legaspi City, 1971)	Pinakamaraming Ulan	401.0 mm (Casiguran, 1971)

INIHANDA HANDA/INI-UPLOAD NINA: **MGA / HGDE** | BINIGYANG PANSIN NI: **MEVT**