Republic of the Philippines
DEPARTMENT OF SCIENCE AND TECHNOLOGY
Philippine Atmospheric, Geophysical and Astronomical Services Administration (PAGASA)

BAGONG PILIPINAS

FARM WEATHER FORECAST AND ADVISORIES
FWFA: NO. 26 – 059

Issued: 6:00 PM, Thursday, 12 March 2026 **Valid until: 4:00 PM, Friday, 13 March 2026**

SYNOPSIS: Northeast Monsoon affecting Luzon and Visayas.

TROPICAL CYCLONE OUTSIDE PAR AS OF 3:00 PM TODAY
TROPICAL DEPRESSION {NURI} (2603)
LOCATION: 1,415 KM EAST OF EASTERN VISAYAS (10.6°N, 138.7°E)
MAXIMUM SUSTAINED WINDS: 45 KM/H NEAR THE CENTER
GUSTINESS: UP TO 55 KM/H
MOVEMENT: EAST NORTHEASTWARD SLOWLY

FORECAST AREA	AGRI-WEATHER	WINDS	TEMPERATURE (0C)		RH%	LEAF WETNESS (HRS)
			LOWLAND	UPLAND		
Surigao del Sur and Davao Oriental	Cloudy skies with scattered rains and thunderstorms	Moderate to strong from northeast to north;	24 – 30	22 – 29	65 – 98	4 – 8
Cagayan Valley, Apayao, Kalinga, Mountain Province, Ifugao, and Aurora	Cloudy skies with light rains	Moderate to strong from northeast	20 – 28	14 – 26	60 – 98	2 – 6
Metro Manila, the rest of Luzon, Visayas, Zamboanga Peninsula, and Northern Mindanao	Partly cloudy to cloudy skies with isolated light rains	**Metro Manila, and the rest of Luzon and Visayas** – Light to moderate to strong from northeast; **Zamboanga Peninsula, and Northern Mindanao** – Light to moderate from northeast to north	21 – 32	12– 30	55 – 96	0 – 6
The rest of Mindanao	Partly cloudy to cloudy skies with isolated rainshowers or thunderstorms	Light to moderate from northeast to north	24 – 31	22 – 30	50 – 96	0 – 4

AREAS AFFECTED BY THE WEATHER SYSTEMS	HEAT INDEX MONITORING AND FORECASTING (OBSERVED AND 2-DAY FORECAST)
TROUGH OF TS, NORTHEAST MONSOON, THUNDERSTORMS AND MODERATE TO HEAVY RAINS • Monitor crops regularly for pests and diseases, especially in wet and humid conditions. • Use mulching to conserve soil moisture and reduce erosion. • Support climbing and tall crops to prevent lodging from wind and heavy rain. • Apply compost or organic matter to improve soil structure and water absorption. • Loosen soil lightly after rainfall to improve aeration. • Avoid farm work during thunderstorms and lightning. • Secure farm structures, greenhouses, and storage facilities. • Store harvested crops in dry, elevated, and ventilated areas. • Monitor weather forecasts for scheduling harvest, drying, and transport.	The Heat Index is a human discomfort index that gives the apparent temperature on what humans perceive or feel as the temperature (from the surroundings) affecting the body. High air temperature and high relative humidity results to high apparent temperature *https://www.pagasa.dost.gov.ph/climate/climate-heat-index*

FARM ADVISORY

SOIL MOISTURE CONDITION *(March 1 – 10, 2026)*	ENSO ALERT SYSTEM STATUS *(Updated as of 09 March 2026)*
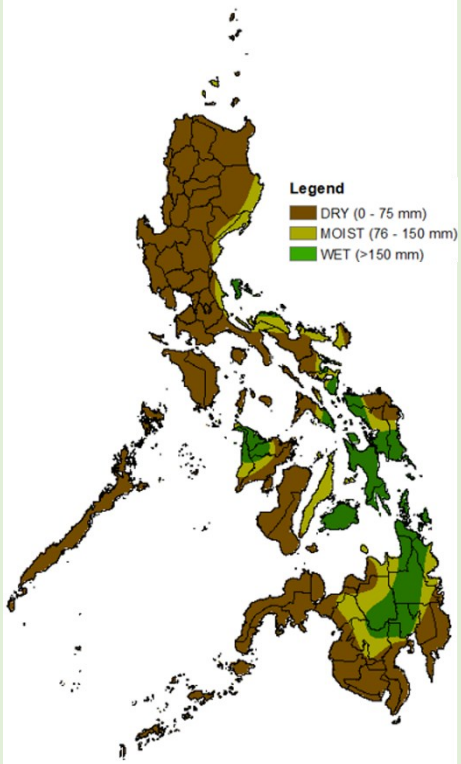 **Wet** – Infanta, Capiz, Bohol, Eastern Visayas, Davao del Norte, Caraga, and Lanao del Sur **Moist** – Calayan, Aurora, Alabat, Sorsogon, Albay, Catanduanes, Camarines Norte, Cebu, Bukidnon, North Cotabato **Dry** – The rest of the country	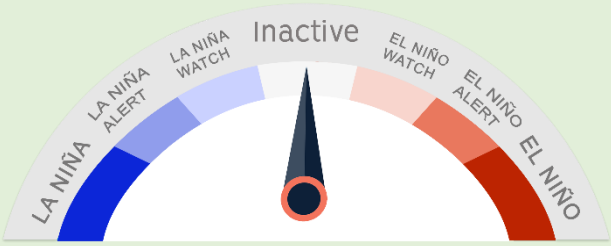 **INACTIVE** *https://pagasa.dost.gov.ph/climate/elnino-la-nina/monitoring* Farmers are advised to maintain drainage systems, harvest mature crops early, and store produce properly to prevent spoilage. Regular monitoring of crops for pests and diseases is recommended, and farm structures should be strengthened against strong winds and heavy rains. Stay updated with DOST-PAGASA weather forecasts and coordinate with local agriculture offices for timely farm decisions.

FISHING ADVISORY

GALE WARNING AND SEA CONDITION

Gale warning is raised over the seaboards of extreme northern Luzon (Batanes and Babuyan Islands), the western seaboard of Northern Luzon (the western coast of Ilocos Norte {Burgos, Pasuquin, Bacarra, Laoag City, Paoay, Currimao, Pinili, Badoc}).

Moderate to rough seas will prevail over the **seaboards of Northern Luzon and the eastern seabeards of the country,** while slight to moderate seas are expected over **the rest of the archipelago**. Still be reminded to be very careful in fishing, especially those using small seacraft. Always bring an emergency kit. Be updated for the latest weather updates and farm advisories from DOST- PAGASA.

ADDITIONAL INFORMATION

DAILY EXTREMES		MONTHLY EXTREMES	
Maximum Temperature	38.0 ºC (General Santos City, 1988)	Maximum Temperature	40.0 ºC (Tuguegarao, 1978)
Minimum Temperature	9.8 ºC (Baguio City, 2003)	Minimum Temperature	7.4 ºC (Baguio City, 1963)
Rainfall	204.0 mm (Tacloban City, 1991)	Rainfall	401.0 mm (Casiguran, 1971)

PREPARED/UPLOADED BY**: MTR/JAE** | VERIFIED BY: **MEVT**

Republic of the Philippines
DEPARTMENT OF SCIENCE AND TECHNOLOGY
Philippine Atmospheric, Geophysical and Astronomical Services Administration (PAGASA)

BAGONG PILIPINAS

TAYA NG PANAHON AT MGA PAYONG PANSAKAHAN
FWFA: NO. 26 – 059

Inilabas ng: 6:00 PM, Huwebes, 12 Marso 2026 **May bisa hanggang: 4:00 PM, Biyernes, 13 Marso 2026**

SYNOPSIS: Amihan ang nakakaapekto sa Luzon at Kabisayaan.

TROPICAL CYCLONE SA LABAS NG PAR KANINANG 3:00 PM
TROPICAL STORM {NURI} (2603)
LOKASYON: 1,415 SILANGAN NG SILANGANG KABISAYAAN (10.6°N, 138.7°E)
TAGLAY NA HANGIN: 45 KM/H MALAPIT SA GITNA
PAGBUGSO: HANGGANG SA 55 KM/H
PAGKILOS: SILANGAN HILAGANG SILANGAN NG MABAGAL

LUGAR NG PAGTAYA	LAGAY NG PANAHON PANG-AGRIKULTURA	HANGIN	TEMPERATURA (^{0}C)		RH%	PAGKABASA NG DAHON (ORAS)
			Mababang Bukirin	Mataas na Bukirin		
Surigao del Sur at Davao Oriental	Maulap na kalangitan na may kalat-kalat na pag-ulan at pagkidlat-pagkulog	Katamtaman hanggang sa malakas mula hilagang silangan hanggang hilaga;	24 – 30	22 – 29	65 – 98	4 – 8
Cagayan Valley, Apayao, Kalinga, Mountain Province, Ifugao, at Aurora	Maulap na kalangitan na may mahinang pag-ulan	Katamtaman hanggang sa malakas mula hilagang silangan	20 – 28	14 – 26	60 – 98	2 – 6
Metro Manila, natitirang bahagi ng Luzon, Kabisayaan, Zamboanga Peninsula, at Northern Mindanao	Bahagyang maulap hanggang sa maulap na kalangitan na may pulu-pulong mahinang pag-ulan	**Metro Manila at natitirang bahagi ng Luzon at Kabisayaan** – Mahina hanggang sa katamtaman mula hilagang silangan; **Zamboanga Peninsula at Northern Mindanao** – Mahina hanggang sa katamtaman mula hilagang silangan hanggang hilaga	21 – 32	12– 30	55 – 96	0 – 6
Natitirang bahagi ng Mindanao	Bahagyang maulap hanggang sa maulap na kalangitan na may pulu-pulong pag-ulan o pagkidlat-pagkulog	Mahina hanggang sa katamtaman mula hilagang silangan hanggang hilaga	24 – 31	22 – 30	50 – 96	0 – 4

SA MGA LUGAR NA APEKTADO NG WEATHER SYSTEMS	PAGSUBAYBAY AT PAGTATAYA NG HEAT INDEX (NAOBSERBAHAN AT 2-ARAW NA PAGTATAYA)
TROUGH NG TS, AMIHAN, PAGKIDLAT-PAGKULOG, AT KATAMTAMAN HANGGANG MALAKAS NA PAG-ULAN • Regular na subaybayan ang pananim para sa peste at sakit, lalo na sa basa at mahalumigmig na panahon. • Gumamit ng mulching upang mapanatili ang halumigmig ng lupa at maiwasan ang pagguho.	Ang init na nararamdaman ng katawan ng tao (apparent temperature) ay hindi akmang nasusukat gamit lamang ang temperature ng hangin (air temperature). Ito ay mas tamang naitataya kung isasama ang datos ng alinsangan o halumigmig (relative humidity). Ang impormasyon na ito ay

• Suportahan ang mga gumagapang at matataas na pananim laban sa hangin at malakas na ulan. • Maglagay ng compost o organikong materyal upang mapabuti ang lupa at pagsipsip ng tubig. • Bahagyang bungkalin ang lupa pagkatapos ng ulan upang mapabuti ang aerasyon ng lupa. • Iwasan ang pagtatrabaho sa bukid kapag may kulog at kidlat. • Siguraduhin ang tibay ng mga estruktura sa bukid, greenhouse, at imbakan. • Itago ang ani sa tuyo, mataas, at maayos ang bentilasyon. • Subaybayan ang ulat ng panahon para sa maayos na iskedyul ng ani, pagpapatuyo, at transportasyon.	tinatawag na Heat Index at ito ay matutukoy gamit ang Heat Index Chart. ***https://www.pagasa.dost.gov.ph/climate/climate-heat-index***

PAYONG PANGSAKAHAN

KALAGAYAN NG LUPANG SAKAHAN *(Marso 1-10, 2026)*	ENSO ALERT SYSTEM STATUS *(mula noong 09 Marso 2026)*
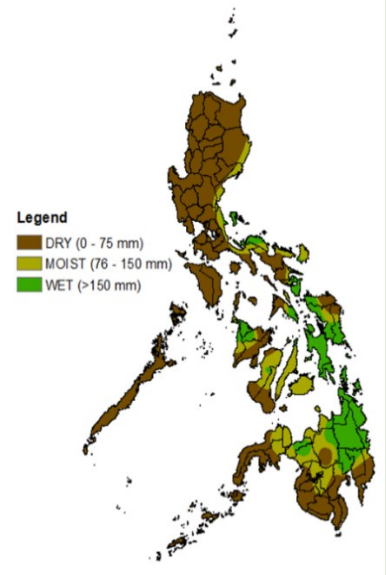 **Basa** – Infanta, Capiz, Bohol, Eastern Visayas, Davao del Norte, Caraga, and Lanao del Sur **Katamtaman** – Calayan, Aurora, Alabat, Sorsogon, Albay, Catanduanes, Camarines Norte, Cebu, Bukidnon, North Cotabato **Tuyo** – Natitirang bahagi ng bansa	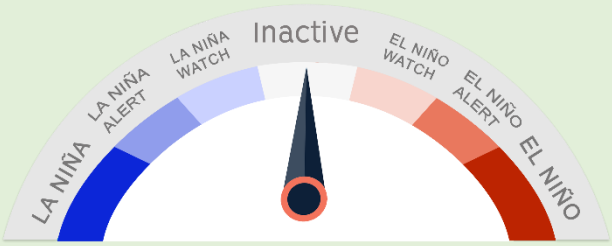 **INACTIVE** *https://pagasa.dost.gov.ph/climate/elnino-la-nina/monitoring* Ipinapayo sa mga magsasaka na panatilihin ang maayos na paagusan, maagang anihin ang hinog na pananim, at tamang imbakan ng ani upang maiwasan ang pagkasira. Regular na subaybayan ang mga peste at sakit ng pananim, at patibayin ang mga estruktura sa bukid laban sa malakas na hangin at ulan. Makipag-ugnayan sa DOST-PAGASA at lokal na tanggapan ng agrikultura para sa tamang desisyon sa bukid.

PAYO SA MGA MANGINGISDA

GALE WARNING AT KONDISYON NG KARAGATAN

Nakataas ang Gale Warning sa mga baybaying-dagat ng pinakamalayong hilagang Luzon (Batanes at Babuyan Islands) at sa kanlurang baybayin ng hilagang Luzon (kanlurang baybayin ng Ilocos Norte: Burgos, Pasuquin, Bacarra, Laoag City, Paoay, Currimao, Pinili, at Badoc).

Katamtaman hanggang sa maalon na karagatan ang iiral sa **mga baybayin ng Luzon at silangang bahagi ng Kabisayaan, at Mindanao** habang banayad hanggang sa katamtaman na pag-alon ang inaasahan sa **natitirang bahagi ng kapuluan**. Ang mga mangingisda ay pinapaalalahanan na palaging mag-ingat, ugaliing magdala ng mga gamit pangkagipitan, magbantay at makinig sa mga paalala at patalastas mula sa DOST-PAGASA.

DAGDAG KAALAMAN

DAILY EXTREMES		MONTHLY EXTREMES	
Pinakamataas na Temperatura	38.0 ºC (General Santos City, 1988)	Pinakamataas na Temperatura	40.0 ºC (Tuguegarao, 1978)
Pinakamababang Temperatura	9.8 ºC (Baguio City, 2003)	Pinakamababang Temperatura	7.4 ºC (Baguio City, 1963)

Pinakamaraming Ulan	204.0 mm (Tacloban City, 1991)	Pinakamaraming Ulan	401.0 mm (Casiguran, 1971)

INIHANDA HANDA/INI-UPLOAD NINA: **MTR/JAE**	BINIGYANG PANSIN NI: **MEVT**