Republic of the Philippines
DEPARTMENT OF SCIENCE AND TECHNOLOGY
Philippine Atmospheric, Geophysical and Astronomical Services Administration (PAGASA)

BAGONG PILIPINAS

WEEKEND/SPECIAL FARM WEATHER OUTLOOK

WSFWO: NO. 26 – 060

Issued: 4:00 PM, Friday, 13 March 2026 | **Valid until: 7:00 AM, Monday, 16 March 2026**

Today (March 13): the *Northeast Monsoon* will bring cloudy skies with light rains over **Cagayan Valley, Apayao, Kalinga, Mountain Province, Ifugao, Aurora, Quezon, Camarines Norte, Camarines Sur,** and **Catanduanes**. It will also bring partly cloudy to cloudy skies with isolated light rains over **Metro Manila, The rest of Luzon, Visayas, Zamboanga Peninsula, Northern Mindanao,** and **Caraga**. The **rest of Mindanao** will experience partly cloudy to cloudy skies with isolated rainshowers or thunderstorms.

By Tomorrow to Monday (March 14-16): the *Northeast Monsoon* will continue to affect most of the country, bringing generally partly cloudy skies over **Luzon, Visayas, Northern Mindanao, And Caraga**, becoming cloudy with isolated light rains over the eastern sections. The **rest of Mindanao** will remain partly cloudy to cloudy apart from isolated rainshowers or thunderstorms.

FORECAST AREA	TEMPERATURE		RH (%)	LEAF WETNESS (HRS)
	LOWLAND	UPLAND		
LUZON	20 – 33	11 – 30	60 – 99	0 – 6
VISAYAS	22 – 31	20 – 30	55 – 99	0 – 6
MINDANAO	23 – 33	21 – 31	50 – 96	0 – 6

FARM ADVISORY

SOIL MOISTURE CONDITION
(March 1 –10, 2026)

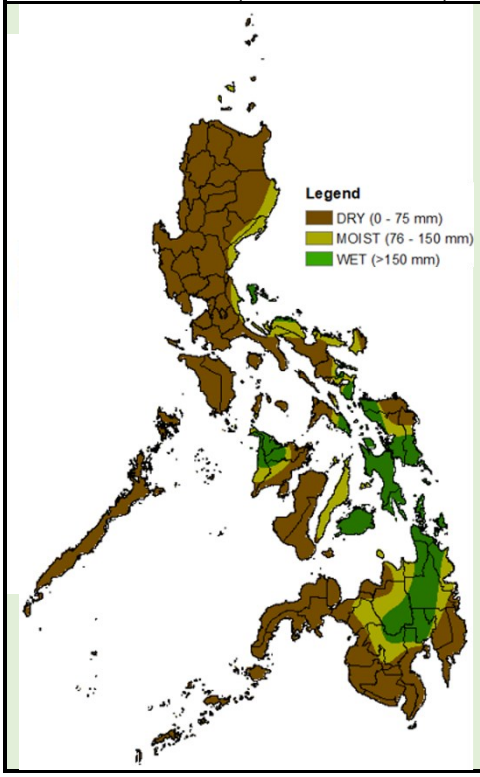

Wet – Infanta, Capiz, Bohol, Eastern Visayas, Davao del Norte, Caraga, and Lanao del Sur

Moist – Calayan, Aurora, Alabat, Sorsogon, Albay, Catanduanes, Camarines Norte, Cebu, Bukidnon, North Cotabato

Dry – The rest of the country

ENSO ALERT SYSTEM STATUS
(Updated as of 09 March 2026)

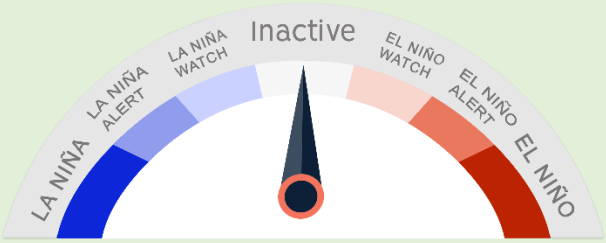

INACTIVE

https://pagasa.dost.gov.ph/climate/elnino-la-nina/monitoring

Ensure good field drainage by using raised beds and properly leveled fields, and regularly inspect canals, bunds, and embankments to prevent flooding. Secure nurseries, trellises, and windbreaks to protect crops from strong winds and heavy rains. Harvest mature and near-mature crops early when prolonged rainfall is forecast. Dry and store harvested produce using covered, elevated, and well-ventilated facilities to avoid spoilage. Monitor crops closely for pest and disease outbreaks, particularly fungal infections during wet conditions, and apply control measures when weather permits. Coordinate with the Municipal/City Agriculture Office and regularly follow DOST-PAGASA advisories for timely updates and guidance.

AREAS AFFECTED BY THE WEATHER SYSTEMS	HEAT INDEX MONITORING AND FORECASTING (OBSERVED AND 2-DAY FORECAST)
NORTHEAST MONSOON, THUNDERSTORMS AND MODERATE TO HEAVY RAINS • Use soil moisture monitoring to avoid unnecessary irrigation. • Inspect irrigation systems regularly to ensure even water distribution and prevent waterlogging. • Prune fruit trees and vines to promote healthy growth and better yields. • Use organic compost to enrich the soil and improve plant health. • Keep farm tools clean to prevent disease transmission between plants. • Document weather impacts on crops to improve future planning and climate-resilient practices. • Keep updated with local advisories from LGUs and DOST-PAGASA for early warnings.	The Heat Index is a human discomfort index that gives the apparent temperature on what humans perceive or feel as the temperature (from the surroundings) affecting the body. High air temperature and high relative humidity results to high apparent temperature *https://www.pagasa.dost.gov.ph/climate/climate-heat-index*

PREPARED/UPLOADED BY: **MGA / RVDD**	VERIFIED BY: **MEVT**

Republic of the Philippines
DEPARTMENT OF SCIENCE AND TECHNOLOGY
Philippine Atmospheric, Geophysical and Astronomical Services Administration (PAGASA)

BAGONG PILIPINAS

TAYA NG PANAHON AT MGA PAYONG PANSAKAHAN

FWFA: NO. 26 – 060

Inilabas ng: 4:00 PM, Biyernes, 13 Marso 2026 **May bisa hanggang: 7:00 AM, Lunes, 16 Marso 2026**

Ngayong Araw (Marso 13): Ang *Amihan* ay magdadala ng maulap na kalangitan na may mahinang pag-ulan sa **Cagayan Valley, Apayao, Kalinga, Mountain Province, Ifugao, Aurora, Quezon, Camarines Norte, Camarines Sur,** at **Catanduanes**. Magdadala din ito ng bahagyang maulap hanggang sa maulap na kalangitan na may mahinang pag-ulan sa **Metro Manila, natitirang bahagi ng Luzon, Kabisayaan, Zamboanga Peninsula, Northern Mindanao,** at **Caraga**. Ang **natitirang bahagi ng Mindanao** ay makararanas ng bahagyang maulap hanggang sa maulap na kalangitan na may mga pulu-pulong pag-ulan o pagkulog at pagkidlat.

Bukas hanggang Lunes (Marso 14 – 16): patuloy na makakaapekto ang *Amihan* sa malaking bahagi ng bansa na magdadala ng bahagyang maulap na kalangitan sa **Luzon, Kabisayaan, Northern Mindanao, at Caraga,** ngunit magiging maulap na may pulo-pulong mahihinang pag-ulan ang mararanasan sa **silangang bahagi ng mga ito.** Ang **natitirang bahagi ng Mindanao** ay patuloy na makararanas ng bahagyang maulap hanggang sa maulap na kalangitan maliban sa pulu-pulong pag-ulan o pagkulog at pagkidlat.

LUGAR NG PAGTAYA	TEMPERATURA (^{0}C)		RH (%)	PAGKABASA NG DAHON (ORAS)
	Mababang Bukirin	Mataas na Bukirin		
LUZON	20 – 33	11 – 30	60 – 99	0 – 6
VISAYAS	22 – 31	20 – 30	55 – 99	0 – 6
MINDANAO	23 – 33	21 – 31	50 – 96	0 – 6

PAYONG PANGSAKAHAN

KALAGAYAN NG LUPANG SAKAHAN
(Marso 1-10, 2026)

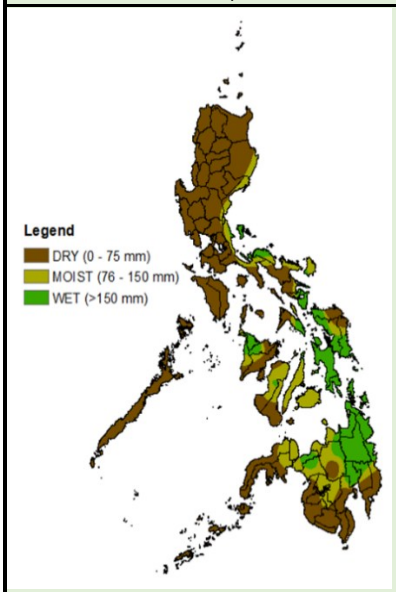

Basa – Infanta, Capiz, Bohol, Eastern Visayas, Davao del Norte, Caraga, and Lanao del Sur

Katamtaman – Calayan, Aurora, Alabat, Sorsogon, Albay, Catanduanes, Camarines Norte, Cebu, Bukidnon, North Cotabato

Tuyo – Natitirang bahagi ng bansa

ENSO ALERT SYSTEM STATUS
(mula noong 09 Marso 2026)

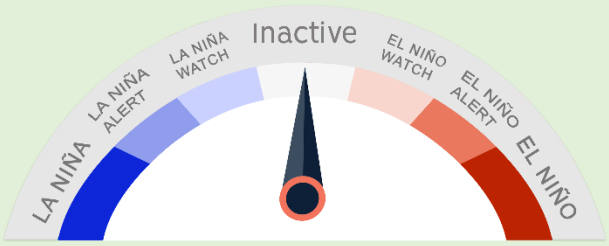

INACTIVE
https://pagasa.dost.gov.ph/climate/elnino-la-nina/monitoring

Siguraduhin ang maayos na daloy ng tubig sa taniman sa pamamagitan ng raised beds at tamang pag-level ng lupa, at regular na inspeksyunin ang mga kanal, pilapil, at embankment upang maiwasan ang pagbaha. I-secure ang mga nursery, trellis, at windbreaks para protektahan ang pananim mula sa malakas na hangin at matinding ulan. Aniin nang maaga ang mga hinog o malapit nang hinog na pananim kapag inaasahan ang matagal na pag-ulan. Patuyuin at itago ang ani sa mabubungad, mataas, at maayos na bentiladong lugar upang maiwasan ang pagkasira. Subaybayan ang pananim laban sa peste at sakit, lalo na ang fungal infections sa basa at mahalumigmig na panahon, at agad na gumawa ng angkop na kontrol kapag pinahihintulutan ng panahon. Makipag-ugnayan sa Municipal/City Agriculture Office at regular na sundan ang DOST-PAGASA advisories para sa pinakabagong impormasyon at gabay.

SA MGA LUGAR NA APEKTADO NG WEATHER SYSTEMS	PAGSUBAYBAY AT PAGTATAYA NG HEAT INDEX (NAOBSERBAHAN AT 2-ARAW NA PAGTATAYA)
AMIHAN, PAGKIDLAT-PAGKULOG, AT KATAMTAMAN HANGGANG MALAKAS NA PAG-ULAN • Gumamit ng soil moisture monitoring upang maiwasan ang hindi kailangang patubig. • Regular na inspeksyunin ang sistema ng irigasyon upang matiyak ang pantay na distribusyon ng tubig at maiwasan ang sobrang pagbaha. • Putulan ang mga punong namumunga at baging upang mapanatili ang malusog na paglaki at magkaroon ng mas maraming ani. • Gumamit ng organikong pataba o compost upang mapayaman ang lupa at mapabuti ang kalusugan ng mga halaman. • Panatilihing malinis ang mga kagamitang pangsakahan upang maiwasan ang pagkalat ng sakit sa pagitan ng mga pananim. • Idokumento ang epekto ng panahon sa mga pananim upang mapabuti ang pagpaplano at mga climate-resilient na gawain sa hinaharap. • Makinig at sumunod sa mga lokal na abiso mula sa LGUs at DOST-PAGASA para sa maagang babala.	Ang init na nararamdaman ng katawan ng tao (apparent temperature) ay hindi akmang nasusukat gamit lamang ang temperature ng hangin (air temperature). Ito ay mas tamang naitataya kung isasama ang datos ng alinsangan o halumigmig (relative humidity). Ang impormasyon na ito ay tinatawag na Heat Index at ito ay matutukoy gamit ang Heat Index Chart. ***https://www.pagasa.dost.gov.ph/climate/climate-heat-index***

PREPARED/UPLOADED BY: **MGA / RVDD** VERIFIED BY: **MEVT**