Republic of the Philippines
**DEPARTMENT OF SCIENCE AND TECHNOLOGY**
**Philippine Atmospheric, Geophysical and Astronomical Services Administration (PAGASA)**

BAGONG PILIPINAS

# FARM WEATHER FORECAST AND ADVISORIES
## FWFA: NO. 26 – 063

**Issued: 7:00 AM, Thursday, 19 March 2026** **Valid until: 7:00 AM, Friday, 20 March 2026**

**SYNOPSIS: Northeast Monsoon affecting Northern Luzon.**

| FORECAST AREA | AGRI-WEATHER | WINDS | TEMPERATURE (0C) | | RH% | LEAF WETNESS (HRS) |
|---|---|---|---|---|---|---|
| | | | LOWLAND | UPLAND | | |
| **Cordillera Administrative Region, Cagayan, Isabela, Quirino, Nueva Vizcaya, and Aurora** | Cloudy skies with light rains | **Cagayan, Isabela, Quirino, and Aurora** – Moderate from northeast to east;<br><br>**Cordillera Administrative Region and Nueva Vizcaya –** Light to moderate from northeast to north | 20 – 30 | 14 – 28 | 60 – 98 | 2 – 6 |
| **Ilocos Region and Batanes** | Partly cloudy to cloudy skies with isolated light rains | Light to moderate from northeast to north | 21 – 32 | 19 – 30 | 55 – 97 | 0 – 6 |
| **Metro Manila and the rest of the country** | Partly cloudy to cloudy skies with isolated rainshowers or thunderstorms | **The eastern sections of Visayas and Mindanao** – Moderate to strong from northeast to north;<br><br>**The rest of the eastern section of Luzon –** Moderate from northeast to east;<br><br>**The rest of the country** – Light to moderate from northeast to north | 20 – 33 | 16 – 30 | 50 – 96 | 0 – 4 |

| AREAS AFFECTED BY THE WEATHER SYSTEMS | HEAT INDEX MONITORING AND FORECASTING (OBSERVED AND 2-DAY FORECAST) |
|---|---|
| **NORTHEAST MONSOON, THUNDERSTORMS AND MODERATE TO HEAVY RAINS**<br>• Mulch around plants to retain soil moisture, suppress weeds, and regulate temperature.<br>• Inspect irrigation systems regularly to ensure even water distribution and prevent waterlogging.<br>• Prune fruit trees and vines to promote healthy growth and better yields.<br>• Use organic compost to enrich the soil and improve plant health.<br>• Keep farm tools clean to prevent disease transmission between plants.<br>• Document weather impacts on crops to improve future planning and climate-resilient practices.<br>• Keep updated with local advisories from LGUs and DOST-PAGASA for early warnings. | The Heat Index is a human discomfort index that gives the apparent temperature on what humans perceive or feel as the temperature (from the surroundings) affecting the body. High air temperature and high relative humidity results to high apparent temperature *https://www.pagasa.dost.gov.ph/climate/climate-heat-index* |

Republic of the Philippines
**DEPARTMENT OF SCIENCE AND TECHNOLOGY**
**Philippine Atmospheric, Geophysical and Astronomical Services Administration (PAGASA)**

BAGONG PILIPINAS

## FARM ADVISORY

| SOIL MOISTURE CONDITION *(March 1 – 10, 2026)* | | ENSO ALERT SYSTEM STATUS *(Updated as of 09 March 2026)* |
|---|---|---|
| 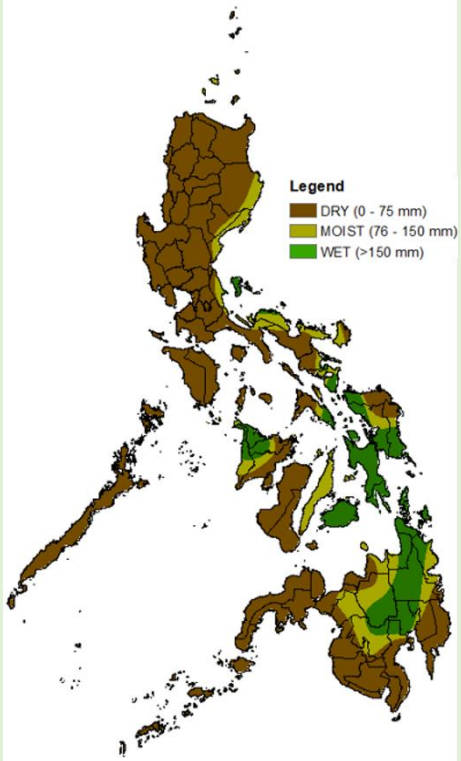  | **Wet** – Infanta, Capiz, Bohol, Eastern Visayas, Davao del Norte, Caraga, and Lanao del Sur<br><br>**Moist** – Calayan, Aurora, Alabat, Sorsogon, Albay, Catanduanes, Camarines Norte, Cebu, Bukidnon, North Cotabato<br><br>**Dry** – The rest of the country | 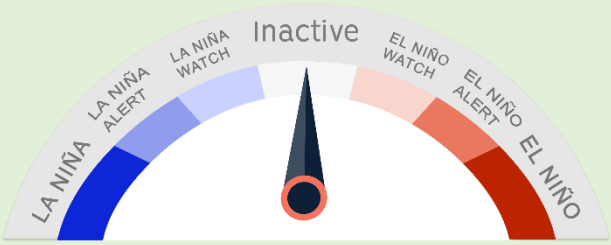 <br>**INACTIVE**<br>https://pagasa.dost.gov.ph/climate/elnino-la-nina/monitoring<br><br>Farmers should strengthen farm structures, maintain efficient drainage systems, and harvest mature or near-mature crops early when prolonged rainfall is expected. Proper drying and storage of produce in covered, elevated, and well-ventilated areas are essential to prevent spoilage, while close monitoring for pests and diseases—especially fungal infections under wet conditions—should be practiced. Continuous coordination with local agriculture offices and regular monitoring of advisories from DOST-PAGASA will support timely decision-making and improve farm resilience |

## FISHING ADVISORY

### GALE WARNING AND SEA CONDITION

**No Gale Warning** was raised.

Moderate to rough seas will prevail over the **seaboards of the eastern sections of Visayas and Mindanao,** while moderate seas over the eastern section of Luzon. Slight to moderate seas is expected over **the rest of the archipelago**.
Still be reminded to be very careful in fishing, especially those using small seacraft. Always bring an emergency kit. Be updated for the latest weather updates and farm advisories from DOST- PAGASA.

## ADDITIONAL INFORMATION

| DAILY EXTREMES | | MONTHLY EXTREMES | |
|---|---|---|---|
| Maximum Temperature | 38.9 ºC (Tuguegarao City, 1961) | Maximum Temperature | 40.0 ºC (Tuguegarao, 1978) |
| Minimum Temperature | 10.8 ºC (Baguio City, 1974) | Minimum Temperature | 7.4 ºC (Baguio City, 1963) |
| Rainfall | 237.5 mm (Surigao City, 2011) | Rainfall | 401.0 mm (Casiguran, 1971) |

| PREPARED/UPLOADED BY**: NRE / ARL** | VERIFIED BY: **MEVT** |
|---|---|

Republic of the Philippines
**DEPARTMENT OF SCIENCE AND TECHNOLOGY**
**Philippine Atmospheric, Geophysical and Astronomical Services Administration (PAGASA)**

BAGONG PILIPINAS

# TAYA NG PANAHON AT MGA PAYONG PANSAKAHAN
## FWFA: NO. 26 – 063

**Inilabas ng: 7:00 AM, Huwebes, 19 Marso 2026** **May bisa hanggang: 7:00 AM, Biyernes, 20 Marso 2026**

**SYNOPSIS: Amihan ang nakakaapekto sa Hilagang Luzon.**

| LUGAR NG PAGTAYA | LAGAY NG PANAHON PANG-AGRIKULTURA | HANGIN | TEMPERATURA ($^0$C) | | RH% | PAGKABASA NG DAHON (ORAS) |
|---|---|---|---|---|---|---|
| | | | Mababang Bukirin | Mataas na Bukirin | | |
| **Cordillera Administrative Region, Cagayan, Isabela, Quirino, Nueva Vizcaya, at Aurora** | Maulap na kalangitan na may mahinang pag-ulan | **Cagayan, Isabela, Quirino, at Aurora** – Katamtaman mula hilagang silangan hanggang silangan;<br><br>**Cordillera Administrative Region at Nueva Vizcaya –** Mahina hanggang sa katamtaman mula hilagang silangan hanggang hilaga | 20 – 30 | 14 – 28 | 60 – 98 | 2 – 6 |
| **Rehiyon ng Ilocos at Batanes** | Bahagyang maulap hanggang sa maulap na kalangitan na may pulu-pulong mahinang pag-ulan | Mahina hanggang sa katamtaman mula hilagang silangan hanggang hilaga | 21 – 32 | 19 – 30 | 55 – 97 | 0 – 6 |
| **Metro Manila at natitirang bahagi ng bansa** | Bahagyang maulap hanggang sa maulap na kalangitan na may pulu-pulong pag-ulan o pagkidlat-pagkulog | **Silangang bahagi ng Visayas at Mindanao –** Katamtaman hanggang sa malakas mula hilagang silangan hanggang hilaga;<br><br>**Natitirang bahagi sa silangan ng Luzon –** Katamtaman mula hilagang silangan hanggang silangan;<br><br>**Natitirang bahagi ng bansa –** Mahina hanggang sa katamtaman mula hilagang silangan hanggang hilaga | 20 – 33 | 16 – 30 | 50 – 96 | 0 – 4 |

| SA MGA LUGAR NA APEKTADO NG WEATHER SYSTEMS | PAGSUBAYBAY AT PAGTATAYA NG HEAT INDEX (NAOBSERBAHAN AT 2-ARAW NA PAGTATAYA) |
|---|---|
| **AMIHAN, PAGKIDLAT-PAGKULOG, AT KATAMTAMAN HANGGANG MALAKAS NA PAG-ULAN**<br>• Maglagay ng dayami o mulch sa paligid ng mga halaman upang mapanatili ang halumigmig ng lupa, mapigilan ang damo, at ma-regulate ang temperatura.<br>• Regular na inspeksyunin ang sistema ng irigasyon upang matiyak ang pantay na distribusyon ng tubig at maiwasan ang sobrang pagbaha. | Ang init na nararamdaman ng katawan ng tao (apparent temperature) ay hindi akmang nasusukat gamit lamang ang temperature ng hangin (air temperature). Ito ay mas tamang naitataya kung isasama ang datos ng alinsangan o halumigmig (relative humidity). Ang impormasyon na ito ay tinatawag na Heat Index at ito ay matutukoy gamit ang Heat Index Chart. |

| | |
|---|---|
| • Putulan ang mga punong namumunga at baging upang mapanatili ang malusog na paglaki at magkaroon ng mas maraming ani.<br>• Gumamit ng organikong pataba o compost upang mapayaman ang lupa at mapabuti ang kalusugan ng mga halaman.<br>• Panatilihing malinis ang mga kagamitang pangsakahan upang maiwasan ang pagkalat ng sakit sa pagitan ng mga pananim.<br>• Idokumento ang epekto ng panahon sa mga pananim upang mapabuti ang pagpaplano at mga climate-resilient na gawain sa hinaharap.<br>• Makinig at sumunod sa mga lokal na abiso mula sa LGUs at DOST-PAGASA para sa maagang babala. | ***https://www.pagasa.dost.gov.ph/climate/climate-heat-index*** |

## PAYONG PANGSAKAHAN

| **KALAGAYAN NG LUPANG SAKAHAN** *(Marso 1 – 10, 2026)* | **ENSO ALERT SYSTEM STATUS** *(mula noong 09 Marso 2026)* |
|---|---|
| 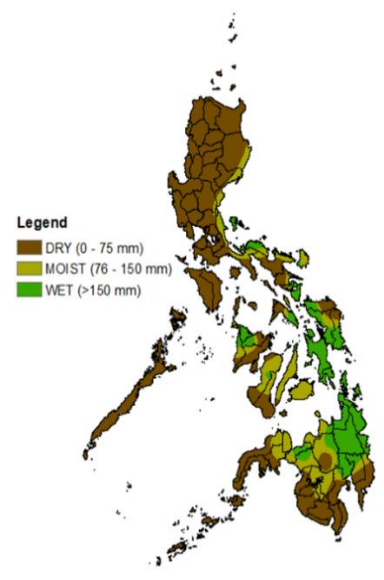 <br>**Basa** – Infanta, Capiz, Bohol, Eastern Visayas, Davao del Norte, Caraga, and Lanao del Sur<br><br>**Katamtaman** – Calayan, Aurora, Alabat, Sorsogon, Albay, Catanduanes, Camarines Norte, Cebu, Bukidnon, North Cotabato<br><br>**Tuyo** – Natitirang bahagi ng bansa | 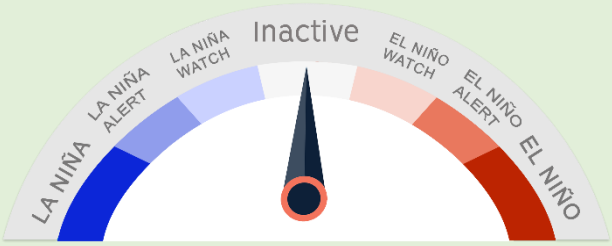 <br>**INACTIVE**<br>*https://pagasa.dost.gov.ph/climate/elnino-la-nina/monitoring*<br><br>Mahalagang maghanda ang mga magsasaka sa pamamagitan ng pagpapatibay ng mga estruktura sa sakahan, pagpapanatili ng maayos na daluyan ng tubig, at maagap na pag-aani ng mga pananim na malapit nang mahinog kapag may banta ng tuluy-tuloy na pag-ulan. Dapat ding tiyakin ang wastong pagpapatuyo at ligtas na pag-iimbak ng ani upang maiwasan ang pagkasira, habang masusing binabantayan ang paglitaw ng mga peste at sakit, lalo na ang mga dulot ng basang kondisyon. Ang patuloy na pakikipag-ugnayan sa mga lokal na tanggapan ng agrikultura at pagsubaybay sa mga abiso ng DOST-PAGASA ay makatutulong sa napapanahong pagpapasya at mas matibay na paghahanda laban sa mga epekto ng La Niña. |

## PAYO SA MGA MANGINGISDA

### GALE WARNING AT KONDISYON NG KARAGATAN

**Walang nakataas na Gale Warning.**

Katamtaman hanggang sa maalon na karagatan ang iiral sa mga baybayin sa **silangang bahagi ng Kabisayaan at Mindanao** habang katamtamang nman sa **silangang bahagi ng Luzon**. Banayad hanggang sa katamtaman na pag-alon ang inaasahan sa **natitirang bahagi ng kapuluan**. Ang mga mangingisda ay pinapaalalahanan na palaging mag-ingat, ugaliing magdala ng mga gamit pangkagipitan, magbantay at makinig sa mga paalala at patalastas mula sa DOST-PAGASA.

| DAGDAG KAALAMAN | | | |
|---|---|---|---|
| **DAILY EXTREMES** | | **MONTHLY EXTREMES** | |
| Pinakamataas na Temperatura | 38.9 ºC (Tuguegarao City, 1961) | Pinakamataas na Temperatura | 40.0 ºC (Tuguegarao, 1978) |
| Pinakamababang Temperatura | 10.8 ºC (Baguio City, 1974) | Pinakamababang Temperatura | 7.4 ºC (Baguio City, 1963) |
| Pinakamaraming Ulan | 237.5 mm (Surigao City, 2011) | Pinakamaraming Ulan | 401.0 mm (Casiguran, 1971) |

| | |
|---|---|
| INIHANDA HANDA/INI-UPLOAD NINA: **NRE / ARL** | BINIGYANG PANSIN NI: **MEVT** |