Republic of the Philippines
DEPARTMENT OF SCIENCE AND TECHNOLOGY
Philippine Atmospheric, Geophysical and Astronomical Services Administration (PAGASA)

BAGONG PILIPINAS

FARM WEATHER FORECAST AND ADVISORIES
FWFA: NO. 26 – 064

Issued: 6:00 PM, Thursday, 19 March 2026 **Valid until: 4:00 PM, Friday, 20 March 2026**

SYNOPSIS: Northeast Monsoon affecting Extreme Northern Luzon. Easterlies affecting the rest of Luzon and Visayas.

FORECAST AREA	AGRI-WEATHER	WINDS	TEMPERATURE (0C)		RH%	LEAF WETNESS (HRS)
			LOWLAND	UPLAND		
Batanes, Ilocos Norte, Apayao, and Cagayan	Partly cloudy to cloudy skies with isolated light rains	Light to moderate from east to northeast	21 – 31	18 – 28	60 – 98	2 – 6
Metro Manila, the rest of Luzon, and Visayas	Partly cloudy to cloudy skies with isolated rainshowers or thunderstorms	**Southern Luzon and Visayas –** Light to moderate from northeast to north **Rest of Luzon –** Light to moderate from east to northeast	21 – 31	14 – 30	50 – 96	0 – 4
Mindanao	Partly cloudy to cloudy skies with isolated rainshowers or thunderstorms	Light to moderate from northeast to north	22 – 32	19 – 31	50 – 96	0 – 4

AREAS AFFECTED BY THE WEATHER SYSTEMS	HEAT INDEX MONITORING AND FORECASTING (OBSERVED AND 2-DAY FORECAST)
NORTHEAST MONSOON, EASTERLIES, THUNDERSTORMS AND MODERATE TO HEAVY RAINS • Mulch around plants to retain soil moisture, suppress weeds, and regulate temperature. • Inspect irrigation systems regularly to ensure even water distribution and prevent waterlogging. • Prune fruit trees and vines to promote healthy growth and better yields. • Use organic compost to enrich the soil and improve plant health. • Keep farm tools clean to prevent disease transmission between plants. • Document weather impacts on crops to improve future planning and climate-resilient practices. • Keep updated with local advisories from LGUs and DOST-PAGASA for early warnings.	The Heat Index is a human discomfort index that gives the apparent temperature on what humans perceive or feel as the temperature (from the surroundings) affecting the body. High air temperature and high relative humidity results to high apparent temperature *https://www.pagasa.dost.gov.ph/climate/climate-heat-index*

Republic of the Philippines
DEPARTMENT OF SCIENCE AND TECHNOLOGY
Philippine Atmospheric, Geophysical and Astronomical Services Administration (PAGASA)

BAGONG PILIPINAS

FARM ADVISORY

SOIL MOISTURE CONDITION
(March 1 – 10, 2026)

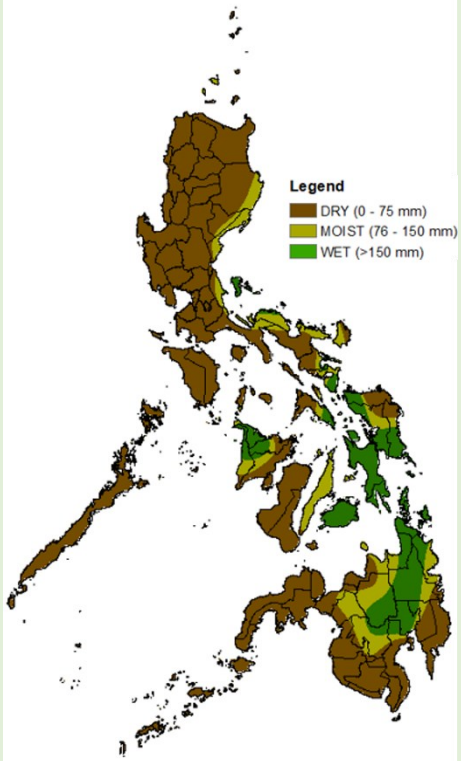

Wet – Infanta, Capiz, Bohol, Eastern Visayas, Davao del Norte, Caraga, and Lanao del Sur

Moist – Calayan, Aurora, Alabat, Sorsogon, Albay, Catanduanes, Camarines Norte, Cebu, Bukidnon, North Cotabato

Dry – The rest of the country

ENSO ALERT SYSTEM STATUS
(Updated as of 09 March 2026)

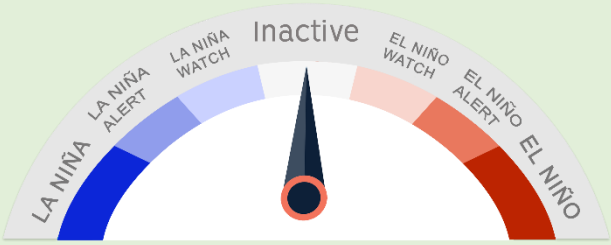

INACTIVE

https://pagasa.dost.gov.ph/climate/elnino-la-nina/monitoring

Farmers should strengthen farm structures, maintain efficient drainage systems, and harvest mature or near-mature crops early when prolonged rainfall is expected. Proper drying and storage of produce in covered, elevated, and well-ventilated areas are essential to prevent spoilage, while close monitoring for pests and diseases—especially fungal infections under wet conditions—should be practiced. Continuous coordination with local agriculture offices and regular monitoring of advisories from DOST-PAGASA will support timely decision-making and improve farm resilience

FISHING ADVISORY

GALE WARNING AND SEA CONDITION

No Gale Warning was raised.

Slight to moderate seas is expected over **the whole archipelago**. Still be reminded to be very careful in fishing, especially those using small seacraft. Always bring an emergency kit. Be updated for the latest weather updates and farm advisories from DOST-PAGASA.

ADDITIONAL INFORMATION

DAILY EXTREMES		MONTHLY EXTREMES	
Maximum Temperature	38.9 ºC (Tuguegarao City, 1961)	Maximum Temperature	40.0 ºC (Tuguegarao, 1978)
Minimum Temperature	10.8 ºC (Baguio City, 1974)	Minimum Temperature	7.4 ºC (Baguio City, 1963)
Rainfall	237.5 mm (Surigao City, 2011)	Rainfall	401.0 mm (Casiguran, 1971)

PREPARED/UPLOADED BY: **MTR / JAE** | VERIFIED BY: **MEVT**

Republic of the Philippines
DEPARTMENT OF SCIENCE AND TECHNOLOGY
Philippine Atmospheric, Geophysical and Astronomical Services Administration (PAGASA)

BAGONG PILIPINAS

TAYA NG PANAHON AT MGA PAYONG PANSAKAHAN
FWFA: NO. 26 – 064

Inilabas ng: 6:00 PM, Huwebes, 19 Marso 2026 **May bisa hanggang: 4:00 PM, Biyernes, 20 Marso 2026**

SYNOPSIS: Amihan ang nakakaapekto sa Dulong Hilagang Luzon. Easterlies ang nakakaapekto sa natitirang bahagi ng Luzon at Kabisayaan.

LUGAR NG PAGTAYA	LAGAY NG PANAHON PANG-AGRIKULTURA	HANGIN	TEMPERATURA (^{0}C)		RH%	PAGKABASA NG DAHON (ORAS)
			Mababang Bukirin	Mataas na Bukirin		
Batanes, Ilocos Norte, Apayao, at Cagayan	Bahagyang maulap hanggang sa maulap na kalangitan na may pulu-pulong mahinang pag-ulan	Mahina hanggang sa katamtaman mula silangan hanggang hilagang silangan	21 – 31	18 – 28	60 – 98	2 – 6
Metro Manila, natitirang bahagi ng Luzon, at Kabisayaan	Bahagyang maulap hanggang sa maulap na kalangitan na may pulu-pulong pag-ulan o pagkidlat-pagkulog	**Southern Luzon at Kabisayaan** – Mahina hanggang sa katamtaman mula hilagang silangan hanggang hilaga **Natitirang bahagi ng Luzon** – Mahina hanggang sa katamtaman mula silangan hanggang hilagang silangan	21 – 31	14 – 30	50 – 96	0 – 4
Mindanao	Bahagyang maulap hanggang sa maulap na kalangitan na may pulu-pulong pag-ulan o pagkidlat-pagkulog	Mahina hanggang sa katamtaman mula hilagang silangan hanggang hilaga	22 – 32	19 – 31	50 – 96	0 – 4

SA MGA LUGAR NA APEKTADO NG WEATHER SYSTEMS	PAGSUBAYBAY AT PAGTATAYA NG HEAT INDEX (NAOBSERBAHAN AT 2-ARAW NA PAGTATAYA)
AMIHAN, EASTERLIES, PAGKIDLAT-PAGKULOG, AT KATAMTAMAN HANGGANG MALAKAS NA PAG-ULAN • Maglagay ng dayami o mulch sa paligid ng mga halaman upang mapanatili ang halumigmig ng lupa, mapigilan ang damo, at ma-regulate ang temperatura. • Regular na inspeksyunin ang sistema ng irigasyon upang matiyak ang pantay na distribusyon ng tubig at maiwasan ang sobrang pagbaha. • Putulan ang mga punong namumunga at baging upang mapanatili ang malusog na paglaki at magkaroon ng mas maraming ani. • Gumamit ng organikong pataba o compost upang mapayaman ang lupa at mapabuti ang kalusugan ng mga halaman. • Panatilihing malinis ang mga kagamitang pangsakahan upang maiwasan ang pagkalat ng sakit sa pagitan ng mga pananim. • Idokumento ang epekto ng panahon sa mga pananim upang mapabuti ang pagpaplano at mga climate-resilient na gawain sa hinaharap. • Makinig at sumunod sa mga lokal na abiso mula sa LGUs at DOST-PAGASA para sa maagang babala.	Ang init na nararamdaman ng katawan ng tao (apparent temperature) ay hindi akmang nasusukat gamit lamang ang temperature ng hangin (air temperature). Ito ay mas tamang naitataya kung isasama ang datos ng alinsangan o halumigmig (relative humidity). Ang impormasyon na ito ay tinatawag na Heat Index at ito ay matutukoy gamit ang Heat Index Chart. ***https://www.pagasa.dost.gov.ph/climate/climate-heat-index***

Republic of the Philippines
DEPARTMENT OF SCIENCE AND TECHNOLOGY
Philippine Atmospheric, Geophysical and Astronomical Services Administration (PAGASA)

BAGONG PILIPINAS

PAYONG PANGSAKAHAN

KALAGAYAN NG LUPANG SAKAHAN
(Marso 1 – 10, 2026)

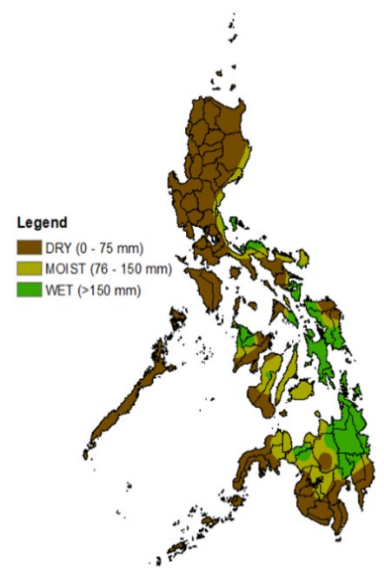

Basa – Infanta, Capiz, Bohol, Eastern Visayas, Davao del Norte, Caraga, and Lanao del Sur

Katamtaman – Calayan, Aurora, Alabat, Sorsogon, Albay, Catanduanes, Camarines Norte, Cebu, Bukidnon, North Cotabato

Tuyo – Natitirang bahagi ng bansa

ENSO ALERT SYSTEM STATUS
(mula noong 09 Marso 2026)

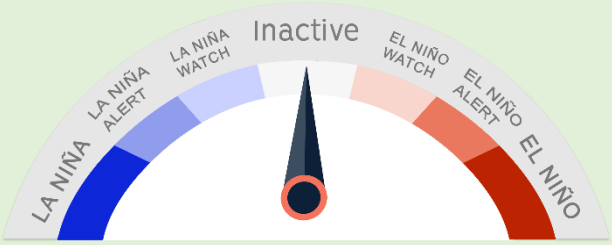

INACTIVE
https://pagasa.dost.gov.ph/climate/elnino-la-nina/monitoring

Mahalagang maghanda ang mga magsasaka sa pamamagitan ng pagpapatibay ng mga estruktura sa sakahan, pagpapanatili ng maayos na daluyan ng tubig, at maagap na pag-aani ng mga pananim na malapit nang mahinog kapag may banta ng tuluy-tuloy na pag-ulan. Dapat ding tiyakin ang wastong pagpapatuyo at ligtas na pag-iimbak ng ani upang maiwasan ang pagkasira, habang masusing binabantayan ang paglitaw ng mga peste at sakit, lalo na ang mga dulot ng basang kondisyon. Ang patuloy na pakikipag-ugnayan sa mga lokal na tanggapan ng agrikultura at pagsubaybay sa mga abiso ng DOST-PAGASA ay makatutulong sa napapanahong pagpapasya at mas matibay na paghahanda laban sa mga epekto ng La Niña.

PAYO SA MGA MANGINGISDA

GALE WARNING AT KONDISYON NG KARAGATAN

Walang nakataas na Gale Warning.

banayad hanggang sa katamtaman na pag-alon ang inaasahan sa **buong kapuluan**. Ang mga mangingisda ay pinapaalalahanan na palaging mag-ingat, ugaliing magdala ng mga gamit pangkagipitan, magbantay at makinig sa mga paalala at patalastas mula sa DOST-PAGASA.

DAGDAG KAALAMAN

DAILY EXTREMES		MONTHLY EXTREMES	
Pinakamataas na Temperatura	38.9 ºC (Tuguegarao City, 1961)	Pinakamataas na Temperatura	40.0 ºC (Tuguegarao, 1978)
Pinakamababang Temperatura	10.8 ºC (Baguio City, 1974)	Pinakamababang Temperatura	7.4 ºC (Baguio City, 1963)
Pinakamaraming Ulan	237.5 mm (Surigao City, 2011)	Pinakamaraming Ulan	401.0 mm (Casiguran, 1971)

INIHANDA HANDA/INI-UPLOAD NINA: **MTR/JAE** | BINIGYANG PANSIN NI: **MEVT**