Republic of the Philippines
DEPARTMENT OF SCIENCE AND TECHNOLOGY
Philippine Atmospheric, Geophysical and Astronomical Services Administration (PAGASA)

BAGONG PILIPINAS

WEEKEND/SPECIAL FARM WEATHER OUTLOOK

WSFWO: NO. 26 – 064

Issued: 4:00 PM, Friday, 20 March 2026 | **Valid until: 7:00 AM, Monday, 23 March 2026**

Today (March 20): The northeast monsoon will bring partly cloudy to cloudy skies with isolated light rains over Batanes, Ilocos Norte, Apayao, and Cagayan. The rest of the country will experience partly cloudy to cloudy skies with isolated rainshowers or thunderstorms.
By tomorrow to Monday (March 21–23): The easterlies will prevail throughout the country, bringing warmer weather conditions and generally partly cloudy skies with isolated rainshowers or thunderstorms in the afternoon or evening, especially in the eastern sections.

FORECAST AREA	TEMPERATURE		RH (%)	LEAF WETNESS (HRS)
	LOWLAND	UPLAND		
LUZON	21 – 34	12 – 32	50 – 98	0 – 4
VISAYAS	22 – 32	20 – 30	50 – 98	0 – 4
MINDANAO	21 – 34	20 – 32	50 – 98	0 – 4

FARM ADVISORY

SOIL MOISTURE CONDITION
(Marso 1 – 10, 2026)

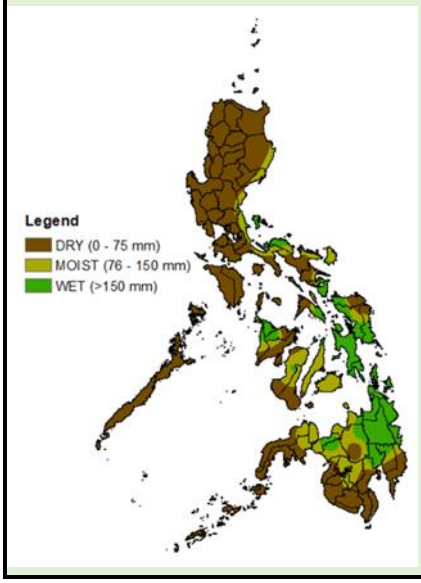

Wet – Eastern part of Quezon, Sorsogon, Eastern Visayas, Caraga, and Lanao del Sur;

Moist – Aurora, Albay, Catanduanes, Camarines Norte, Bohol, Cebu, Negros Occidental, Zamboanga del Norte, Bukidnon, North Cotabato, and Davao Region;

Dry – The rest of the country

ENSO ALERT SYSTEM STATUS
(Updated as of 09 March 2026)

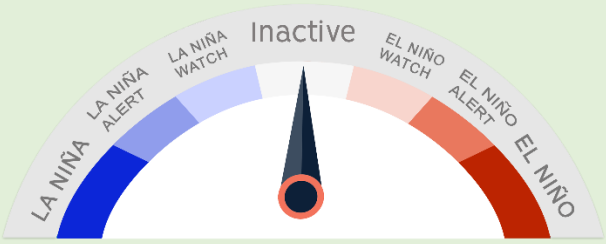

INACTIVE

https://pagasa.dost.gov.ph/climate/elnino-la-nina/monitoring
Maintain proper field drainage and avoid water stagnation, especially after sudden rainshowers, to prevent root damage and crop stress. Provide shade or mulching to reduce soil moisture loss and protect crops from excessive heat. Monitor crops regularly for pests and diseases, as humid conditions can favor fungal infections and insect outbreaks. Follow updates and advisories from DOST-PAGASA and coordinate with your local agriculture office for timely guidance.

AREAS AFFECTED BY THE WEATHER SYSTEMS

NORTHEAST MONSOON, EASTERLIES, THUNDERSTORMS AND MODERATE TO HEAVY RAINS

- Use soil moisture monitoring to avoid unnecessary irrigation.
- Inspect irrigation systems regularly to ensure even water distribution and prevent waterlogging.
- Prune fruit trees and vines to promote healthy growth and better yields.
- Use organic compost to enrich the soil and improve plant health.
- Keep farm tools clean to prevent disease transmission between plants.
- Document weather impacts on crops to improve future planning and climate-resilient practices.
- Keep updated with local advisories from LGUs and DOST-PAGASA for early warnings.

PREPARED/UPLOADED BY: **MTR / JOT** | VERIFIED BY: **MEVT**

Republic of the Philippines
DEPARTMENT OF SCIENCE AND TECHNOLOGY
Philippine Atmospheric, Geophysical and Astronomical Services Administration (PAGASA)

BAGONG PILIPINAS

TAYA NG PANAHON AT MGA PAYONG PANSAKAHAN

FWFA: NO. 26 – 064

Inilabas ng: 4:00 PM, Biyernes, 20 Marso 2026 **May bisa hanggang: 7:00 AM, Lunes, 23 Marso 2026**

Ngayong araw (Marso 20): Ang northeast monsoon ay magdadala ng bahagyang maulap hanggang sa maulap na kalangitan na may pulo-pulong mahinang pag-ulan sa Batanes, Ilocos Norte, Apayao, at Cagayan. Ang natitirang bahagi ng bansa ay makararanas ng bahagyang maulap hanggang sa maulap na kalangitan na may pulo-pulong pag-ulan o pagkidlat-pagkulog.

Mula bukas hanggang Lunes (Marso 21–23): Ang easterlies ang makakaapekto sa buong bansa, na magdadala ng mainit na panahon at karaniwang bahagyang maulap na kalangitan na may pulo-pulong pag-ulan o pagkidlat-pagkulog sa hapon o gabi, lalo na sa silangang bahagi ng bansa.

LUGAR NG PAGTAYA	TEMPERATURA (^{0}C)		RH (%)	PAGKABASA NG DAHON (ORAS)
	Mababang Bukirin	Mataas na Bukirin		
LUZON	21 – 34	12 – 32	50 – 98	0 – 4
VISAYAS	22 – 32	20 – 30	50 – 98	0 – 4
MINDANAO	21 – 34	20 – 32	50 – 98	0 – 4

PAYONG PANGSAKAHAN

KALAGAYAN NG LUPANG SAKAHAN
(Marso 1 – 10, 2026)

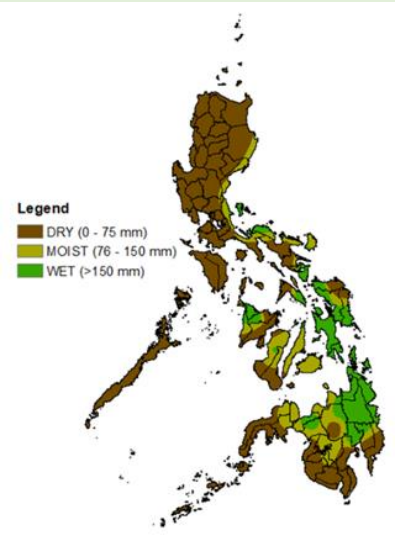

Basa – Silangang bahagi ng Quezon, Sorsogon, Silangang Kabisayaan, Caraga, at Lanao del Sur

Katamtaman – Aurora, Albay, Catanduanes, Camarines Norte, Bohol, Cebu, Negros Occidental, Zamboanga del Norte, Bukidnon, North Cotabato, at Rehiyon ng Davao

Tuyo – Natitirang bahagi ng bansa

ENSO ALERT SYSTEM STATUS
(mula noong 09 Marso 2026)

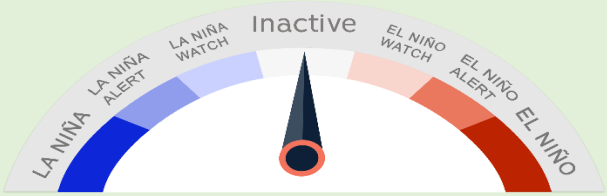

INACTIVE

https://pagasa.dost.gov.ph/climate/elnino-la-nina/monitoring

Panatilihin ang maayos na daluyan ng tubig sa bukirin at iwasan ang pag-ipon ng tubig, lalo na pagkatapos ng biglaang pag-ulan, upang maiwasan ang pagkasira ng ugat at stress sa pananim. Maglagay ng lilim o mulch upang mabawasan ang pagkawala ng halumigmig sa lupa at maprotektahan ang mga pananim laban sa matinding init. Regular na subaybayan ang mga pananim laban sa peste at sakit, dahil ang mahalumigmig na kondisyon ay maaaring magdulot ng pagdami ng fungal infections at mga insekto. Sundin ang mga update at abiso mula sa DOST-PAGASA at makipag-ugnayan sa inyong lokal na tanggapan ng agrikultura para sa napapanahong gabay.

SA MGA LUGAR NA APEKTADO NG WEATHER SYSTEMS

AMIHAN, EASTERLIES, PAGKIDLAT-PAGKULOG, AT KATAMTAMAN HANGGANG MALAKAS NA PAG-ULAN

- Gumamit ng soil moisture monitoring upang maiwasan ang hindi kailangang patubig.
- Regular na inspeksyunin ang sistema ng irigasyon upang matiyak ang pantay na distribusyon ng tubig at maiwasan ang sobrang pagbaha.
- Putulan ang mga punong namumunga at baging upang mapanatili ang malusog na paglaki at magkaroon ng mas maraming ani.
- Gumamit ng organikong pataba o compost upang mapayaman ang lupa at mapabuti ang kalusugan ng mga halaman.
- Panatilihing malinis ang mga kagamitang pangsakahan upang maiwasan ang pagkalat ng sakit sa pagitan ng mga pananim.
- Idokumento ang epekto ng panahon sa mga pananim upang mapabuti ang pagpaplano at mga climate-resilient na gawain sa hinaharap.
- Makinig at sumunod sa mga lokal na abiso mula sa LGUs at DOST-PAGASA para sa maagang babala.

PREPARED/UPLOADED BY: **MTR/JOT** VERIFIED BY: **MEVT**