Republic of the Philippines
DEPARTMENT OF SCIENCE AND TECHNOLOGY
Philippine Atmospheric, Geophysical and Astronomical Services Administration (PAGASA)

BAGONG PILIPINAS

FARM WEATHER FORECAST AND ADVISORIES
FWFA: NO. 26 – 070

Issued: 6:00 PM, Thursday, 26 March 2026 **Valid until: 4:00 PM, Friday, 27 March 2026**

SYNOPSIS: Easterlies affecting the country.

FORECAST AREA	AGRI-WEATHER	WINDS	TEMPERATURE (0C)		RH%	LEAF WETNESS (HRS)
			LOWLAND	UPLAND		
Mindanao	Cloudy skies with scattered rains and thunderstorms	Light to moderate from northeast to north	23 – 31	21 – 30	60 – 98	0 – 4
Metro Manila and the rest of the country	Partly cloudy to cloudy skies with isolated rainshowers or thunderstorms	Light to moderate from northeast to east	21 – 35	17 – 32	50 – 96	0 – 4

AREAS AFFECTED BY THE WEATHER SYSTEMS	HEAT INDEX MONITORING AND FORECASTING (OBSERVED AND 2-DAY FORECAST)
EASTERLIES, THUNDERSTORMS AND MODERATE TO HEAVY RAINS • Elevate or create raised beds for sensitive crops to prevent waterlogging. • Protect young seedlings with temporary covers or shelters from heavy rain and strong winds. • Check drainage canals and ditches; remove debris to allow smooth water flow. • Provide shade for young seedlings and sensitive crops using nets, cloth, or natural shading. • Mulch the soil to retain moisture and reduce evaporation. • Irrigate early in the morning or late in the afternoon to minimize water loss. • Monitor soil moisture regularly to prevent crop stress from drought. • Apply foliar sprays or organic fertilizers to strengthen plants against heat stress. • Avoid heavy field work during peak heat to protect both crops and farmworkers. • Inspect crops for signs of wilting, sunburn, or pest infestations that thrive in hot conditions. • Stay updated with local weather advisories from LGUs and DOST-PAGASA.	The Heat Index is a human discomfort index that gives the apparent temperature on what humans perceive or feel as the temperature (from the surroundings) affecting the body. High air temperature and high relative humidity results to high apparent temperature *https://www.pagasa.dost.gov.ph/climate/climate-heat-index*

Republic of the Philippines
DEPARTMENT OF SCIENCE AND TECHNOLOGY
Philippine Atmospheric, Geophysical and Astronomical Services Administration (PAGASA)

BAGONG PILIPINAS

FARM ADVISORY

SOIL MOISTURE CONDITION
(March 11 – 20, 2026)

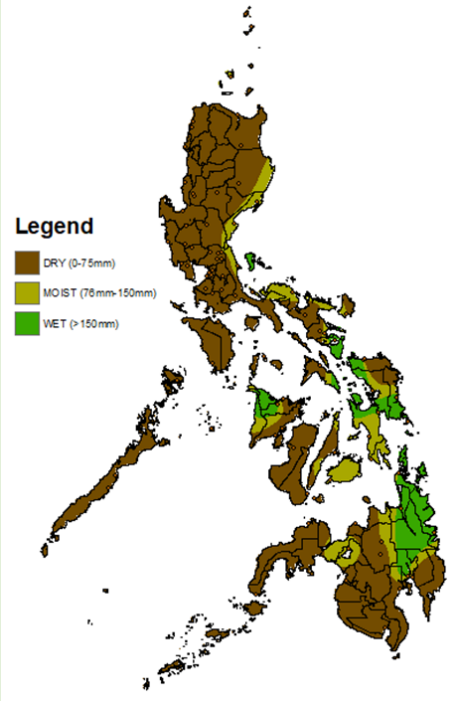

Wet – Sorsogon, Capiz, Bohol, Eastern Samar, and Leyte

Moist – Calayan, Aurora, Alabat, Infanta, Albay, Camarines Norte, Catanduanes, Bohol, Northern Samar, Samar, Southern Leyte, Davao del Norte, North Cotabato, Caraga, and Lanao del Sur

Dry – *The rest of the country*

ENSO ALERT SYSTEM STATUS
(Updated as of 25 March 2026)

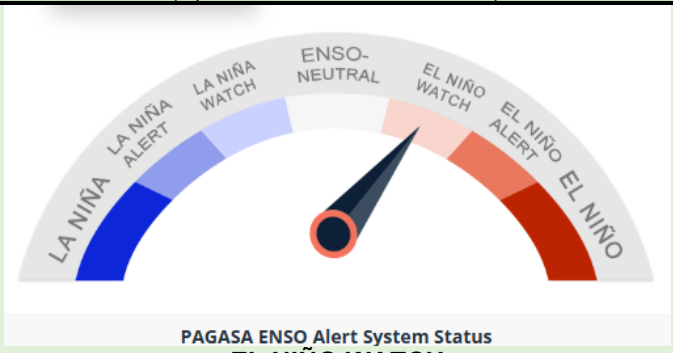

EL NIÑO WATCH

https://pagasa.dost.gov.ph/climate/elnino-la-nina/monitoring

ENSO-neutral conditions are expected to continue until May–June–July 2026. However, there is a 62% chance that El Niño may start as early as June–July–August 2026, and an 83% chance it will persist through the end of 2026. Farmers are advised to prepare for drier conditions and higher temperatures by adjusting planting schedules, prioritizing drought-tolerant crops, conserving soil moisture through mulching, and monitoring soil and crop health closely. Staying updated with LGU and DOST-PAGASA advisories will support timely and effective farm decisions.

FISHING ADVISORY

GALE WARNING AND SEA CONDITION

No Gale Warning was raised.

Slight to moderate seas are expected over **the whole archipelago**. Still be reminded to be very careful in fishing, especially those using small seacraft. Always bring an emergency kit. Be updated for the latest weather updates and farm advisories from DOST-PAGASA.

ADDITIONAL INFORMATION

DAILY EXTREMES		MONTHLY EXTREMES	
Maximum Temperature	394 ºC (Tuguegarao City, 1969)	Maximum Temperature	40.0 ºC (Tuguegarao, 1978)
Minimum Temperature	11.4 ºC (Baguio City, 2012)	Minimum Temperature	7.4 ºC (Baguio City, 1963)
Rainfall	176.4 mm (Catarman, 1982)	Rainfall	401.0 mm (Casiguran, 1971)

PREPARED/UPLOADED BY: **MTR/JAE** | VERIFIED BY: **MEVT**

Republic of the Philippines
DEPARTMENT OF SCIENCE AND TECHNOLOGY
Philippine Atmospheric, Geophysical and Astronomical Services Administration (PAGASA)

BAGONG PILIPINAS

TAYA NG PANAHON AT MGA PAYONG PANSAKAHAN
FWFA: NO. 26 – 070

Inilabas ng: 6:00 PM, Huwebes, 26 Marso 2026 **May bisa hanggang: 4:00 PM, Miyerkules, 27 Marso 2026**

SYNOPSIS: Easterlies ang nakakaapekto sa bansa.

LUGAR NG PAGTAYA	LAGAY NG PANAHON PANG-AGRIKULTURA	HANGIN	TEMPERATURA (^{0}C)		RH%	PAGKABASA NG DAHON (ORAS)
			Mababang Bukirin	Mataas na Bukirin		
Mindanao	Maulap na kalangitan na may kalat-kalat na pag-ulan at pagkidlat-pagkulog	Mahina hanggang sa katamtaman mula hilagang silangan hanggang hilagang hilaga	23 – 31	21 – 30	60 – 98	0 – 4
Metro Manila at natitirang bahagi ng bansa	Bahagyang maulap hanggang sa maulap na kalangitan na may pulu-pulong pag-ulan o pagkidlat-pagkulog	Mahina hanggang sa katamtaman mula hilagang silangan hanggang silangan	21 – 35	17 – 32	50 – 96	0 – 4

SA MGA LUGAR NA APEKTADO NG WEATHER SYSTEMS	PAGSUBAYBAY AT PAGTATAYA NG HEAT INDEX (NAOBSERBAHAN AT 2-ARAW NA PAGTATAYA)
EASTERLIES, PAGKIDLAT-PAGKULOG, AT KATAMTAMAN HANGGANG MALAKAS NA PAG-ULAN • Taasan o gumawa ng raised beds para sa mga sensitibong pananim upang maiwasan ang pagbaha sa lupa. • Protektahan ang mga batang punla gamit ang pansamantalang takip o kanlungan mula sa malakas na ulan at hangin. • Suriin ang mga kanal at imburnal; alisin ang mga bara upang maayos ang daloy ng tubig. • Magbigay ng lilim para sa mga batang punla at sensitibong pananim gamit ang net, tela, o natural na lilim. • Mag-mulch sa lupa upang mapanatili ang kahalumigmigan at mabawasan ang pagsingaw ng tubig. • Magpatubig sa maagang umaga o huli ng hapon upang mabawasan ang pagkawala ng tubig. • Regular na i-monitor ang kahalumigmigan ng lupa upang maiwasan ang stress ng pananim dahil sa tagtuyot. • Mag-spray ng foliar o maglagay ng organic fertilizer upang palakasin ang mga pananim laban sa init. • Iwasan ang mabigat na trabaho sa bukid sa oras ng matinding init upang maprotektahan ang pananim at mga manggagawa. • Suriin ang mga pananim para sa senyales ng paglanta, sunburn, o peste na laganap sa mainit na panahon. • Manatiling updated sa mga lokal na abiso ng panahon mula sa LGUs at DOST-PAGASA.	Ang init na nararamdaman ng katawan ng tao (apparent temperature) ay hindi akmang nasusukat gamit lamang ang temperature ng hangin (air temperature). Ito ay mas tamang naitataya kung isasama ang datos ng alinsangan o halumigmig (relative humidity). Ang impormasyon na ito ay tinatawag na Heat Index at ito ay matutukoy gamit ang Heat Index Chart. ***https://www.pagasa.dost.gov.ph/climate/climate-heat-index***

Republic of the Philippines
DEPARTMENT OF SCIENCE AND TECHNOLOGY
Philippine Atmospheric, Geophysical and Astronomical Services Administration (PAGASA)

BAGONG PILIPINAS

PAYONG PANGSAKAHAN

KALAGAYAN NG LUPANG SAKAHAN
(Marso 11 – 20, 2026)

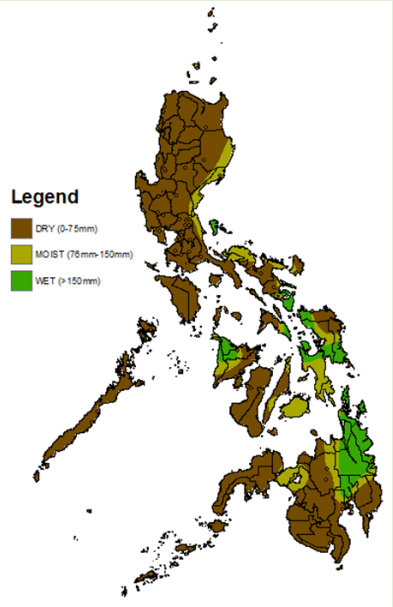

Basa – Sorsogon, Capiz, Bohol, Eastern Samar, at Leyte;

Katamtaman – Calayan, Aurora, Alabat, Infanta, Albay, Camarines Norte, Catanduanes, Bohol, Northern Samar, Samar, Southern Leyte, Davao del Norte, North Cotabato, Caraga, at Lanao del Sur

Tuyo – Natitirang bahagi ng bansa

ENSO ALERT SYSTEM STATUS
(mula noong 25 Marso 2026)

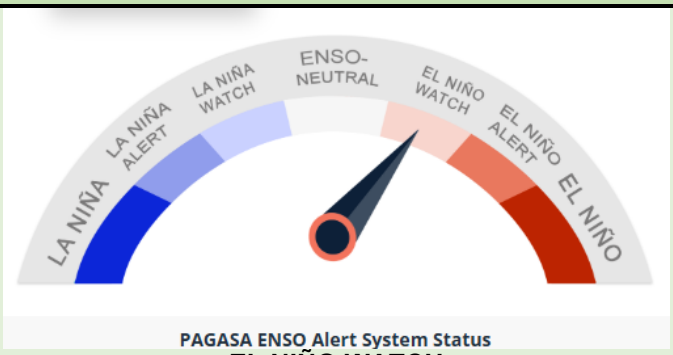

EL NIÑO WATCH
https://pagasa.dost.gov.ph/climate/elnino-la-nina/monitoring

Inaasahang mananatili ang ENSO-neutral conditions hanggang Mayo–Hunyo–Hulyo 2026. Gayunpaman, may 62% tsansang magsimula ang El Niño sa Hunyo–Hulyo–Agosto 2026, at 83% tsansang magpapatuloy ito hanggang sa katapusan ng 2026. Pinapayuhan ang mga magsasaka na maghanda sa mas tuyong kondisyon at mas mataas na temperatura sa pamamagitan ng pag-aayos ng iskedyul ng pagtatanim, pagtatanim ng mga pananim na matatag sa tagtuyot, paggamit ng mulching o iba pang paraan upang mapanatili ang kahalumigmigan ng lupa, at regular na pagmamanman ng kalusugan ng pananim. Ang patuloy na pagsubaybay sa mga abiso mula sa LGUs at DOST-PAGASA ay makakatulong sa agarang paggawa ng tamang desisyon sa bukid.

PAYO SA MGA MANGINGISDA

GALE WARNING AT KONDISYON NG KARAGATAN

Walang nakataas na Gale Warning.

Banayad hanggang sa katamtaman na pag-alon ang inaasahan sa **buong kapuluan**. Ang mga mangingisda ay pinapaalalahanan na palaging mag-ingat, ugaliing magdala ng mga gamit pangkagipitan, magbantay at makinig sa mga paalala at patalastas mula sa DOST-PAGASA.

DAGDAG KAALAMAN

DAILY EXTREMES		MONTHLY EXTREMES	
Pinakamataas na Temperatura	394 ºC (Tuguegarao City, 1969)	Pinakamataas na Temperatura	40.0 ºC (Tuguegarao, 1978)
Pinakamababang Temperatura	11.4 ºC (Baguio City, 2012)	Pinakamababang Temperatura	7.4 ºC (Baguio City, 1963)
Pinakamaraming Ulan	176.4 mm (Catarman, 1982)	Pinakamaraming Ulan	401.0 mm (Casiguran, 1971)

INIHANDA HANDA/INI-UPLOAD NINA: **MTR/JAE** | BINIGYANG PANSIN NI: **MEVT**