Republic of the Philippines
DEPARTMENT OF SCIENCE AND TECHNOLOGY
Philippine Atmospheric, Geophysical and Astronomical Services Administration (PAGASA)

BAGONG PILIPINAS

WEEKEND/SPECIAL FARM WEATHER OUTLOOK

WSFWO: NO. 26 – 075

Issued: 4:00 PM, Wednesday, 01 April 2026 | **Valid until: 7:00 AM, Monday, 06 April 2026**

Today (01 April): the *Ridge of High Pressure Area (HPA)* will bring partly cloudy skies over **Cagayan Valley, Ilocos Norte, Ilocos Sur, Apayao, Abra, Kalinga, Mt. Province,** and **Ifugao.** The **rest of the country** will experience partly cloudy to cloudy skies, with the possibility of brief rainshowers or thunderstorms, mostly in the afternoon or evening due to the *Easterlies.*

Thursday to Monday (02–06 April): the **whole archipelago** will have generally partly cloudy to cloudy skies, with chances of isolated rainshowers or thunderstorms mostly over **Mindanao and the eastern section of Visayas** due to *Easterlies.*

FORECAST AREA	TEMPERATURE		RH (%)	LEAF WETNESS (HRS)
	LOWLAND	UPLAND		
LUZON	22 – 36	14 – 33	50 – 96	0 – 4
VISAYAS	24 – 34	22 – 32	50 – 96	0 – 4
MINDANAO	23 – 36	21 – 33	40 – 96	0 – 4

FARM ADVISORY

SOIL MOISTURE CONDITION
(March 11 – 20, 2026)

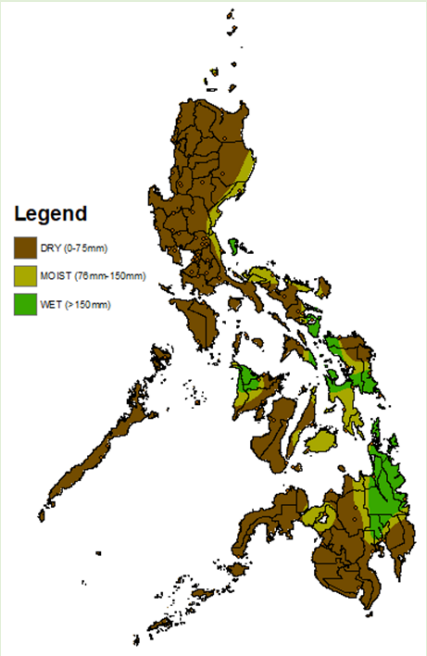

Wet – *Sorsogon, Capiz, Bohol, Eastern Samar, and Leyte*
Moist – *Calayan, Aurora, Alabat, Infanta, Albay, Camarines Norte, Catanduanes, Bohol, Northern Samar, Samar, Southern Leyte, Davao del Norte, North Cotabato, Caraga, and Lanao del Sur*
Dry – The rest of the country

ENSO ALERT SYSTEM STATUS
(Updated as of 25 March 2026)

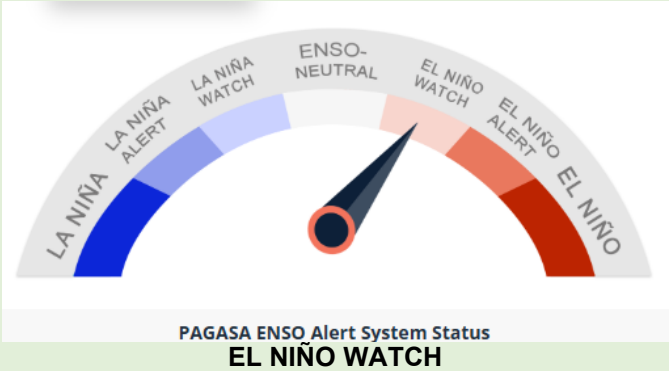

EL NIÑO WATCH

https://pagasa.dost.gov.ph/climate/elnino-la-nina/monitoring

ENSO-neutral conditions are expected to continue until May–June–July 2026. However, there is a 62% chance that El Niño may start as early as June–July–August 2026, and an 83% chance it will persist through the end of 2026. Farmers are advised to prepare for drier conditions and higher temperatures by adjusting planting schedules, prioritizing drought-tolerant crops, conserving soil moisture through mulching, and monitoring soil and crop health closely. Staying updated with LGU and DOST-PAGASA advisories will support timely and effective farm decisions.

AREAS AFFECTED BY THE WEATHER SYSTEMS
EASTERLIES, THUNDERSTORMS AND MODERATE TO HEAVY RAINS • Inspect crops regularly for pests and diseases and address outbreaks immediately. • Adjust irrigation frequency based on weather, soil type, and crop needs. • Water plants early morning for better absorption. • Use soil moisture monitoring to avoid unnecessary irrigation. • Inspect and clean drainage channels regularly to prevent blockages. • Mulch around plants to retain soil moisture, suppress weeds, and regulate temperature. • Handle produce carefully during transport to prevent damage and contamination. • Document weather impacts on crops to improve future planning and climate-resilient practices. • Keep updated with local advisories from LGUs and DOST-PAGASA for early warnings.

PREPARED/UPLOADED BY: **MGA / JAE**	VERIFIED BY: **MEVT**

Republic of the Philippines
DEPARTMENT OF SCIENCE AND TECHNOLOGY
Philippine Atmospheric, Geophysical and Astronomical Services Administration (PAGASA)

TAYA NG PANAHON AT MGA PAYONG PANSAKAHAN

FWFA: NO. 26 – 075

Inilabas ng: 4:00 PM, Miyerkules, 01 Abril 2026 **May bisa hanggang: 7:00 AM, Lunes, 06 Abril 2026**

Ngayong Araw (01 Abril): Magdadala ang *Ridge of High Pressure Area (HPA)* ng bahagyang maulap na kalangitan sa **Cagayan Valley, Ilocos Norte, Ilocos Sur, Apayao, Abra, Kalinga, Mt. Province,** at **Ifugao.** Ang **natitirang bahagi ng bansa** ay makakaranas ng bahagyang maulap hanggang sa maulap na kalangitan na may ilang pag-ulan o pagkidlat-pagkulog sa hapon o gabi dahil sa *Easterlies*.

Huwebes hanggang sa Lunes (02–06 Abril): makakaranas ang **buong kapuluan** ng bahagyang maulap hanggang sa maulap na kalangitan na may posibilidad ng pulu-pulong pag-ulan o pagkidlat-pagkulog sa **Mindanao at sa silangang bahagi ng Kabisayaan** dahil sa *Easterlies*.

LUGAR NG PAGTAYA	TEMPERATURA (^{0}C)		RH (%)	PAGKABASA NG DAHON (ORAS)
	Mababang Bukirin	Mataas na Bukirin		
LUZON	22 – 36	14 – 33	50 – 96	0 – 4
VISAYAS	24 – 34	22 – 32	50 – 96	0 – 4
MINDANAO	23 – 35	21 – 33	40 – 96	0 – 4

PAYONG PANGSAKAHAN

KALAGAYAN NG LUPANG SAKAHAN
(Marso 11 – 20, 2026)

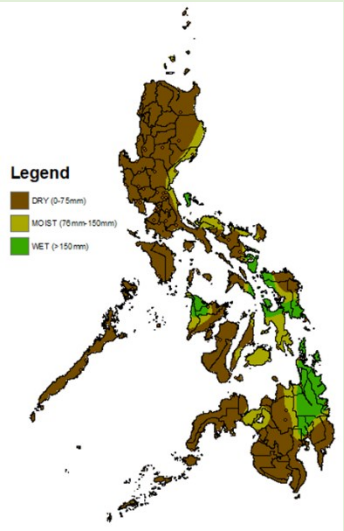

Basa – Sorsogon, Capiz, Bohol, Eastern Samar, at Leyte;

Katamtaman – Calayan, Aurora, Alabat, Infanta, Albay, Camarines Norte, Catanduanes, Bohol, Northern Samar, Samar, Southern Leyte, Davao del Norte, North Cotabato, Caraga, at Lanao del Sur

Tuyo – Natitirang bahagi ng bansa

ENSO ALERT SYSTEM STATUS
(mula noong 25 Marso 2026)

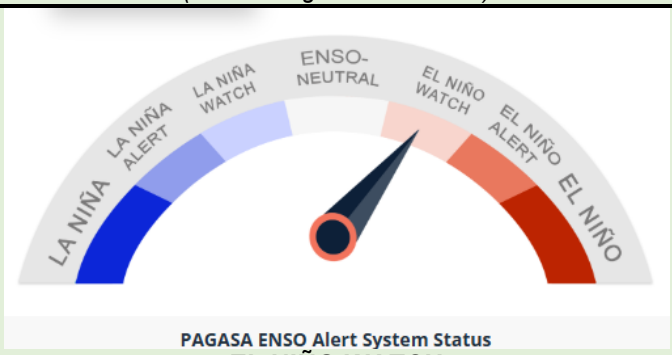

EL NIÑO WATCH

https://pagasa.dost.gov.ph/climate/elnino-la-nina/monitoring

Inaasahang mananatili ang ENSO-neutral conditions hanggang Mayo–Hunyo–Hulyo 2026. Gayunpaman, may 62% tsansang magsimula ang El Niño sa Hunyo–Hulyo–Agosto 2026, at 83% tsansang magpapatuloy ito hanggang sa katapusan ng 2026. Pinapayuhan ang mga magsasaka na maghanda sa mas tuyong kondisyon at mas mataas na temperatura sa pamamagitan ng pag-aayos ng iskedyul ng pagtatanim, pagtatanim ng mga pananim na matatag sa tagtuyot, paggamit ng mulching o iba pang paraan upang mapanatili ang kahalumigmigan ng lupa, at regular na pagmamanman ng kalusugan ng pananim. Ang patuloy na pagsubaybay sa mga abiso mula sa LGUs at DOST-PAGASA ay makakatulong sa agarang paggawa ng tamang desisyon sa bukid.

SA MGA LUGAR NA APEKTADO NG WEATHER SYSTEMS
EASTERLIES, PAGKIDLAT-PAGKULOG, AT KATAMTAMAN HANGGANG MALAKAS NA PAG-ULAN • Regular na suriin ang mga pananim para sa peste at sakit at agad na tugunan ang anumang paglaganap. • Ayusin ang dalas ng patubig batay sa panahon, uri ng lupa, at pangangailangan ng pananim. • Patubigan ang mga halaman nang maaga sa umaga para sa mas epektibong pagsipsip. • Gumamit ng soil moisture monitoring upang maiwasan ang hindi kailangang patubig. • Regular na suriin at linisin ang mga kanal ng irigasyon upang maiwasan ang bara. • Maglagay ng dayami o mulch sa paligid ng mga halaman upang mapanatili ang halumigmig ng lupa, mapigilan ang damo, at ma-regulate ang temperatura. • Hawakan nang maingat ang ani sa transportasyon upang maiwasan ang pinsala at kontaminasyon. • Idokumento ang epekto ng panahon sa mga pananim upang mapabuti ang pagpaplano at mga climate-resilient na gawain sa hinaharap. • Makinig at sumunod sa mga lokal na abiso mula sa LGUs at DOST-PAGASA para sa maagang babala.

PREPARED/UPLOADED BY: **MGA / JAE**	VERIFIED BY: **MEVT**