Republic of the Philippines
**DEPARTMENT OF SCIENCE AND TECHNOLOGY**
**Philippine Atmospheric, Geophysical and Astronomical Services Administration (PAGASA)**

BAGONG PILIPINAS

# WEEKEND/SPECIAL FARM WEATHER OUTLOOK

**WSFWO: NO. 26 – 079**

**Issued: 4:00 PM, Wednesday, 08 April 2026** | **Valid until: 7:00 AM, Monday, 13 April 2026**

Throughout the forecast period, the **entire country** will experience partly cloudy to cloudy skies due to easterlies, with the possibility of rainshowers or thunderstorms, mostly in **Visayas and Mindanao**.

| FORECAST AREA | TEMPERATURE | | RH (%) | LEAF WETNESS (HRS) |
|---|---|---|---|---|
| | LOWLAND | UPLAND | | |
| **LUZON** | 22 – 38 | 15 – 35 | 30 – 95 | 0 – 4 |
| **VISAYAS** | 24 – 36 | 22 – 35 | 40 – 96 | 0 – 4 |
| **MINDANAO** | 23 – 36 | 20 – 34 | 40 – 96 | 0 – 4 |

## FARM ADVISORY

### SOIL MOISTURE CONDITION
*(March 21 – 31, 2026)*

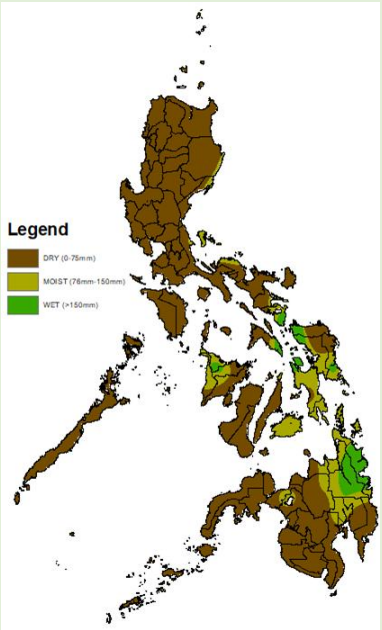


**Wet** – *Surigao del Sur*

**Moist** – *Casiguran, Infanta, Albay, Sorsogon, Eastern Visayas, Bohol, Surigao del Norte, North Cotabato, Agusan del Norte, and Lanao del Norte*

**Dry** – The rest of the country

### ENSO ALERT SYSTEM STATUS
*(Updated as of 25 March 2026)*




**EL NIÑO WATCH**

https://pagasa.dost.gov.ph/climate/elnino-la-nina/monitoring

*ENSO-neutral conditions are expected to continue until May–June–July 2026. However, there is a 62% chance that El Niño may start as early as June–July–August 2026, and an 83% chance it will persist through the end of 2026. Farmers are advised to prepare for drier conditions and higher temperatures by adjusting planting schedules, prioritizing drought-tolerant crops, conserving soil moisture through mulching, and monitoring soil and crop health closely. Staying updated with LGU and DOST-PAGASA advisories will support timely and effective farm decisions.*

| AREAS AFFECTED BY THE WEATHER SYSTEMS |
|---|
| **RIDGE OF HIGH PRESSURE AREA, EASTERLIES, THUNDERSTORMS AND MODERATE TO HEAVY RAINS**<br>• Inspect crops regularly for pests and diseases and address outbreaks immediately.<br>• Adjust irrigation frequency based on weather, soil type, and crop needs.<br>• Avoid over-irrigation to prevent root rot. Water plants early morning for better absorption.<br>• Inspect and clean drainage channels regularly to prevent blockages.<br>• Harvest crops on dry days to avoid spoilage, fungal infections, and loss of market value.<br>• Handle produce carefully during transport to prevent damage and contamination.<br>• Keep updated with local advisories from LGUs and DOST-PAGASA for early warnings. |

| | |
|---|---|
| PREPARED/UPLOADED BY: **RAMF / HGDE** | VERIFIED BY: **MEVT** |

Republic of the Philippines
**DEPARTMENT OF SCIENCE AND TECHNOLOGY**
**Philippine Atmospheric, Geophysical and Astronomical Services Administration (PAGASA)**

BAGONG PILIPINAS

# TAYA NG PANAHON AT MGA PAYONG PANSAKAHAN

**FWFA: NO. 26 – 079**

**Inilabas ng: 4:00 PM, Miyerkules, 08 Abril 2026** **May bisa hanggang: 7:00 AM, Lunes, 13 Abril 2026**

Sa buong pagtaya ng panahon, makakaranas ang **buong bansa** ng bahagyang maulap hanggang sa maulap na kalangitan dulot ng "easterlies" na may posibilidad ng pulu-pulong pag-ulan o pagkidlat-pagkulog sa hapon o gabi lalo na sa **Kabisayaan at Mindanao.**

| LUGAR NG PAGTAYA | TEMPERATURA ($^0$C) | | RH (%) | PAGKABASA NG DAHON (ORAS) |
|---|---|---|---|---|
| | Mababang Bukirin | Mataas na Bukirin | | |
| **LUZON** | 22 – 38 | 15 – 35 | 30 – 95 | 0 – 4 |
| **VISAYAS** | 24 – 36 | 22 – 35 | 40 – 96 | 0 – 4 |
| **MINDANAO** | 23 – 36 | 20 – 34 | 40 – 96 | 0 – 4 |

## PAYONG PANGSAKAHAN

### KALAGAYAN NG LUPANG SAKAHAN
*(Marso 21 – 31, 2026)*

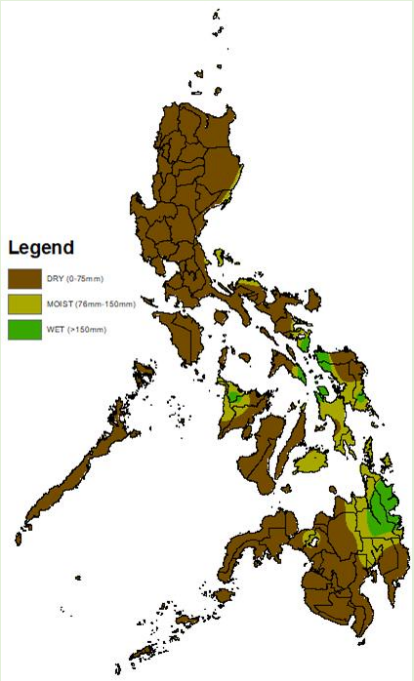


**Basa** – *Surigao del Sur*

**Katamtaman** – *Casiguran, Infanta, Albay, Sorsogon, Eastern Visayas, Bohol, Surigao del Norte, North Cotabato, Agusan del Norte, at Lanao del Norte*

**Tuyo** – Natitirang bahagi ng bansa

### ENSO ALERT SYSTEM STATUS
*(mula noong 25 Marso 2026)*

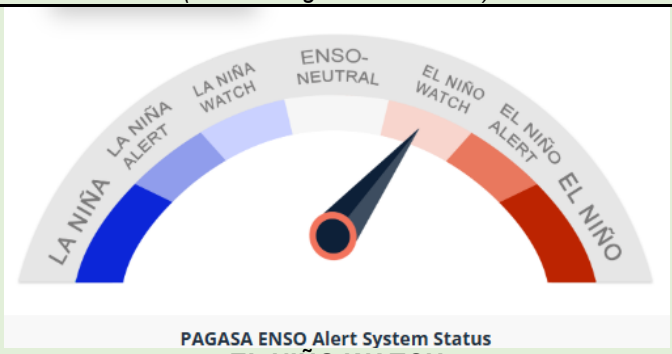


**EL NIÑO WATCH**

https://pagasa.dost.gov.ph/climate/elnino-la-nina/monitoring

Inaasahang mananatili ang ENSO-neutral conditions hanggang Mayo–Hunyo–Hulyo 2026. Gayunpaman, may 62% tsansang magsimula ang El Niño sa Hunyo–Hulyo–Agosto 2026, at 83% tsansang magpapatuloy ito hanggang sa katapusan ng 2026. Pinapayuhan ang mga magsasaka na maghanda sa mas tuyong kondisyon at mas mataas na temperatura sa pamamagitan ng pag-aayos ng iskedyul ng pagtatanim, pagtatanim ng mga pananim na matatag sa tagtuyot, paggamit ng mulching o iba pang paraan upang mapanatili ang kahalumigmigan ng lupa, at regular na pagmamanman ng kalusugan ng pananim. Ang patuloy na pagsubaybay sa mga abiso mula sa LGUs at DOST-PAGASA ay makakatulong sa agarang paggawa ng tamang desisyon sa bukid.

s

| SA MGA LUGAR NA APEKTADO NG WEATHER SYSTEMS |
|---|
| **RIDGE NG HIGH PRESSURE AREA, EASTERLIES, PAGKIDLAT-PAGKULOG, AT KATAMTAMAN HANGGANG MALAKAS NA PAG-ULAN**<br>• Regular na suriin ang mga pananim para sa peste at sakit at agad na tugunan ang anumang paglaganap.<br>• Ayusin ang dalas ng patubig batay sa panahon, uri ng lupa, at pangangailangan ng pananim.<br>• Iwasan ang labis na patubig upang maiwasan ang pagkabulok ng ugat. Patubigan ang mga halaman nang maaga sa umaga para sa mas epektibong pagsipsip.<br>• Regular na suriin at linisin ang mga kanal ng irigasyon upang maiwasan ang bara.<br>• Anihin ang mga pananim sa tuyo at maaliwalas na panahon upang maiwasan ang pagkasira, amag, at pagbagsak ng halaga sa merkado.<br>• Hawakan nang maingat ang ani sa transportasyon upang maiwasan ang pinsala at kontaminasyon.<br>• Makinig at sumunod sa mga lokal na abiso mula sa LGUs at DOST-PAGASA para sa maagang babala. |

| | |
|---|---|
| PREPARED/UPLOADED BY: **RAMF / HGDE** | VERIFIED BY: **MEVT** |