Republic of the Philippines
DEPARTMENT OF SCIENCE AND TECHNOLOGY
Philippine Atmospheric, Geophysical and Astronomical Services Administration (PAGASA)

BAGONG PILIPINAS

FARM WEATHER FORECAST AND ADVISORIES
FWFA: NO. 26 – 084

Issued:6:00 PM, Thursday, 16 April 2026 **Valid until: 4:00 PM, Friday, 17 April 2026**

SYNOPSIS: Ridge of High Pressure Area (HPA) extending over Northern Luzon.

TROPICAL CYCLONE OUTSIDE PAR AS OF 3:00 PM TODAY
TYPHOON SINLAKU (2604)
LOCATION: 2,420 KM EAST OF NORTHERN LUZON (17.8°N, 144.6°E)
MAXIMUM SUSTAINED WINDS: 155 KM/H NEAR THE CENTER
GUSTINESS: UP TO 190 KM/H
MOVEMENT: NORTHWARD AT 10 KM/H

FORECAST AREA	AGRI-WEATHER	WINDS	TEMPERATURE (0C)		RH%	LEAF WETNESS (HRS)
			LOWLAND	UPLAND		
Metro Manila and the rest of the country	Partly cloudy to cloudy skies with isolated rainshowers or thunderstorms	**The eastern sections of Southern Luzon, Visayas, and Mindanao** – Moderate to strong from northeast to east; **The rest of Luzon** – Light to moderate from east to southeast; **Rest of the country** – Light to moderate from northeast to north	22 – 35	13 – 32	45 – 96	0 – 4

FARM ADVISORY

SOIL MOISTURE CONDITION
(April 1 – 10, 2026)

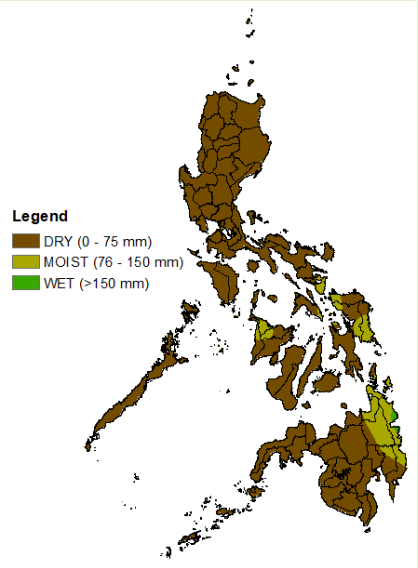

Wet – *Surigao del Sur;*

Moist – *Sorsogon, Bohol, Borongan, Surigao del Norte, and Agusan del Norte*

Dry – *Rest of the country*

ENSO ALERT SYSTEM STATUS
(Updated as of 08 April 2026)



EL NIÑO WATCH

https://pagasa.dost.gov.ph/climate/elnino-la-nina/monitoring

Farmers should conserve soil moisture through mulching and reduced tillage, and manage water efficiently using proper irrigation and available sources. Diversify crops and apply staggered planting to reduce risk, while regular weeding minimizes competition for water and nutrients. Improve soil health by adding organic matter to enhance moisture retention, and use windbreaks or shade to reduce heat stress. Stay coordinated with local agriculture offices and monitor DOST-PAGASA advisories for timely decisions and improved resilience.

FOR AREAS AFFECTED BY THE WEATHER SYSTEMS	HEAT INDEX MONITORING AND FORECASTING (OBSERVED AND 2-DAY FORECAST)
THUNDERSTORMS AND MODERATE TO HEAVY RAINS • Ensure proper drainage to prevent waterlogging and flooding in fields. • Avoid field work during thunderstorms, especially in open areas or near tall objects. • Harvest mature crops early when thunderstorms are expected. • Protect seedlings and high-value crops using temporary covers or shelters. • Provide adequate shade for crops using nets, mulching, or intercropping to reduce heat stress. • Ensure timely and efficient irrigation, preferably early morning or late afternoon to minimize evaporation losses. • Conserve soil moisture through mulching. • Reduce field activities during peak heat hours to avoid heat stress on farmers and workers. • Monitor crops regularly for signs of heat stress such as wilting and leaf scorching. • Keep updated with local advisories from LGUs and DOST-PAGASA for early warnings.	The Heat Index is a human discomfort index that gives the apparent temperature on what humans perceive or feel as the temperature (from the surroundings) affecting the body. High air temperature and high relative humidity results to high apparent temperature *https://www.pagasa.dost.gov.ph/climate/climate-heat-index*

FISHING ADVISORY
GALE WARNING AND SEA CONDITION
No Gale Warning was raised. Moderate to rough seas will prevail over the **eastern sections of Southern Luzon, Visayas, and Mindanao** while slight to moderate seas are expected over **the rest of the archipelago**. Still be reminded to be very careful in fishing, especially those using small seacraft. Always bring an emergency kit. Be updated for the latest weather updates and farm advisories from DOST-PAGASA.

ADDITIONAL INFORMATION			
DAILY EXTREMES		MONTHLY EXTREMES	
Maximum Temperature	40.0 ºC (Tuguegarao City, 1915)	Maximum Temperature	42.2 ºC (Tuguegarao, 1963)
Minimum Temperature	11.0 ºC (Baguio City, 1907)	Minimum Temperature	9.6 ºC (Baguio City, 2007)
Rainfall	290.6 mm (Romblon Island, 1979)	Rainfall	495.2 mm (Virac Radar, 2009)

PREPARED/UPLOADED BY: **MTR / JAE**	VERIFIED BY: **MEVT**

Republic of the Philippines
DEPARTMENT OF SCIENCE AND TECHNOLOGY
Philippine Atmospheric, Geophysical and Astronomical Services Administration (PAGASA)

BAGONG PILIPINAS

TAYA NG PANAHON AT MGA PAYONG PANSAKAHAN
FWFA: NO. 26 – 084

Inilabas ng: 6:00 PM, Huwebes, 16 Abril 2026 **May bisa hanggang: 4:00 PM, Biyernes, 17 Abril 2026**

SYNOPSIS: Umaabot ang Ridge ng High Pressure Area (HPA) sa Hilagang Luzon.

BAGYO SA LABAS NG PAR KANINANG 3:00 PM
SUPER TYPHOON SINLAKU (2604)
LOKASYON: 2,420 KM SILANGAN NG HILAGANG LUZON (17.8°N, 144.6°E)
TAGLAY NA LAKAS NG HANGIN: 155 KM/H MALAPIT SA GITNA
PAGBUGSO: HANGGANG 1 90 KM/H
PAGKILOS: HILAGA SA BILIS NA 10 KM/H

LUGAR NG PAGTAYA	LAGAY NG PANAHON PANG-AGRIKULTURA	HANGIN	TEMPERATURA (^{0}C)		RH%	PAGKABA SA NG DAHON (ORAS)
			Mababang Bukirin	Mataas na Bukirin		
Metro Manila at natitirang bahagi ng bansa	Bahagyang maulap hanggang sa maulap na kalangitan na may pulu-pulong pag-ulan o pagkidlat-pagkulog	**Silangang bahagi ng Southern Luzon, Kabisayaan at Mindanao** – Katamtaman hanggang sa malakas mula hilagang silangan hanggang silangan **Natitirang bahagi ng Luzon –** Mahina hanggang sa katamtaman mula silangan hanggang timog-silangan **Natitirang bahagi ng bansa –** Mahina hanggang sa katamtaman mula hilagang silangan hanggang hilaga	22 – 35	13 – 32	45 – 96	0 – 4

SA MGA LUGAR NA APEKTADO NG WEATHER SYSTEMS	PAGSUBAYBAY AT PAGTATAYA NG HEAT INDEX (NAOBSERBAHAN AT 2-ARAW NA PAGTATAYA)
PAGKIDLAT-PAGKULOG, AT KATAMTAMAN HANGGANG MALAKAS NA PAG-ULAN • Tiyakin ang maayos na daluyan ng tubig upang maiwasan ang pagbaha at waterlogging sa mga taniman. • Iwasan ang pagtatrabaho sa bukid kapag may thunderstorm, lalo na sa bukas na lugar o malapit sa matataas na bagay. • Anihin nang maaga ang mga hinog na pananim kapag inaasahan ang thunderstorms. • Protektahan ang mga punla at high-value crops gamit ang pansamantalang takip o silungan. • Magbigay ng sapat na lilim sa mga pananim gamit ang shade nets, mulching, o intercropping upang mabawasan ang init. • Mag-irigasyon sa tamang oras, mas mainam sa umaga o hapon upang mabawasan ang pag-singaw ng tubig. • Panatilihin ang kahalumigmigan ng lupa sa pamamagitan ng pagmumulch. • Bawasan ang gawaing bukid sa kasagsagan ng init upang maiwasan ang heat stress sa mga magsasaka at manggagawa. • Regular na bantayan ang mga pananim para sa senyales ng heat stress tulad ng pagkalanta at pagkapaso ng dahon. • Manatiling updated sa mga abiso ng LGU at DOST-PAGASA para sa maagang babala.	Ang init na nararamdaman ng katawan ng tao (apparent temperature) ay hindi akmang nasusukat gamit lamang ang temperature ng hangin (air temperature). Ito ay mas tamang naitataya kung isasama ang datos ng alinsangan o halumigmig (relative humidity). Ang impormasyon na ito ay tinatawag na Heat Index at ito ay matutukoy gamit ang Heat Index Chart. ***https://www.pagasa.dost.gov.ph/climate/climate-heat-index***

Republic of the Philippines
DEPARTMENT OF SCIENCE AND TECHNOLOGY
Philippine Atmospheric, Geophysical and Astronomical Services Administration (PAGASA)

BAGONG PILIPINAS

PAYONG PANGSAKAHAN

KALAGAYAN NG LUPANG SAKAHAN
(Abril 1 – 10, 2026)

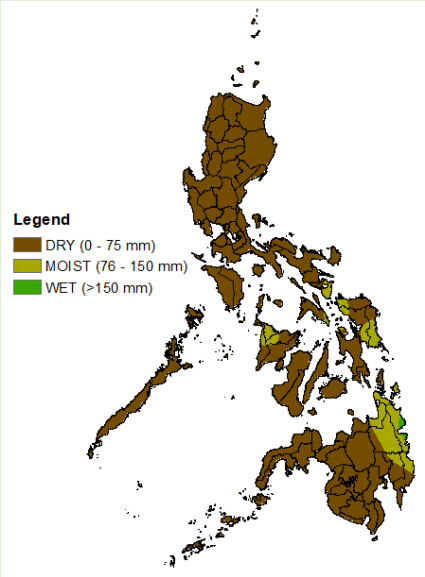

Basa – *Surigao del Sur;*

Katamtaman – *Sorsogon, Bohol, Borongan, Surigao del Norte, at Agusan del Norte*

Tuyo – *Natitirang bahagi ng bansa*

ENSO ALERT SYSTEM STATUS
(mula noong 08 Abril 2026)

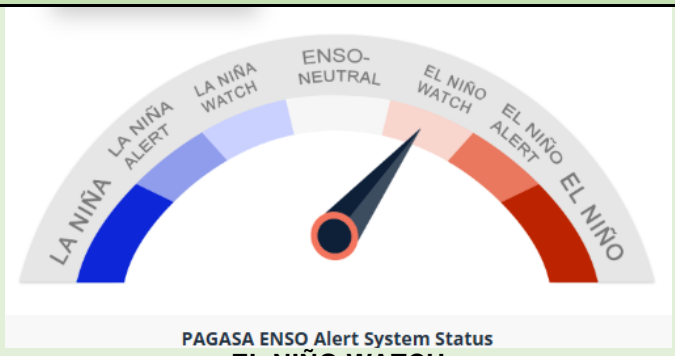

EL NIÑO WATCH

https://pagasa.dost.gov.ph/climate/elnino-la-nina/monitoring

Panatilihin ng mga magsasaka ang kahalumigmigan ng lupa sa pamamagitan ng mulching at maayos na paggamit ng tubig sa irigasyon. Magtanim ng iba't ibang pananim at magsagawa ng staggered planting upang mabawasan ang panganib sa tagtuyot. Regular na maglinis ng damo upang hindi maagawan ng tubig at sustansya ang pananim. Dagdagan ang organikong pataba upang mapabuti ang kakayahan ng lupa na maghawak ng tubig, at gumamit ng lilim o harang sa hangin upang mabawasan ang init. Ugaliing sumubaybay sa mga abiso ng DOST-PAGASA at makipag-ugnayan sa lokal na tanggapan ng agrikultura para sa tamang gabay.

PAYO SA MGA MANGINGISDA

GALE WARNING AT KONDISYON NG KARAGATAN

Walang nakataas na Gale Warning.

Katamtaman hanggang sa maalon na karagatan ang iiral **sa silangang baybayin ng Southern Luzon, Kabisayaan, at Mindanao** samanatala banayad hanggang sa katamtaman na pag-alon ang inaasahan sa **natitirang bahagai ng kapuluan**. Ang mga mangingisda ay pinapaalalahanan na palaging mag-ingat, ugaliing magdala ng mga gamit pangkagipitan, magbantay at makinig sa mga paalala at patalastas mula sa DOST-PAGASA.

DAGDAG KAALAMAN

DAILY EXTREMES		MONTHLY EXTREMES	
Pinakamataas na Temperatura	40.0 ºC (Tuguegarao City, 1915)	Pinakamataas na Temperatura	42.2 ºC (Tuguegarao, 1963)
Pinakamababang Temperatura	11.0 ºC (Baguio City, 1907)	Pinakamababang Temperatura	9.6 ºC (Baguio City, 2007)
Pinakamaraming Ulan	290.6 mm (Romblon Island, 1979)	Pinakamaraming Ulan	495.2 mm (Virac Radar, 2009)

INIHANDA HANDA/INI-UPLOAD NINA: **MTR / JAE** | BINIGYANG PANSIN NI: **MEVT**