Republic of the Philippines
DEPARTMENT OF SCIENCE AND TECHNOLOGY
Philippine Atmospheric, Geophysical and Astronomical Services Administration (PAGASA)

BAGONG PILIPINAS

FARM WEATHER FORECAST AND ADVISORIES
FWFA: NO. 26 – 087

Issued: 7:00 AM, Tuesday, 21 April 2026 **Valid until: 7:00 AM, Wednesday, 22 April 2026**

SYNOPSIS: Easterlies affecting Southern Luzon, Visayas, and Mindanao.

FORECAST AREA	AGRI-WEATHER	WINDS	TEMPERATURE (0C)		RH%	LEAF WETNESS (HRS)
			LOWLAND	UPLAND		
Metro Manila, CALABARZON, MIMAROPA, Bicol Region, Visayas, and Mindanao	Partly cloudy to cloudy skies with isolated rainshowers or thunderstorms	**Quezon, Bicol Region, eastern sections of Visayas, and Mindanao**– Moderate from northeast to east; **Cavite, Laguna, Batangas, Rizal, MIMAROPA, rest of Visayas and Mindanao** – Light to moderate from east to northeast	23 – 36	21 – 34	50 – 96	0 – 4
The rest of Luzon	Partly cloudy to cloudy skies with isolated rainshowers or thunderstorms	**Northern and Central Luzon** – Light to moderate from east to southeast; **Rest of Luzon** – Light to moderate from east to northeast	22 – 36	15 – 33	40 – 96	0 – 4

FARM ADVISORY

SOIL MOISTURE CONDITION
(April 1 – 10, 2026)

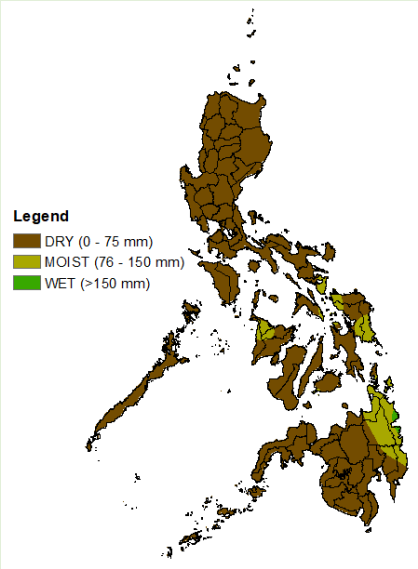

Wet – *Surigao del Sur;*

Moist – *Sorsogon, Bohol, Borongan, Surigao del Norte, and Agusan del Norte*

Dry – *Rest of the country*

ENSO ALERT SYSTEM STATUS
(Updated as of 08 April 2026)

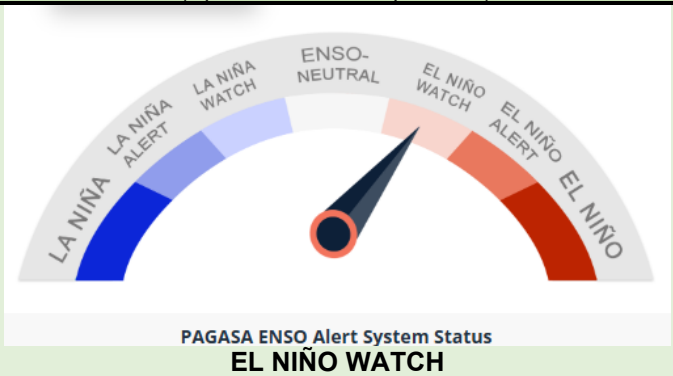

EL NIÑO WATCH

https://pagasa.dost.gov.ph/climate/elnino-la-nina/monitoring

Farmers should strengthen farm structures, maintain efficient drainage systems, and harvest mature or near-mature crops early when prolonged rainfall is expected. Proper drying and storage of produce in covered, elevated, and well-ventilated areas are essential to prevent spoilage, while close monitoring for pests and diseases—especially fungal infections under wet conditions—should be practiced. Continuous

	coordination with local agriculture offices and regular monitoring of advisories from DOST-PAGASA will support timely decision-making and improve farm resilience

AREAS AFFECTED BY THE WEATHER SYSTEMS	HEAT INDEX MONITORING AND FORECASTING (OBSERVED AND 2-DAY FORECAST)
EASTERLIES, THUNDERSTORMS AND MODERATE TO HEAVY RAINS • Mulch around plants to retain soil moisture, suppress weeds, and regulate temperature. • Use soil moisture monitoring to avoid unnecessary irrigation. • Inspect irrigation systems regularly to ensure even water distribution and prevent waterlogging. • Prune fruit trees and vines to promote healthy growth and better yields. • Use organic compost to enrich the soil and improve plant health. • Keep farm tools clean to prevent disease transmission between plants. • Document weather impacts on crops to improve future planning and climate-resilient practices. • Keep updated with local advisories from LGUs and DOST-PAGASA for early warnings.	The Heat Index is a human discomfort index that gives the apparent temperature on what humans perceive or feel as the temperature (from the surroundings) affecting the body. High air temperature and high relative humidity results to high apparent temperature *https://www.pagasa.dost.gov.ph/climate/climate-heat-index*

FISHING ADVISORY
GALE WARNING AND SEA CONDITION
No Gale Warning was raised. Moderate seas will be experienced over the **eastern seaboards of Southern Luzon, Visayas, and Mindanao**, while slight to moderate seas are expected over **the rest of the archipelago**. Still be reminded to be very careful in fishing, especially those using small seacraft. Always bring an emergency kit. Be updated for the latest weather updates and farm advisories from DOST-PAGASA.

ADDITIONAL INFORMATION			
DAILY EXTREMES		MONTHLY EXTREMES	
Maximum Temperature	40.6 ºC (Tuguegarao City, 1914)	Maximum Temperature	42.2 ºC (Tuguegarao, 1963)
Minimum Temperature	11.5 ºC (Baguio City, 1907)	Minimum Temperature	9.6 ºC (Baguio City, 2007)
Rainfall	236.1 mm (Hinatuan, 1999)	Rainfall	495.2 mm (Virac Radar, 2009)

PREPARED/UPLOADED BY: **MGA / ARL**	VERIFIED BY: **MEVT**

Republic of the Philippines
DEPARTMENT OF SCIENCE AND TECHNOLOGY
Philippine Atmospheric, Geophysical and Astronomical Services Administration (PAGASA)

BAGONG PILIPINAS

TAYA NG PANAHON AT MGA PAYONG PANSAKAHAN
FWFA: NO. 26 – 087

Inilabas ng: 7:00 AM, Martes, 21 Abril 2026 **May bisa hanggang: 7:00 AM, Miyerkules, 22 Abril 2026**

SYNOPSIS: Easterlies ang nakakaapekto saa Katimugang Luzon, Kabisayaan at Mindanao

LUGAR NG PAGTAYA	LAGAY NG PANAHON PANG-AGRIKULTURA	HANGIN	TEMPERATURA (^{0}C)		RH%	PAGKABASA NG DAHON (ORAS)
			Mababang Bukirin	Mataas na Bukirin		
Metro Manila, CALABARZON, MIMAROPA, Rehiyon ng Bicol, Kabisayaan, at Mindanao	Bahagyang maulap hanggang sa maulap na kalangitan na may pulu-pulong pag-ulan o pagkidlat-pagkulog	**Quezon, Rehiyon ng Bicol, at silangang bahagi ng Kabisayaan, at Mindanao –** Katamtaman mula hilagang silangan hanggang silangan **Cavite, Laguna, Batangaas, Rizal, MIMAROPA, at natitirang bahagi ng Kabisayaaan at Mindanao –** Mahina hanggang sa katamtaman mula silangan hanggang hilagang silangan	23 – 36	21 – 34	50 – 96	0 – 4
Natitirang bahagi ng Luzon	Bahagyang maulap hanggang sa maulap na kalangitan na may pulu-pulong pag-ulan o pagkidlat-pagkulog	**Hilaga at Gitnang Luzon –** Mahina hanggang sa katamtaman mula silangan hanggang timog-silangan **Natitirang bahagi ng Luzon –** Mahina hanggang sa katamtaman mula silangan hanggang hilagang silangan	22 – 36	15 – 33	40 – 96	0 – 4

SA MGA LUGAR NA APEKTADO NG WEATHER SYSTEMS	PAGSUBAYBAY AT PAGTATAYA NG HEAT INDEX (NAOBSERBAHAN AT 2-ARAW NA PAGTATAYA)
EASTERLIES, PAGKIDLAT-PAGKULOG, AT KATAMTAMAN HANGGANG MALAKAS NA PAG-ULAN • Maglagay ng dayami o mulch sa paligid ng mga halaman upang mapanatili ang halumigmig ng lupa, mapigilan ang damo, at ma-regulate ang temperatura. • Gumamit ng soil moisture monitoring upang maiwasan ang hindi kailangang patubig. • Regular na inspeksyunin ang sistema ng irigasyon upang matiyak ang pantay na distribusyon ng tubig at maiwasan ang sobrang pagbaha.	Ang init na nararamdaman ng katawan ng tao (apparent temperature) ay hindi akmang nasusukat gamit lamang ang temperature ng hangin (air temperature). Ito ay mas tamang naitataya kung isasama ang datos ng alinsangan o halumigmig (relative humidity). Ang impormasyon na ito ay tinatawag na Heat Index at ito ay matutukoy gamit ang Heat Index Chart. ***https://www.pagasa.dost.gov.ph/climate/climate-heat-index***

• Putulan ang mga punong namumunga at baging upang mapanatili ang malusog na paglaki at magkaroon ng mas maraming ani. • Gumamit ng organikong pataba o compost upang mapayaman ang lupa at mapabuti ang kalusugan ng mga halaman. • Panatilihing malinis ang mga kagamitang pangsakahan upang maiwasan ang pagkalat ng sakit sa pagitan ng mga pananim. • Idokumento ang epekto ng panahon sa mga pananim upang mapabuti ang pagpaplano at mga climate-resilient na gawain sa hinaharap. • Makinig at sumunod sa mga lokal na abiso mula sa LGUs at DOST-PAGASA para sa maagang babala.	

PAYONG PANGSAKAHAN

KALAGAYAN NG LUPANG SAKAHAN
(Abril 1 – 10, 2026)

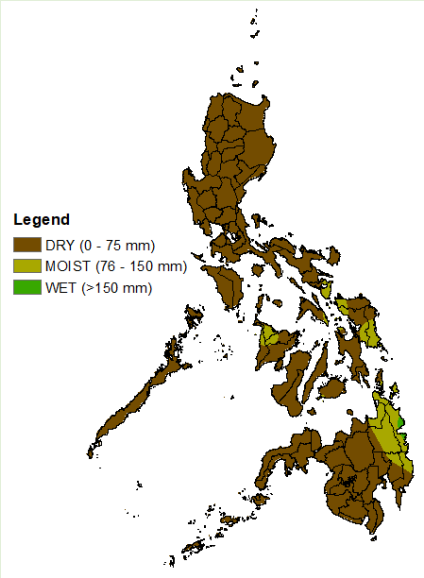

Basa – *Surigao del Sur;*

Katamtaman – *Sorsogon, Bohol, Borongan, Surigao del Norte, at Agusan del Norte*

Tuyo – *Natitirang bahagi ng bansa*

ENSO ALERT SYSTEM STATUS
(mula noong 08 April 2026)

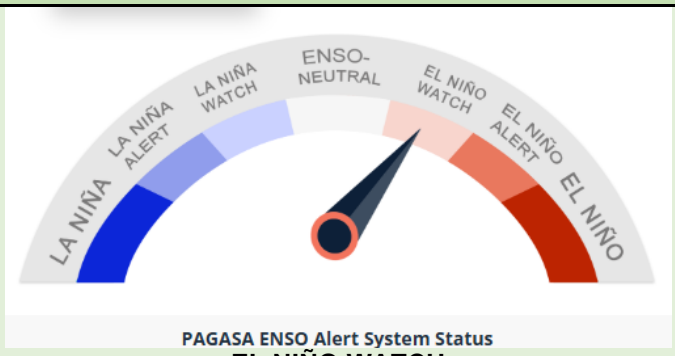

EL NIÑO WATCH

https://pagasa.dost.gov.ph/climate/elnino-la-nina/monitoring

Mahalagang maghanda ang mga magsasaka sa pamamagitan ng pagpapatibay ng mga estruktura sa sakahan, pagpapanatili ng maayos na daluyan ng tubig, at maagap na pag-aani ng mga pananim na malapit nang mahinog kapag may banta ng tuluy-tuloy na pag-ulan. Dapat ding tiyakin ang wastong pagpapatuyo at ligtas na pag-iimbak ng ani upang maiwasan ang pagkasira, habang masusing binabantayan ang paglitaw ng mga peste at sakit, lalo na ang mga dulot ng basang kondisyon. Ang patuloy na pakikipag-ugnayan sa mga lokal na tanggapan ng agrikultura at pagsubaybay sa mga abiso ng DOST-PAGASA ay makatutulong sa napapanahong pagpapasya at mas matibay na paghahanda laban sa mga epekto ng La Niña.

PAYO SA MGA MANGINGISDA

GALE WARNING AT KONDISYON NG KARAGATAN

Walang nakataas na Gale Warning.

Katamtaman na karagatan ang mararanasan sa **silangang mga baybayin ng Katimugang Luzon, Kabisayaan, at Mindanao** samantalang banayad hanggang sa katamtaman na pag-alon ang inaasahan sa **natitirang bahagi ng kapuluan**. Ang mga mangingisda ay pinapaalalahanan na palaging mag-ingat, ugaliing magdala ng mga gamit pangkagipitan, magbantay at makinig sa mga paalala at patalastas mula sa DOST-PAGASA.

DAGDAG KAALAMAN

DAILY EXTREMES		MONTHLY EXTREMES	
Pinakamataas na	40.6 ºC (Tuguegarao City, 1914)	Pinakamataas na	42.2 ºC (Tuguegarao, 1963)

Temperatura		Temperatura	
Pinakamababang Temperatura	11.5 ºC (Baguio City, 1907)	Pinakamababang Temperatura	9.6 ºC (Baguio City, 2007)
Pinakamaraming Ulan	236.1 mm (Hinatuan, 1999)	Pinakamaraming Ulan	495.2 mm (Virac Radar, 2009)

INIHANDA HANDA/INI-UPLOAD NINA: **MGA / ARL**	BINIGYANG PANSIN NI: **MEVT**