Republic of the Philippines
DEPARTMENT OF SCIENCE AND TECHNOLOGY
Philippine Atmospheric, Geophysical and Astronomical Services Administration (PAGASA)

BAGONG PILIPINAS

FARM WEATHER FORECAST AND ADVISORIES
FWFA: NO. 26 – 090

Issued: 6:00 PM, Thursday, 23 April 2026 **Valid until: 4:00 PM, Friday, 24 April 2026**

SYNOPSIS: Ridge of High Pressure Area (HPA) extending over the eastern section of Northern Luzon. Easterlies affecting the rest of the country.

FORECAST AREA	AGRI-WEATHER	WINDS	TEMPERATURE (0C)		RH%	LEAF WETNESS (HRS)
			LOWLAND	UPLAND		
Metro Manila, Central Luzon, CALABARZON, MIMAROPA, Bicol Region, Visayas, and Mindanao	Partly cloudy to cloudy skies with isolated rainshowers or thunderstorms	Light to moderate from east to southeast	23 – 35	21 – 33	45 – 96	0 – 4
The rest of Luzon	Partly cloudy to cloudy skies with isolated rainshowers or thunderstorms	**Northern Luzon** – Light to moderate from southeast to south; **Rest of Luzon** – Light to moderate from east to southeast	22 – 35	16 – 32	45 – 96	0 – 4

FARM ADVISORY

SOIL MOISTURE CONDITION
(April 11 – 20, 2026)

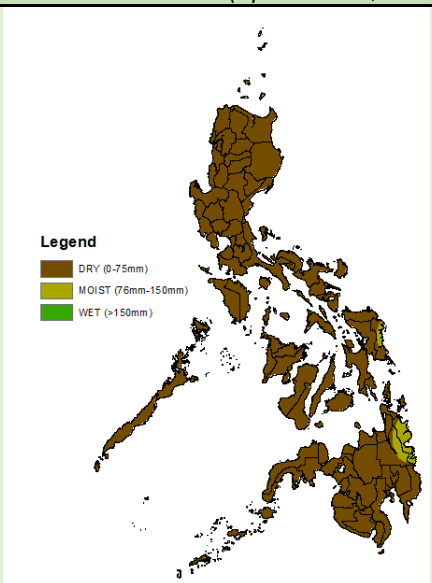

Moist – *Eastern Samar and Surigao del Sur*

Dry – *Rest of the country*

ENSO ALERT SYSTEM STATUS
(Updated as of 22 April 2026)

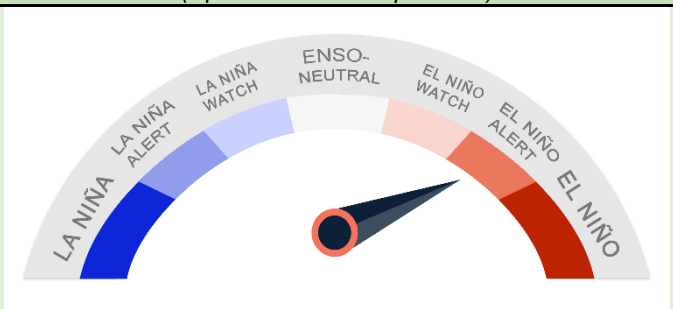

EL NIÑO ALERT

https://pagasa.dost.gov.ph/press-release/209

El Niño is expected to develop by mid-2026, increasing the possibility of below-normal rainfall, dry spells, and drought. Farmers are advised to maintain irrigation systems, use drought-tolerant crops, and harvest mature crops early when needed. Localized thunderstorms may still occur, especially in the afternoon or evening, bringing heavy rain, strong winds, lightning, and possible flash flooding in low-lying areas. Farmers should stay alert to daily weather updates, secure farm structures, and avoid field activities during thunderstorms, and adjust planting schedules based on DOST-PAGASA forecasts.

AREAS AFFECTED BY THE WEATHER SYSTEMS	HEAT INDEX MONITORING AND FORECASTING (OBSERVED AND 2-DAY FORECAST)
RIDGE OF HIGH PRESSURE AREA, EASTERLIES, THUNDERSTORMS AND MODERATE TO HEAVY RAINS • Apply proper irrigation, mulching, shading, and moisture monitoring to reduce heat and water stress. • Stay hydrated, avoid peak heat, and take breaks in shaded areas. • Clear and maintain canals, dikes, and drainage lines to quickly remove excess water and reduce flooding risk during heavy rains. • Increase field scouting, as high humidity and intermittent rains can trigger outbreaks (e.g., fungal diseases, insect pests). • Harvest early-maturing crops ahead of forecasted heavy rains to minimize post-harvest losses. • Utilize plastic mulch, row covers, or simple rain shelters to protect sensitive crops from excessive rainfall. • Collect rainwater during wet periods for use during dry days. • Coordinate with farmer groups and LGUs for shared resources, early warnings, and disaster response. • Stay updated with advisories from LGUs and DOST-PAGASA to guide daily farm decisions.	The Heat Index is a human discomfort index that gives the apparent temperature on what humans perceive or feel as the temperature (from the surroundings) affecting the body. High air temperature and high relative humidity results to high apparent temperature *https://www.pagasa.dost.gov.ph/climate/climate-heat-index*

FISHING ADVISORY
GALE WARNING AND SEA CONDITION
No Gale Warning was raised. Slight to moderate seas will prevail over **the whole archipelago**. Still be reminded to be very careful in fishing, especially those using small seacraft. Always bring an emergency kit. Be updated for the latest weather updates and farm advisories from DOST-PAGASA.

ADDITIONAL INFORMATION			
DAILY EXTREMES		MONTHLY EXTREMES	
Maximum Temperature	42.2 ºC (Tuguegarao City, 1912)	Maximum Temperature	42.2 ºC (Tuguegarao, 1963)
Minimum Temperature	12.6 ºC (Baguio City, 1907)	Minimum Temperature	9.6 ºC (Baguio City, 2007)
Rainfall	190.8 mm (Dipolog City, 2002)	Rainfall	495.2 mm (Virac Radar, 2009)

PREPARED/UPLOADED BY: **MTR / JAE**	VERIFIED BY: **MEVT**

Republic of the Philippines
DEPARTMENT OF SCIENCE AND TECHNOLOGY
Philippine Atmospheric, Geophysical and Astronomical Services Administration (PAGASA)

BAGONG PILIPINAS

TAYA NG PANAHON AT MGA PAYONG PANSAKAHAN
FWFA: NO. 26 – 089

Inilabas ng: 7:00 AM, Huwebes, 23 Abril 2026 **May bisa hanggang: 7:00 AM, Biyernes, 25 Abril 2026**

SYNOPSIS: Ang Ridge of High Pressure Area (HPA) ay umaabot hanggang sa silangang bahagi ng Hilagang Luzon. Easterlies ang nakakaapekto sa natitirang bahagi ng bansa.

LUGAR NG PAGTAYA	LAGAY NG PANAHON PANG-AGRIKULTURA	HANGIN	TEMPERATURA (^{0}C)		RH%	PAGKABASA NG DAHON (ORAS)
			Mababang Bukirin	Mataas na Bukirin		
Metro Manila, Central Luzon, CALABARZON, MIMAROPA, Rehiyon ng Bicol, Kabisayaan, at Mindanao	Bahagyang maulap hanggang sa maulap na kalangitan na may pulu-pulong pag-ulan o pagkidlat-pagkulog	Mahina hanggang sa katamtaman mula silangan hanggang timog-silangan	23 – 35	21 – 33	45 – 96	0 – 4
Natitirang bahagi ng Luzon	Bahagyang maulap hanggang sa maulap na kalangitan na may pulu-pulong pag-ulan o pagkidlat-pagkulog	**Hilagang Luzon –** Mahina hanggang sa katamtaman mula timog-silangan hanggang timog **Natitirang bahagi ng Luzon –** Mahina hanggang sa katamtaman mula silangan hanggang timog-silangan	22 – 35	16 – 32	45 – 96	0 – 4

SA MGA LUGAR NA APEKTADO NG WEATHER SYSTEMS	PAGSUBAYBAY AT PAGTATAYA NG HEAT INDEX (NAOBSERBAHAN AT 2-ARAW NA PAGTATAYA)
RIDGE NG HIGH PRESSURE AREA, EASTERLIES, PAGKIDLAT-PAGKULOG, AT KATAMTAMAN HANGGANG MALAKAS NA PAG-ULAN • Magpatupad ng tamang patubig, pagmu-mulch, paglalagay ng lilim, at pagmamanman ng halumigmig ng lupa upang mabawasan ang stress sa init. • Uminom ng sapat na tubig, iwasan ang matinding init, at magpahinga sa lilim. • Linisin at panatilihin ang mga kanal, dike, at daluyan ng tubig upang maiwasan ang pagbaha. • Palakasin ang pagmamanman sa bukid dahil maaaring dumami ang peste at sakit sa mataas na halumigmig at pabugsu-bugsong ulan. • Mag-ani nang maaga bago ang inaasahang malalakas na ulan upang maiwasan ang pagkalugi. • Gumamit ng plastic mulch, row covers, o simpleng rain shelter para maprotektahan ang mga sensitibong pananim. • Mag-ipon ng tubig-ulan para magamit sa mga tuyong araw. • Makipag-ugnayan sa mga samahan ng magsasaka at LGUs para sa tulong at babala. • Sundin ang mga abiso mula sa LGUs at DOST-PAGASA para sa tamang gabay sa pagsasaka.	Ang init na nararamdaman ng katawan ng tao (apparent temperature) ay hindi akmang nasusukat gamit lamang ang temperature ng hangin (air temperature). Ito ay mas tamang naitataya kung isasama ang datos ng alinsangan o halumigmig (relative humidity). Ang impormasyon na ito ay tinatawag na Heat Index at ito ay matutukoy gamit ang Heat Index Chart. ***https://www.pagasa.dost.gov.ph/climate/climate-heat-index***

Republic of the Philippines
DEPARTMENT OF SCIENCE AND TECHNOLOGY
Philippine Atmospheric, Geophysical and Astronomical Services Administration (PAGASA)

BAGONG PILIPINAS

PAYONG PANGSAKAHAN

KALAGAYAN NG LUPANG SAKAHAN
(Abril 11 – 20, 2026)

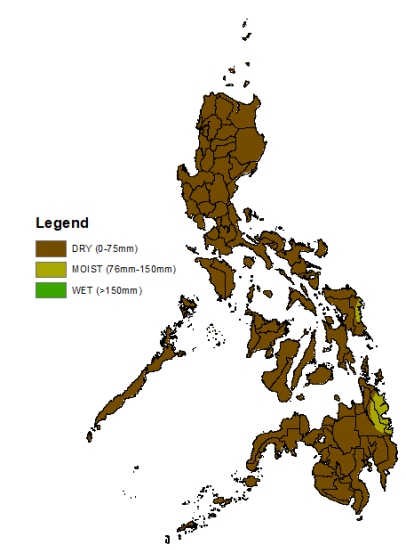

Katamtaman – *Eastern Samar at Surigao del Sur*

Tuyo – *Natitirang bahagi ng bansa*

ENSO ALERT SYSTEM STATUS
(mula noong 22 Abril 2026)

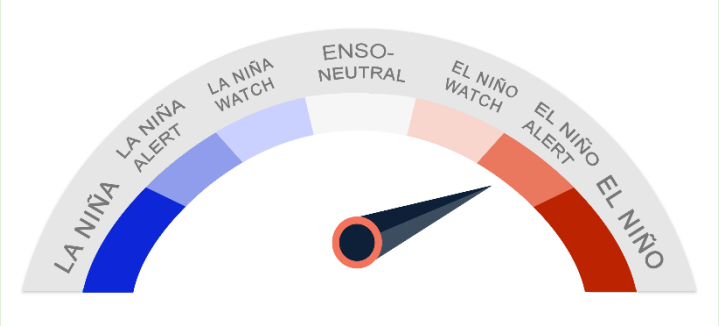

EL NIÑO ALERT
https://pagasa.dost.gov.ph/press-release/209

Inaasahang ang El Niño sa kalagitnaan ng 2026, na magdudulot ng tagtuyot at posibleng kakulangan sa tubig. Pinapayuhan ang mga magsasaka na panatilihin ang maayos na irigasyon, gumamit ng drought-tolerant na pananim, at anihin agad ang mga hinog na tanim kung kinakailangan. Maaari pa ring magkaroon ng localized thunderstorms, lalo na sa hapon o gabi, na may kasamang malakas na ulan, hangin, kidlat, at posibleng flash flood sa mababababang lugar. Panatiling updated sa araw-araw na lagay ng panahon, tiyakin ang kaligtasan ng mga pasilidad sa bukid, iwasan ang trabaho sa bukid tuwing may thunderstorm, at iangkop ang taniman ayon sa forecast ng DOST-PAGASA.

PAYO SA MGA MANGINGISDA

GALE WARNING AT KONDISYON NG KARAGATAN

Walang nakataas na Gale Warning.

Banayad hanggang sa katamtaman na pag-alon ng karagatan ang inaasahan sa **buong kapuluan**. Ang mga mangingisda ay pinapaalalahanan na palaging mag-ingat, ugaliing magdala ng mga gamit pangkagipitan, magbantay at makinig sa mga paalala at patalastas mula sa DOST-PAGASA.

DAGDAG KAALAMAN

DAILY EXTREMES		MONTHLY EXTREMES	
Pinakamataas na Temperatura	42.2 ºC (Tuguegarao City, 1912)	Pinakamataas na Temperatura	42.2 ºC (Tuguegarao, 1963)
Pinakamababang Temperatura	12.6 ºC (Baguio City, 1907)	Pinakamababang Temperatura	9.6 ºC (Baguio City, 2007)
Pinakamaraming Ulan	190.8 mm (Dipolog City, 2002)	Pinakamaraming Ulan	495.2 mm (Virac Radar, 2009)

INIHANDA HANDA/INI-UPLOAD NINA: **MTR / JAE** | BINIGYANG PANSIN NI: **MEVT**