Republic of the Philippines
DEPARTMENT OF SCIENCE AND TECHNOLOGY
Philippine Atmospheric, Geophysical and Astronomical Services Administration (PAGASA)

BAGONG PILIPINAS

FARM WEATHER FORECAST AND ADVISORIES
FWFA: NO. 26 – 100

Issued: 7:00 AM, Wednesday, 06 May 2026 **Valid until: 7:00 AM, Thursday, 07 May 2026**

SYNOPSIS: At 3:00 AM today, the Low Pressure Area (LPA) was estimated based on all available data at 670 km East of Hinatuan, Surigao del Sur (8.5°N, 132.4°E). Easterlies affecting the country.

TROPICAL CYCLONE OUTSIDE PAR AS OF 3:00 AM TODAY
TROPICAL DEPRESSION
LOCATION: 2,395 KM EAST OF NORTHEASTERN MINDANAO (8.4°N, 148.1°E)
MAXIMUM SUSTAINED WINDS: 55 KM/H NEAR THE CENTER
GUSTINESS: UP TO 70 KM/H
MOVEMENT: WESTWARD AT 10 KM/H

FORECAST AREA	AGRI-WEATHER	WINDS	TEMPERATURE (0C)		RH%	LEAF WETNESS (HRS)
			LOWLAND	UPLAND		
Eastern Samar, Southern Leyte, Dinagat Islands, and Surigao del Norte	Cloudy skies with scattered rains and thunderstorms	**Eastern Samar, and Southern Leyte** – Light to moderate from east to northeast; **Dinagat Islands, and Surigao del Norte** – Light to moderate from northeast to north;	25 – 33	23 – 30	60 – 98	0 – 6
Metro Manila and the rest of the country	Partly cloudy to cloudy skies with isolated rainshowers or thunderstorms	**Northern Luzon** – Light to moderate from east to southeast; **Rest of eastern section of Mindanao** – Light to moderate from northeast to north; **Rest of the country** – Light to moderate from east to northeast	23 – 38	16 – 35	40 – 96	0 – 4

Republic of the Philippines
DEPARTMENT OF SCIENCE AND TECHNOLOGY
Philippine Atmospheric, Geophysical and Astronomical Services Administration (PAGASA)

BAGONG PILIPINAS

FARM ADVISORY

SOIL MOISTURE CONDITION
(April 21 – 30, 2026)

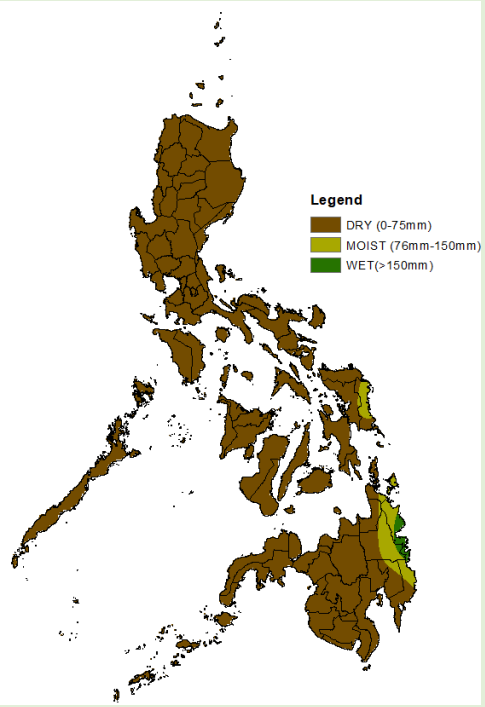

Wet – *Surigao del Sur*

Moist – *Eastern Samar*

Dry – *Rest of the country*

ENSO ALERT SYSTEM STATUS
(Updated as of 22 April 2026)

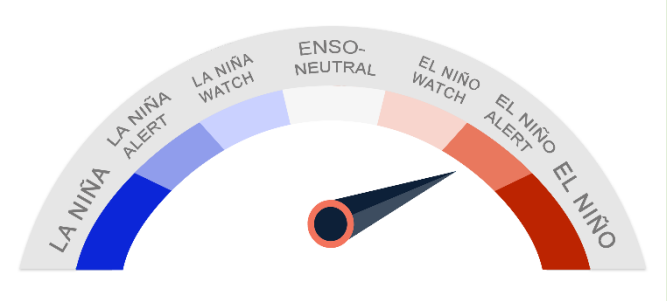

EL NIÑO ALERT

https://pagasa.dost.gov.ph/press-release/209

El Niño is expected to develop by mid-2026, increasing the possibility of below-normal rainfall, dry spells, and drought. Farmers are advised to maintain irrigation systems, use drought-tolerant crops, and harvest mature crops early when needed. Localized thunderstorms may still occur, especially in the afternoon or evening, bringing heavy rain, strong winds, lightning, and possible flash flooding in low-lying areas. Farmers should stay alert to daily weather updates, secure farm structures, and avoid field activities during thunderstorms, and adjust planting schedules based on DOST-PAGASA forecasts.

AREAS AFFECTED BY THE WEATHER SYSTEMS

LPA, EASTERLIES, THUNDERSTORMS AND MODERATE TO HEAVY RAINS

- Mulch around plants to retain soil moisture, suppress weeds, and regulate temperature.
- Use soil moisture monitoring to avoid unnecessary irrigation.
- Inspect irrigation systems regularly to ensure even water distribution and prevent waterlogging.
- Prune fruit trees and vines to promote healthy growth and better yields.
- Use organic compost to enrich the soil and improve plant health.
- Keep farm tools clean to prevent disease transmission between plants.
- Document weather impacts on crops to improve future planning and climate-resilient practices.
- Elevate sacks of fertilizer, feeds, and harvested produce above ground level to protect them from moisture and potential flooding.
- Keep updated with local advisories from LGUs and DOST-PAGASA for early warnings.

HEAT INDEX MONITORING AND FORECASTING (OBSERVED AND 2-DAY FORECAST)

The Heat Index is a human discomfort index that gives the apparent temperature on what humans perceive or feel as the temperature (from the surroundings) affecting the body. High air temperature and high relative humidity results to high apparent temperature *https://www.pagasa.dost.gov.ph/climate/climate-heat-index*

FISHING ADVISORY
GALE WARNING AND SEA CONDITION
No Gale Warning was raised. Slight to moderate seas will be prevail over the **entire archipelago**. Still be reminded to be very careful in fishing, especially those using small seacraft. Always bring an emergency kit. Be updated for the latest weather updates and farm advisories from DOST- PAGASA.

ADDITIONAL INFORMATION			
DAILY EXTREMES		MONTHLY EXTREMES	
Maximum Temperature	40.7 ºC (Tuguegarao City, 1969)	Maximum Temperature	42.2 ºC (Tuguegarao, 1969)
Minimum Temperature	13.8 ºC (Baguio City, 1907,1908)	Minimum Temperature	11.0 ºC (Baguio City, 1907)
Rainfall	191 mm (Surigao City, 1954)	Rainfall	730.3 mm (Baguio City, 1980)

PREPARED/UPLOADED BY: **MGA / HGDE**	VERIFIED BY: **MEVT**

Republic of the Philippines
DEPARTMENT OF SCIENCE AND TECHNOLOGY
Philippine Atmospheric, Geophysical and Astronomical Services Administration (PAGASA)

BAGONG PILIPINAS

TAYA NG PANAHON AT MGA PAYONG PANSAKAHAN
FWFA: NO. 26 – 100

Inilabas ng: 7:00 AM, Miyerkules, 06 Mayo 2026 **May bisa hanggang: 7:00 AM, Huwebes, 07 Mayo 2026**

SYNOPSIS: Kaninang 3:00 AM, ang Low Pressure Area (LPA) ay tinatayang nasa 670 km silangan ng Hinatuan, Surigao del Sur (8.5°N, 132.4.1°E). Easterlies ang nakakaapekto sa bansa.

TROPICAL CYCLONE SA LABAS NG PAR KANINANG 3:00 AM
TROPICAL DEPRESSION
LOKASYON: 2,935 KM SILANGAN NG HILAGANG SILANGANG MINDANAO (8.4°N, 148.1°E)
TAGLAY NA HANGIN: 55 KM/H MALAPIT SA GITNA
PAGBUGSO: UMAABOT HANGGANG 70 KM/H
PAGKILOS: PA-KANLURAN SA BILIS NA 10 KM/H

LUGAR NG PAGTAYA	LAGAY NG PANAHON PANG-AGRIKULTURA	HANGIN	TEMPERATURA (^{0}C)		RH%	PAGKABASA NG DAHON (ORAS)
			Mababang Bukirin	Mataas na Bukirin		
Eastern Samar, Southern Leyte, Dinagat Islands, at Surigao del Norte	Maulap na kalangitan na may kalat-kalat na pag-ulan at pagkidlat-pagkulog	**Eastern Samar, at Southern Leyte –** Mahina hanggang sa katamtaman mula silangan hanggang hilagang-silangan; **Dinagat Islands, at Surigao del Norte** – Mahina hanggang sa katamtaman mula hilagang silangan hanggang hilaga	25 – 33	23 – 30	60 – 98	0 – 6
Metro Manila at natitirang bahagi ng bansa	Bahagyang maulap hanggang sa maulap na kalangitan na may pulu-pulong pag-ulan o pagkidlat-pagkulog	**Hilagang Luzon –** Mahina hanggang sa katamtaman mula silangan hanggang timog-silangan; **Natitirang silangang bahagi ng Mindanao** – Mahina hanggang sa katamtaman mula hilagang silangan hanggang hilaga; **Natitirang bahagi ng bansa** – Mahina hanggang sa katamtaman mula silangan hanggang hilagang-silangan	23 – 38	16 – 35	40 – 96	0 – 4

Republic of the Philippines
DEPARTMENT OF SCIENCE AND TECHNOLOGY
Philippine Atmospheric, Geophysical and Astronomical Services Administration (PAGASA)

BAGONG PILIPINAS

PAYONG PANGSAKAHAN

KALAGAYAN NG LUPANG SAKAHAN
(Abril 21 – 30, 2026)

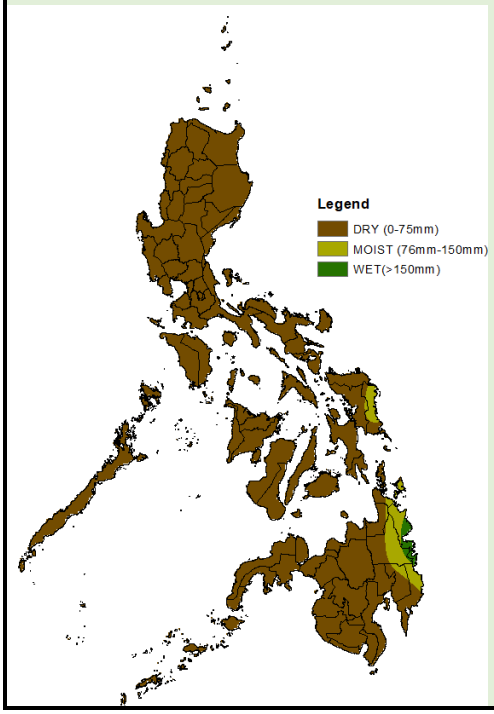

Basa – *Surigao del Sur*

Katamtaman – *Eastern Samar*

Tuyo – *Natitirang bahagi*

ENSO ALERT SYSTEM STATUS
(mula noong 22 Abril 2026)

EL NIÑO ALERT

https://pagasa.dost.gov.ph/press-release/209

Inaasahang ang El Niño sa kalagitnaan ng 2026, na magdudulot ng tagtuyot at posibleng kakulangan sa tubig. Pinapayuhan ang mga magsasaka na panatilihin ang maayos na irigasyon, gumamit ng drought-tolerant na pananim, at anihin agad ang mga hinog na tanim kung kinakailangan. Maaari pa ring magkaroon ng localized thunderstorms, lalo na sa hapon o gabi, na may kasamang malakas na ulan, hangin, kidlat, at posibleng flash flood sa mabababang lugar. Panatiling updated sa araw-araw na lagay ng panahon, tiyakin ang kaligtasan ng mga pasilidad sa bukid, iwasan ang trabaho sa bukid tuwing may thunderstorm, at iangkop ang taniman ayon sa forecast ng DOST-PAGASA.

SA MGA LUGAR NA APEKTADO NG WEATHER SYSTEMS

LPA, EASTERLIES, PAGKIDLAT-PAGKULOG, AT KATAMTAMAN HANGGANG MALAKAS NA PAG-ULAN

- Maglagay ng dayami o mulch sa paligid ng mga halaman upang mapanatili ang halumigmig ng lupa, mapigilan ang damo, at ma-regulate ang temperatura.
- Gumamit ng soil moisture monitoring upang maiwasan ang hindi kailangang patubig.
- Regular na inspeksyunin ang sistema ng irigasyon upang matiyak ang pantay na distribusyon ng tubig at maiwasan ang sobrang pagbaha.
- Putulan ang mga punong namumunga at baging upang mapanatili ang malusog na paglaki at magkaroon ng mas maraming ani.
- Gumamit ng organikong pataba o compost upang mapayaman ang lupa at mapabuti ang kalusugan ng mga halaman.
- Panatilihing malinis ang mga kagamitang pangsakahan upang maiwasan ang pagkalat ng sakit sa pagitan ng mga pananim.
- Idokumento ang epekto ng panahon sa mga pananim upang mapabuti ang pagpaplano at mga climate-resilient na gawain sa hinaharap.
- Itaas ang mga sako ng pataba, pakain, at ani upang hindi mabasa o masira sakaling magkaroon ng pagtaas ng tubig.
- Makinig at sumunod sa mga lokal na abiso mula sa LGUs at DOST-PAGASA para sa maagang babala.

PAGSUBAYBAY AT PAGTATAYA NG HEAT INDEX (NAOBSERBAHAN AT 2-ARAW NA PAGTATAYA)

Ang init na nararamdaman ng katawan ng tao (apparent temperature) ay hindi akmang nasusukat gamit lamang ang temperature ng hangin (air temperature). Ito ay mas tamang naitataya kung isasama ang datos ng alinsangan o halumigmig (relative humidity). Ang impormasyon na ito ay tinatawag na Heat Index at ito ay matutukoy gamit ang Heat Index Chart.
https://www.pagasa.dost.gov.ph/climate/climate-heat-index

PAYO SA MGA MANGINGISDA

GALE WARNING AT KONDISYON NG KARAGATAN

Walang nakataas na Gale Warning.

Banayad hanggang sa katamtaman na pag-alon ang mararanasan sa **buongkapuluan**. Ang mga mangingisda ay pinapaalalahanan na palaging mag-ingat, ugaliing magdala ng mga gamit pangkagipitan, magbantay at makinig sa mga paalala at patalastas mula sa DOST-PAGASA.

DAGDAG KAALAMAN

DAILY EXTREMES		MONTHLY EXTREMES	
Pinakamataas na Temperatura	40.7 ºC (Tuguegarao City, 1969)	Pinakamataas na Temperatura	42.2 ºC (Tuguegarao, 1969)
Pinakamababang Temperatura	13.8 ºC (Baguio City, 1907,1908)	Pinakamababang Temperatura	11.0 ºC (Baguio City, 1907)
Pinakamaraming Ulan	191 mm (Surigao City, 1954)	Pinakamaraming Ulan	730.3 mm (Baguio City, 1980)

INIHANDA HANDA/INI-UPLOAD NINA: **MGA / HGDE** | BINIGYANG PANSIN NI: **MEVT**