Republic of the Philippines
DEPARTMENT OF SCIENCE AND TECHNOLOGY
Philippine Atmospheric, Geophysical and Astronomical Services Administration (PAGASA)

BAGONG PILIPINAS

WEEKEND/SPECIAL FARM WEATHER OUTLOOK

WSFWO: NO. 26 – 103

Issued: 4:00 PM, Friday, 08 May 2026 | **Valid until: 7:00 AM, Monday, 11 May 2026**

Today (May 8), most parts of Mindanao including Siquijor and Palawan will have mostly cloudy skies with scattered rains and thunderstorms due to easterlies. The rest of the country will be partly cloudy to cloudy with possible rainshowers or thunderstorms.

From tomorrow to Sunday (May 9-10), the easterlies will bring cloudy skies with scattered rains and thunderstorms over Palawan. The rest of the country will have partly cloudy to cloudy skies with chances of localized rainshowers or thunderstorms. Meanwhile, Tropical Storm Hagupit is expected to enter the Philippine Area of Responsibility (PAR) between Saturday afternoon to evening and will be named Caloy.

From Monday (May 11), the Eastern Visayas, Surigao del Norte, Dinagat Islands, Catanduanes, and Sorsogon may experience cloudy skies with scattered rains and thunderstorms due to the trough of tropical cyclone Caloy. The rest of the country will have a generally fair weather apart from localized rainshowers and thunderstorms.

FORECAST AREA	TEMPERATURE		RH (%)	LEAF WETNESS (HRS)
	LOWLAND	UPLAND		
LUZON	23 – 39	16 – 36	40 – 98	0 – 4
VISAYAS	24 – 34	22 – 33	45 – 98	0 – 6
MINDANAO	23 – 35	21 – 34	55 – 99	4 – 8

FARM ADVISORY

SOIL MOISTURE CONDITION
(April 21 – 30, 2026)

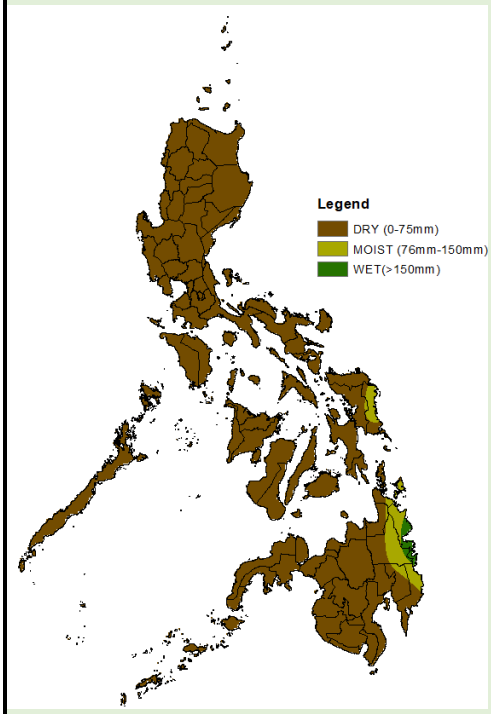

Wet – *Surigao del Sur*
Moist – *Eastern Samar*
Dry – *Rest of the country*

ENSO ALERT SYSTEM STATUS
(Updated as of 22 April 2026)

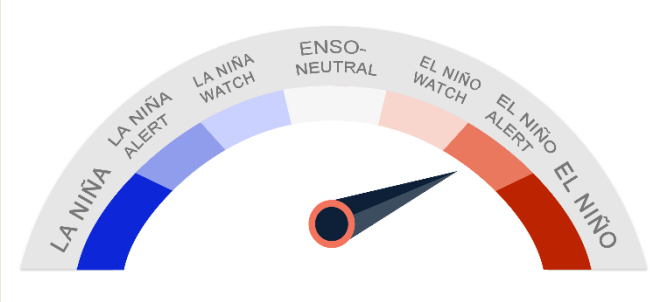

EL NIÑO ALERT

https://pagasa.dost.gov.ph/press-release/209

El Niño is expected to develop by mid-2026, increasing the possibility of below-normal rainfall, dry spells, and drought. Farmers are advised to maintain irrigation systems, use drought-tolerant crops, and harvest mature crops early when needed. Localized thunderstorms may still occur, especially in the afternoon or evening, bringing heavy rain, strong winds, lightning, and possible flash flooding in low-lying areas. Farmers should stay alert to daily weather updates, secure farm structures, and avoid field activities during thunderstorms, and adjust planting schedules based on DOST-PAGASA forecasts.

AREAS AFFECTED BY THE WEATHER SYSTEMS
TROUGH OF TROPICAL CYCLONE, EASTERLIES, THUNDERSTORMS AND MODERATE TO HEAVY RAINS • Apply proper irrigation, mulching, shading, and moisture monitoring to reduce heat and water stress. • Stay hydrated, avoid peak heat, and take breaks in shaded areas. • Clear and maintain canals, dikes, and drainage lines to quickly remove excess water and reduce flooding risk during heavy rains. • Increase field scouting, as high humidity and intermittent rains can trigger outbreaks (e.g., fungal diseases, insect pests). • Harvest early-maturing crops ahead of forecasted heavy rains to minimize post-harvest losses. • Utilize plastic mulch, row covers, or simple rain shelters to protect sensitive crops from excessive rainfall. • Collect rainwater during wet periods for use during dry days. • Coordinate with farmer groups and LGUs for shared resources, early warnings, and disaster response. • Stay updated with advisories from LGUs and DOST-PAGASA to guide daily farm decisions.

PREPARED/UPLOADED BY: **RAMF / HGDE**	VERIFIED BY: **MGA**

Republic of the Philippines
DEPARTMENT OF SCIENCE AND TECHNOLOGY
Philippine Atmospheric, Geophysical and Astronomical Services Administration (PAGASA)

TAYA NG PANAHON AT MGA PAYONG PANSAKAHAN

FWFA: NO. 26 – 103

Inilabas ng: 4:00 PM, Biyernes, 08 Mayo 2026 **May bisa hanggang: 7:00 AM, Lunes, 11 Mayo 2026**

Ngayong araw (Mayo 8), ang malaking bahagi ng Mindanao kasama ang Siquijor at Palawan ay makakaroon ng maulap na kalangitan na may kalat-kalat na pag-ulan at pagkidlat-pagkulog dahil sa easterlies. Makakaranas ng bahagyang maulap hanggang sa maulap na kalangitan na may posibleng pag-ulan o pagkidlat-pagkulog ang natitirang bahagi ng bansa.

Mula bukas hanggang sa Linggo (Mayo 9-10), magdadala ang easterlies ng maulap na kalangitan na may kalat-kalat na pag-ulan at pagkidlat-pagkulog sa Palawan. Makakaranas ng bahagyang maulap hanggang sa maulap na kalangitan na may posibleng pag-ulan o pagkidlat-pagkulog ang natitirang bahagi ng bansa. Samantala, ang Tropical Storm Hagupit ay inaasahnag papasok sa Philippine Area of Responsibility (PAR) sa pagitan ng Sabado ng hapon hanggang gabi at papangalanang Caloy.

Sa Lunes (May 11), ang Silangang Kabisayaan, Surigao del Norte, mga Isla ng Dinagat, Catanduanes, at Sorsogon ay makakaranas ng maulap na kalangitan na may kalat-kalat na pag-ulan at pagkidlat-pagkulog dahil sa trough ng bagyong Caloy. Makakaranas ng magandang panahon na may posibleng pag-ulan o pagkidlat-pagkulog ang natitirang bahagi ng bansa.

LUGAR NG PAGTAYA	TEMPERATURA (^{0}C)		RH (%)	PAGKABASA NG DAHON (ORAS)
	Mababang Bukirin	Mataas na Bukirin		
LUZON	23 – 39	16 – 36	40 – 98	0 – 4
VISAYAS	24 – 34	22 – 33	45 – 98	0 – 6
MINDANAO	23 – 35	21 – 34	55 – 99	4 – 8

PAYONG PANGSAKAHAN

KALAGAYAN NG LUPANG SAKAHAN
(Abril 21 – 30, 2026)

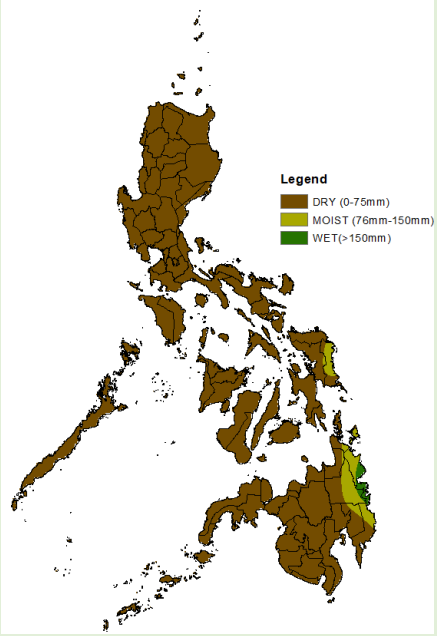

Basa – *Surigao del Sur*

Katamtaman – *Eastern Samar*

Tuyo – *Natitirang bahagi*

ENSO ALERT SYSTEM STATUS
(mula noong 22 Abril 2026)

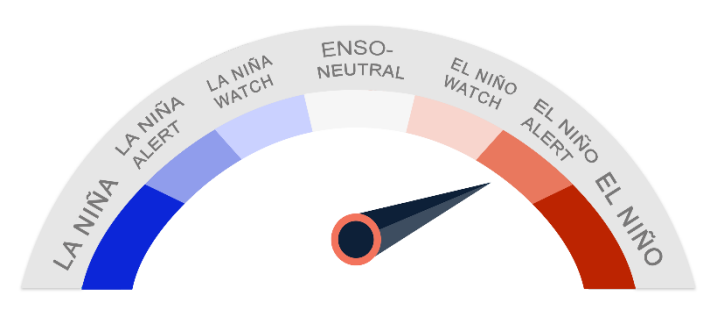

EL NIÑO ALERT

https://pagasa.dost.gov.ph/press-release/209

Inaasahang ang El Niño sa kalagitnaan ng 2026, na magdudulot ng tagtuyot at posibleng kakulangan sa tubig. Pinapayuhan ang mga magsasaka na panatilihin ang maayos na irigasyon, gumamit ng drought-tolerant na pananim, at anihin agad ang mga hinog na tanim kung kinakailangan. Maaari pa ring magkaroon ng localized thunderstorms, lalo na sa hapon o gabi, na may kasamang malakas na ulan, hangin, kidlat, at posibleng flash flood sa mababababang lugar. Panatiling updated sa araw-araw na lagay ng panahon, tiyakin ang kaligtasan ng mga pasilidad sa bukid, iwasan ang

	trabaho sa bukid tuwing may thunderstorm, at iangkop ang taniman ayon sa forecast ng DOST-PAGASA.

s

SA MGA LUGAR NA APEKTADO NG WEATHER SYSTEMS
TROUGH NG BAGYO, EASTERLIES, PAGKIDLAT-PAGKULOG, AT KATAMTAMAN HANGGANG MALAKAS NA PAG-ULAN • Magpatupad ng tamang patubig, pagmu-mulch, paglalagay ng lilim, at pagmamanman ng halumigmig ng lupa upang mabawasan ang stress sa init. • Uminom ng sapat na tubig, iwasan ang matinding init, at magpahinga sa lilim. • Linisin at panatilihin ang mga kanal, dike, at daluyan ng tubig upang maiwasan ang pagbaha. • Palakasin ang pagmamanman sa bukid dahil maaaring dumami ang peste at sakit sa mataas na halumigmig at pabugsu-bugsong ulan. • Mag-ani nang maaga bago ang inaasahang malalakas na ulan upang maiwasan ang pagkalugi. • Gumamit ng plastic mulch, row covers, o simpleng rain shelter para maprotektahan ang mga sensitibong pananim. • Mag-ipon ng tubig-ulan para magamit sa mga tuyong araw. • Makipag-ugnayan sa mga samahan ng magsasaka at LGUs para sa tulong at babala. • Sundin ang mga abiso mula sa LGUs at DOST-PAGASA para sa tamang gabay sa pagsasaka.

PREPARED/UPLOADED BY: **RAMF / HGDE**	VERIFIED BY: **MGA**