Republic of the Philippines
DEPARTMENT OF SCIENCE AND TECHNOLOGY
Philippine Atmospheric, Geophysical and Astronomical Services Administration (PAGASA)

BAGONG PILIPINAS

FARM WEATHER FORECAST AND ADVISORIES
FWFA: NO. 26 – 108

Issued: 6:00 PM, Thursday, 14 May 2026 **Valid until: 4:00 PM, Friday, 15 May 2026**

SYNOPSIS: At 3:00 PM today, the Low Pressure Area (formerly "CALOY") was estimated based on all available data at 995 km East of Southeastern Luzon (15.1°N, 130.9°E).

FORECAST AREA	AGRI-WEATHER	WINDS	TEMPERATURE (0C)		RH%	LEAF WETNESS (HRS)
			LOWLAND	UPLAND		
Metro Manila and the rest of the country	Partly cloudy to cloudy skies with isolated rainshowers or thunderstorms	**Luzon and Visayas–** Light to moderate from north to northwest; **Mindanao** –Light to moderate from south to southwest	22 – 36	17 – 32	45 – 96	0 – 4

AREAS AFFECTED BY THE WEATHER SYSTEMS	HEAT INDEX MONITORING AND FORECASTING (OBSERVED AND 2-DAY FORECAST)
THUNDERSTORMS AND MODERATE TO HEAVY RAINS • Provide shade cloth or temporary shelters for delicate seedlings during the peak afternoon heat to protect them from excessive sun exposure. • Use organic mulch, like straw or grass clippings, to help cool the root zones and maintain consistent moisture levels in the soil. • Schedule fieldwork during early mornings or late afternoons to avoid the hottest part of the day and reduce heat stress on both workers and crops. • Check storage areas for harvested crops (e.g., rice, corn, fruits, and vegetables). If necessary, move crops to elevated or covered areas to prevent water damage. Ensure farm equipment is stored in dry, sheltered locations to prevent rusting or malfunction. • Heavy rains increase the risk of soil erosion. Take preventive measures like reinforcing embankments, creating terraces, or planting ground cover to stabilize the soil and prevent it from washing away.Keep updated with local advisories from LGUs and DOST-PAGASA for early warnings.	The Heat Index is a human discomfort index that gives the apparent temperature on what humans perceive or feel as the temperature (from the surroundings) affecting the body. High air temperature and high relative humidity results to high apparent temperature. ***https://www.pagasa.dost.gov.ph/climate/climate-heat-index***

Republic of the Philippines
DEPARTMENT OF SCIENCE AND TECHNOLOGY
Philippine Atmospheric, Geophysical and Astronomical Services Administration (PAGASA)

BAGONG PILIPINAS

FARM ADVISORY

SOIL MOISTURE CONDITION
(May 1 – 10, 2026)

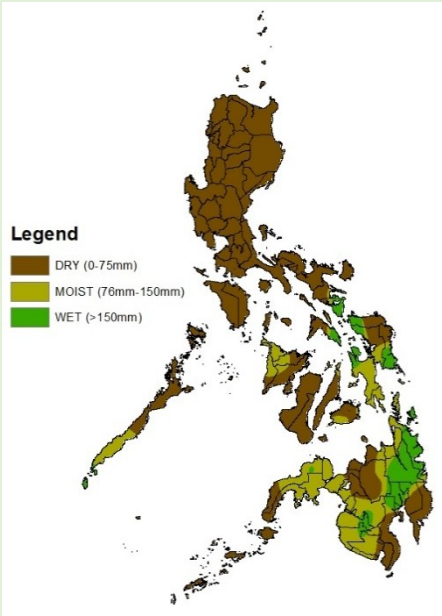

Wet – *Sorsogon, Borongan, Masbate North Cotabato, Surigao del Sur and Davao del Norte*

Moist – *Capiz, southern part of Palawan, Leyte, Sourthern Leyte, Guiuan, Bohol, Zamboanga Peninsula, Misamis Occidental, Lanao del Norte, South Cotabato, Maguindanao, and Agusan del Norte*

Dry – *Rest of the country*

ENSO ALERT SYSTEM STATUS
(Updated as of 07 May 2026)

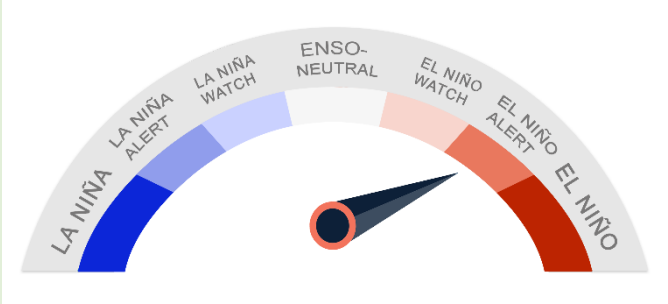

EL NIÑO ALERT

https://pagasa.dost.gov.ph/climate/climate-advisories#

El Niño is expected to develop by mid-2026, increasing the possibility of below-normal rainfall, dry spells, and drought. Farmers are advised to maintain irrigation systems, use drought-tolerant crops, and harvest mature crops early when needed. Localized thunderstorms may still occur, especially in the afternoon or evening, bringing heavy rain, strong winds, lightning, and possible flash flooding in low-lying areas. Farmers should stay alert to daily weather updates, secure farm structures, and avoid field activities during thunderstorms, and adjust planting schedules based on DOST-PAGASA forecasts.

FISHING ADVISORY

GALE WARNING AND SEA CONDITION

No Gale Warning was raised.

Slight to moderate seas will prevail over the **entire archipelago**. Still be reminded to be very careful in fishing, especially those using small seacraft. Always bring an emergency kit. Be updated for the latest weather updates and farm advisories from DOST- PAGASA.

ADDITIONAL INFORMATION

DAILY EXTREMES		MONTHLY EXTREMES	
Maximum Temperature	40.4 ºC (Tuguegarao City, 1940 & 1963)	Maximum Temperature	42.2 ºC (Tuguegarao, 1969)
Minimum Temperature	14.0 ºC (Baguio City, 1909)	Minimum Temperature	11.0 ºC (Baguio City, 1907)
Rainfall	306.0 mm (Catarman, 2020)	Rainfall	730.3 mm (Baguio City, 1980)

PREPARED/UPLOADED BY: **MTR / JOT** | VERIFIED BY: **NRE**

Republic of the Philippines
DEPARTMENT OF SCIENCE AND TECHNOLOGY
Philippine Atmospheric, Geophysical and Astronomical Services Administration (PAGASA)

BAGONG PILIPINAS

TAYA NG PANAHON AT MGA PAYONG PANSAKAHAN
FWFA: NO. 26 – 108

Inilabas ng: 6:00 PM, Huwebes, 14 Mayo 2026 **May bisa hanggang: 4:00 PM, Biyernes, 15 Mayo 2026**

SYNOPSIS: Kaninang 3:00 PM, ang Low Pressure Area (dating "CALOY") ay tinatayang nasa 995 km silangan ng Timog-silangang Luzon (15.1°N, 130.9°E).

LUGAR NG PAGTAYA	LAGAY NG PANAHON PANG-AGRIKULTURA	HANGIN	TEMPERATURA (^{0}C)		RH%	PAGKABASA NG DAHON (ORAS)
			Mababang Bukirin	Mataas na Bukirin		
Metro Manila at natitirang bahagi ng bansa	Bahagyang maulap hanggang sa maulap na kalangitan na may pulu-pulong pag-ulan o pagkidlat-pagkulog	**Luzon at Kabisayaan –** Mahina hanggang sa katamtaman mula hilaga hanggang hilagang kanluran; **Mindanao** – Mahina hanggang sa katamtaman mula timog hanggang timog-kanluran	22 – 36	17 – 32	45 – 96	0 – 4

SA MGA LUGAR NA APEKTADO NG WEATHER SYSTEMS	PAGSUBAYBAY AT PAGTATAYA NG HEAT INDEX (NAOBSERBAHAN AT 2-ARAW NA PAGTATAYA)
PAGKIDLAT-PAGKULOG AT KATAMTAMAN HANGGANG MALAKAS NA PAG-ULAN • Magbigay ng shade cloth o pansamantalang silungan para sa mga sensitibong punla tuwing tapat ng matinding init ng hapon upang maprotektahan sila mula sa sobrang sikat ng araw. • Gumamit ng organikong dayami o damo bilang mulch upang makatulong palamigin ang mga ugat at mapanatili ang tamang antas ng kahalumigmigan sa lupa. • Isagawa ang mga gawain sa bukirin sa maagang umaga o huling hapon upang maiwasan ang pinakamainit na oras ng araw at mabawasan ang epekto ng init sa mga manggagawa at pananim. • I-check ang mga imbakan ng mga inaning produkto (tulad ng palay, mais, gulay, at prutas). Kung kinakailangan, ilipat ang mga ito sa mas mataas o natatakpang lugar upang maiwasan ang pagkasira dulot ng tubig. Siguraduhin na ang mga kagamitan sa sakahan ay naka-imbak sa mga tuyo at protektadong lugar upang maiwasan ang kalawang o pagkasira. • Ang malalakas na ulan ay maaaring magdulot ng pagguho ng lupa. Gumawa ng mga hakbang tulad ng pagpapalakas ng mga dike, paggawa ng mga terrace, o pagtatanim ng mga halamang makakatulong upang maiwasan ang pagkawala ng lupa at mapigilan ang erosion. • Makinig at sumunod sa mga lokal na abiso mula sa LGUs at DOST-PAGASA para sa maagang babala.	Ang init na nararamdaman ng katawan ng tao (apparent temperature) ay hindi akmang nasusukat gamit lamang ang temperature ng hangin (air temperature). Ito ay mas tamang naitataya kung isasama ang datos ng alinsangan o halumigmig (relative humidity). Ang impormasyon na ito ay tinatawag na Heat Index at ito ay matutukoy gamit ang Heat Index Chart. ***https://www.pagasa.dost.gov.ph/climate/climate-heat-index***

Republic of the Philippines
DEPARTMENT OF SCIENCE AND TECHNOLOGY
Philippine Atmospheric, Geophysical and Astronomical Services Administration (PAGASA)

BAGONG PILIPINAS

PAYONG PANGSAKAHAN

KALAGAYAN NG LUPANG SAKAHAN
(Mayo 1 – 10, 2026)

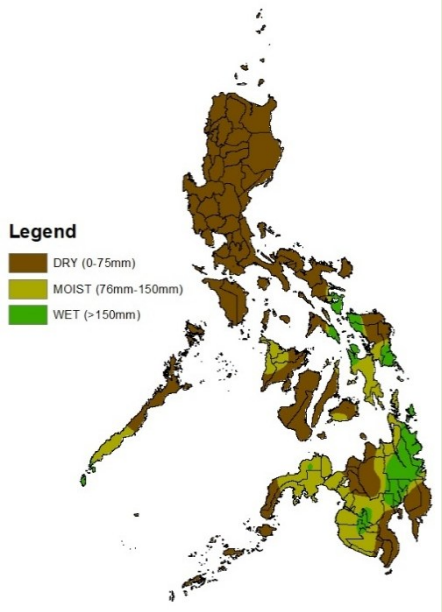

Basa – *Sorsogon, Borongan, Masbate North Cotabato, Surigao del Sur at Davao del Norte*

Katamtaman – *Capiz, katimugang bahagi ng Palawan, Leyte, Sourthern Leyte, Guiuan, Bohol, Zamboanga Peninsula, Misamis Occidental, Lanao del Norte, South Cotabato, Maguindanao, at Agusan del Norte*

Tuyo – *Natitirang bahagi*

ENSO ALERT SYSTEM STATUS
(mula noong 07 Mayo 2026)

EL NIÑO ALERT
https://pagasa.dost.gov.ph/climate/climate-advisories#

Inaasahang ang El Niño sa kalagitnaan ng 2026, na magdudulot ng tagtuyot at posibleng kakulangan sa tubig. Pinapayuhan ang mga magsasaka na panatilihin ang maayos na irigasyon, gumamit ng drought-tolerant na pananim, at anihin agad ang mga hinog na tanim kung kinakailangan. Maaari pa ring magkaroon ng localized thunderstorms, lalo na sa hapon o gabi, na may kasamang malakas na ulan, hangin, kidlat, at posibleng flash flood sa mabababang lugar. Panatiling updated sa araw-araw na lagay ng panahon, tiyakin ang kaligtasan ng mga pasilidad sa bukid, iwasan ang trabaho sa bukid tuwing may thunderstorm, at iangkop ang taniman ayon sa forecast ng DOST-PAGASA.

PAYO SA MGA MANGINGISDA

GALE WARNING AT KONDISYON NG KARAGATAN

Walang nakataas na Gale Warning.

Banayad hanggang sa katamtamang pag-alon ng karagatan ang mararanasan sa **buong kapuluan**. Ang mga mangingisda ay pinapaalalahanan na palaging mag-ingat, ugaliing magdala ng mga gamit pangkagipitan, magbantay at makinig sa mga paalala at patalastas mula sa DOST-PAGASA.

DAGDAG KAALAMAN

DAILY EXTREMES		MONTHLY EXTREMES	
Pinakamataas na Temperatura	40.4 ºC (Tuguegarao City, 1940 & 1963)	Pinakamataas na Temperatura	42.2 ºC (Tuguegarao, 1969)
Pinakamababang Temperatura	14.0 ºC (Baguio City, 1909)	Pinakamababang Temperatura	11.0 ºC (Baguio City, 1907)
Pinakamaraming Ulan	306.0 mm (Catarman, 2020)	Pinakamaraming Ulan	730.3 mm (Baguio City, 1980)

INIHANDA HANDA/INI-UPLOAD NINA: **MTR / JOT** | BINIGYANG PANSIN NI: **NRE**

SSS