Republic of the Philippines
**DEPARTMENT OF SCIENCE AND TECHNOLOGY**
**Philippine Atmospheric, Geophysical and Astronomical Services Administration (PAGASA)**

BAGONG PILIPINAS

# WEEKEND/SPECIAL FARM WEATHER OUTLOOK

**WSFWO: NO. 26 – 109**

**Issued: 4:00 PM, Friday, 15 May 2026** | **Valid until: 7:00 AM, Monday, 18 May 2026**

**From today to tomorrow (May 15–16),** the Low Pressure Area (formerly Caloy) is expected to dissipate within the day or by tomorrow. Meanwhile, the country will experience partly cloudy to cloudy skies with possible rainshowers or thunderstorms, mostly during the afternoon or evening.

**From Sunday to Monday (May 17–18),** the frontal system affecting the eastern section of Northern Luzon may bring cloudy skies with scattered rains and thunderstorms over Batanes and the Babuyan Islands. The rest of the country will continue to experience partly cloudy to cloudy skies with chances of localized rainshowers or thunderstorms.

| FORECAST AREA | TEMPERATURE | | RH (%) | LEAF WETNESS (HRS) |
|---|---|---|---|---|
| | LOWLAND | UPLAND | | |
| **LUZON** | 23 – 36 | 17 – 33 | 45 – 96 | 0 – 4 |
| **VISAYAS** | 25 – 35 | 22 – 33 | 50 – 96 | 0 – 4 |
| **MINDANAO** | 23 – 35 | 21 – 34 | 50 – 96 | 0 – 4 |

## FARM ADVISORY

### SOIL MOISTURE CONDITION
*(May 1 – 10, 2026)*

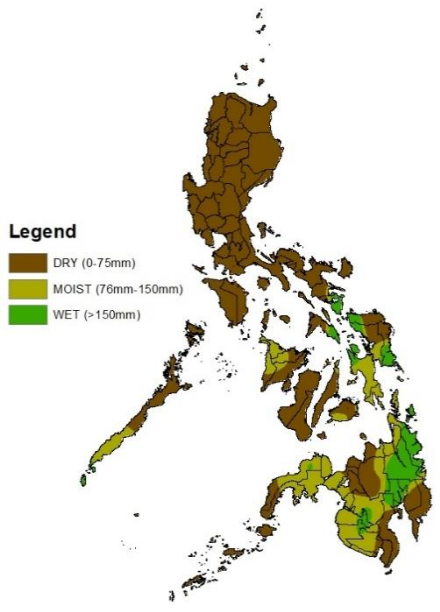


**Wet** – *Sorsogon, Borongan, Masbate North Cotabato, Surigao del Sur and Davao del Norte*

**Moist** – *Capiz, southern part of Palawan, Leyte, Sourthern Leyte, Guiuan, Bohol, Zamboanga Peninsula, Misamis Occidental, Lanao del Norte, South Cotabato, Maguindanao, and Agusan del Norte*

**Dry** – *Rest of the country*

### ENSO ALERT SYSTEM STATUS
*(Updated as of 07 May 2026)*

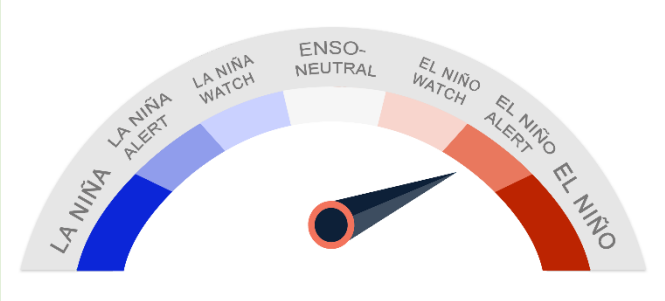


**EL NIÑO ALERT**

https://pagasa.dost.gov.ph/climate/climate-advisories#

El Niño is expected to develop by mid-2026, increasing the possibility of below-normal rainfall, dry spells, and drought. Farmers are advised to maintain irrigation systems, use drought-tolerant crops, and harvest mature crops early when needed. Localized thunderstorms may still occur, especially in the afternoon or evening, bringing heavy rain, strong winds, lightning, and possible flash flooding in low-lying areas. Farmers should stay alert to daily weather updates, secure farm structures, and avoid field activities during thunderstorms, and adjust planting schedules based on DOST-PAGASA forecasts.

| AREAS AFFECTED BY THE WEATHER SYSTEMS |
|---|
| **LPA, FRONTAL SYSTEM, EASTERLIES, THUNDERSTORMS AND MODERATE TO HEAVY RAINS**<br>• Apply proper irrigation, mulching, shading, and moisture monitoring to reduce heat and water stress.<br>• Stay hydrated, avoid peak heat, and take breaks in shaded areas.<br>• Clear and maintain canals, dikes, and drainage lines to quickly remove excess water and reduce flooding risk during heavy rains.<br>• Increase field scouting, as high humidity and intermittent rains can trigger outbreaks (e.g., fungal diseases, insect pests).<br>• Harvest early-maturing crops ahead of forecasted heavy rains to minimize post-harvest losses.<br>• Utilize plastic mulch, row covers, or simple rain shelters to protect sensitive crops from excessive rainfall.<br>• Collect rainwater during wet periods for use during dry days.<br>• Coordinate with farmer groups and LGUs for shared resources, early warnings, and disaster response.<br>• Stay updated with advisories from LGUs and DOST-PAGASA to guide daily farm decisions. |

| | |
|---|---|
| PREPARED/UPLOADED BY: **MTR / JOT** | VERIFIED BY: **MEVT** |

Republic of the Philippines
**DEPARTMENT OF SCIENCE AND TECHNOLOGY**
**Philippine Atmospheric, Geophysical and Astronomical Services Administration (PAGASA)**

BAGONG PILIPINAS

# TAYA NG PANAHON AT MGA PAYONG PANSAKAHAN

**FWFA: NO. 26 – 109**

**Inilabas ng: 4:00 PM, Biyernes, 15 Mayo 2026** **May bisa hanggang: 7:00 AM, Lunes, 18 Mayo 2026**

**Mula ngayong araw hanggang bukas (Mayo 15–16),** inaasahang hihina at tuluyang mawawala ang Low Pressure Area (dating Caloy) ngayong araw o bukas. Samantala, makararanas ang bansa ng bahagyang maulap hanggang sa maulap na kalangitan na may posibilidad ng mga pag-ulan o pagkidlat-pagkulog, lalo na sa hapon o gabi.

**Mula Linggo hanggang Lunes (Mayo 17–18),** ang frontal system na nasa silangang bahagi ng Hilagang Luzon ay maaaring magdulot ng maulap na kalangitan na may kalat-kalat na pag-ulan at pagkidlat-pagkulog sa Batanes at Babuyan Islands. Ang nalalabing bahagi ng bansa ay makararanas ng bahagyang maulap hanggang maulap na kalangitan na may posibilidad ng mga lokal na pag-ulan at pagkidlat-pagkulog.

| LUGAR NG PAGTAYA | TEMPERATURA ($^0$C) | | RH (%) | PAGKABASA NG DAHON (ORAS) |
|---|---|---|---|---|
| | Mababang Bukirin | Mataas na Bukirin | | |
| **LUZON** | 23 – 36 | 17 – 33 | 45 – 96 | 0 – 4 |
| **VISAYAS** | 25 – 35 | 22 – 33 | 50 – 96 | 0 – 4 |
| **MINDANAO** | 23 – 35 | 21 – 34 | 50 – 96 | 0 – 4 |

## PAYONG PANGSAKAHAN

### KALAGAYAN NG LUPANG SAKAHAN
*(Mayo 1 – 10, 2026)*

**Basa –** *Sorsogon, Borongan, Masbate North Cotabato, Surigao del Sur at Davao del Norte*

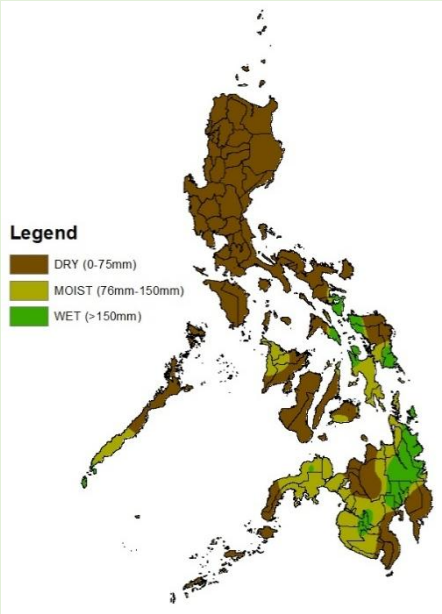


**Katamtaman** – *Capiz, katimugang bahagi ng Palawan, Leyte, Sourthern Leyte, Guiuan, Bohol, Zamboanga Peninsula, Misamis Occidental, Lanao del Norte, South Cotabato,*

*Maguindanao, at Agusan del Norte*

**Tuyo** – *Natitirang bahagi*

### ENSO ALERT SYSTEM STATUS
*(mula noong 07 Mayo 2026)*

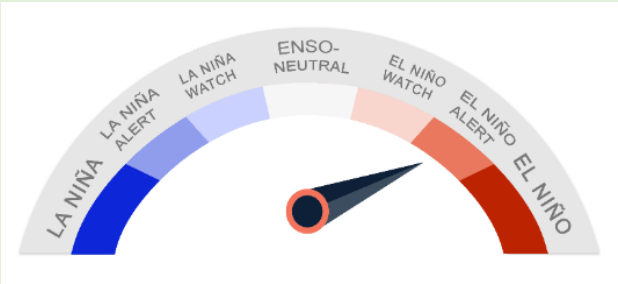


**EL NIÑO ALERT**

***https://pagasa.dost.gov.ph/climate/climate-advisories#***

Inaasahang ang El Niño sa kalagitnaan ng 2026, na magdudulot ng tagtuyot at posibleng kakulangan sa tubig. Pinapayuhan ang mga magsasaka na panatilihin ang maayos na irigasyon, gumamit ng drought-tolerant na pananim, at anihin agad ang mga hinog na tanim kung kinakailangan. Maaari pa ring magkaroon ng localized thunderstorms, lalo na sa hapon o gabi, na may kasamang malakas na ulan, hangin, kidlat, at posibleng flash flood sa mababababang lugar. Panatiling updated sa araw-araw na lagay ng panahon, tiyakin ang kaligtasan ng mga pasilidad sa bukid, iwasan ang trabaho sa bukid tuwing may thunderstorm, at iangkop ang taniman ayon sa forecast ng DOST-PAGASA.

s

| SA MGA LUGAR NA APEKTADO NG WEATHER SYSTEMS |
|---|
| **LPA, FRONTAL SYSTEM, EASTERLIES, PAGKIDLAT-PAGKULOG, AT KATAMTAMAN HANGGANG MALAKAS NA PAG-ULAN**<br>• Magpatupad ng tamang patubig, pagmu-mulch, paglalagay ng lilim, at pagmamanman ng halumigmig ng lupa upang mabawasan ang stress sa init.<br>• Uminom ng sapat na tubig, iwasan ang matinding init, at magpahinga sa lilim.<br>• Linisin at panatilihin ang mga kanal, dike, at daluyan ng tubig upang maiwasan ang pagbaha.<br>• Palakasin ang pagmamanman sa bukid dahil maaaring dumami ang peste at sakit sa mataas na halumigmig at pabugsu-bugsong ulan.<br>• Mag-ani nang maaga bago ang inaasahang malalakas na ulan upang maiwasan ang pagkalugi.<br>• Gumamit ng plastic mulch, row covers, o simpleng rain shelter para maprotektahan ang mga sensitibong pananim.<br>• Mag-ipon ng tubig-ulan para magamit sa mga tuyong araw.<br>• Makipag-ugnayan sa mga samahan ng magsasaka at LGUs para sa tulong at babala.<br>• Sundin ang mga abiso mula sa LGUs at DOST-PAGASA para sa tamang gabay sa pagsasaka. |

| | |
|---|---|
| PREPARED/UPLOADED BY: **MTR / JOT** | VERIFIED BY: **MEVT** |